सरकारीउपयोगकेलिए
For Official use
तकनीकीरिपोर्टश्रृंखला
Technical Report Series
SECR/GWYB/TN/2024

तमिलनाडु और केंद्रशासित प्रदेश पुडुचेरी के वार्षिकभूमिजलपुस्तक (2024-25)

GROUND WATER YEAR BOOK OF TAMIL NADU& U.T. OF PUDUCHERRY (2024-25)

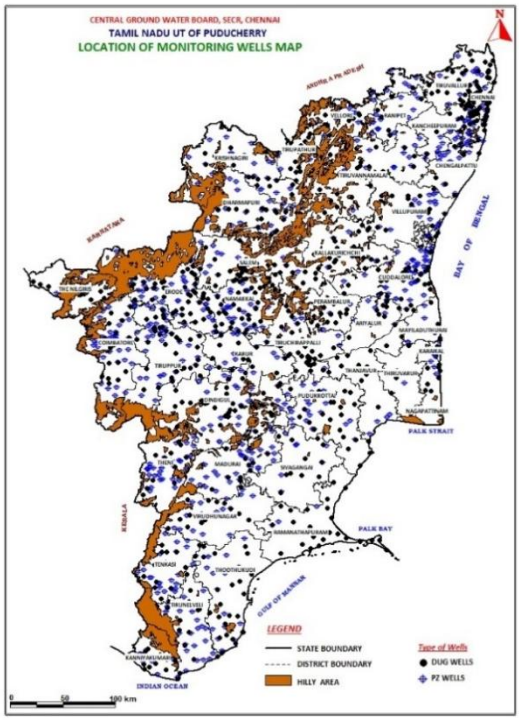

भारतसरकार /Government of India
जलशक्तिमंत्रालय/Ministry of Jal Shakti
जलसंसाधन, नदीविकासऔरगंगासंरक्षणविभाग / Department of Water Resources, River Development & Ganga Rejuvenation
केन्द्रीयभूमिजलबोर्ड /Central Ground Water Board
दक्षिणपूर्वीतटीयक्षेत्र /South Eastern Coastal Region
चेन्नई/Chennai

अगस्त 2025/ August 2025

सरकारीउपयोगकेलिए
For Official use
तकनीकीरिपोर्टश्रृंखला
Technical Report Series
SECR/GWYB/TN/2024

तमिलनाडु और केंद्रशासित प्रदेश पुडुचेरी के वार्षिकभूमिजलपुस्तक (2024-25)

GROUND WATER YEAR BOOK OF TAMIL NADU& U. T. OF PUDUCHERRY (2024-25)

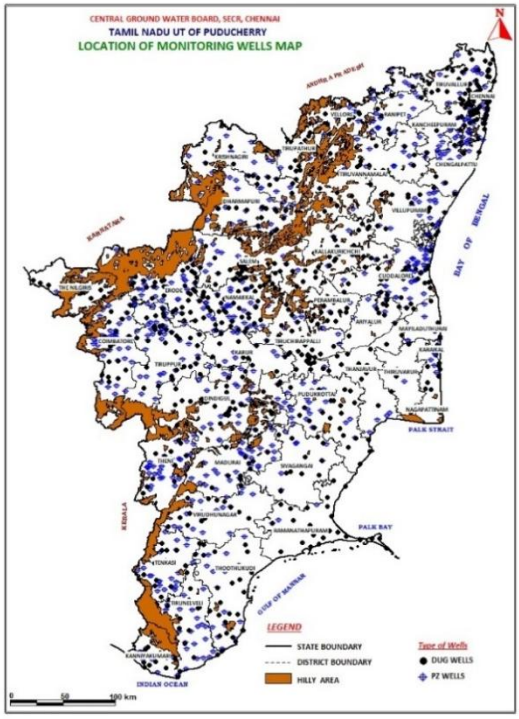

भारतसरकार /Government of India
जलशक्तिमंत्रालय/Ministry of Jal Shakti
जलसंसाधन, नदीविकासऔरगंगासंरक्षणविभाग / Department of Water Resources, River Development & Ganga Rejuvenation
केन्द्रीयभूमिजलबोर्ड /Central Ground Water Board
दक्षिणपूर्वीतटीयक्षेत्र /South Eastern Coastal Region
चेन्नई/Chennai
अगस्त 2025/ August 2025

CONTRIBUTORS' PAGE

Overall Supervision and Guidance

M.Sivakumar, Regional Director

PRINCIPAL AUTHOR

Athira R, Scientist-C

HYDROGEOLOGY

Ms. Athira R, Scientist-C
Sh.G.Vengatajalapathi, Scientist-B

DATA COLLECTION

Dr.K. Ravichandran, Scientist –D
Dr. V. Arul Prakasam, Scientist - D
Shri.C.Rajkumar, Scientist-D
Dr.S.SakthiMurugan, Scientist-D
Shri.J.Sivaramakrishnan, Scientist-D
Shri.S.Singathurai, Scientist-C
Athira R, Scientist-C
T.S.N Murthy, Scientist-B
Dr.M. Mohammed Rafi,Scientist-B
Dr.Md.SartajBasha, Scientist-B
Dr. K.Paramasivam, Scientist-B
Dr. Vijayakumar, Scientist-B
Shri.G.Vengatajalapathi, Scientist-B
Shri. Justin Tom, STA(Geophysist)
Shri. Abhijith, STA (HG)
Shri. Debasish Mahantha STA (HG)

DRAWING SECTION

Mrs. M. Navaneetham,
Chief Draftsman

SCRUTINY & ISSUANCE

Dr M.Senthilkumar, Scientist D
Report Processing Section
CGWB, SECR, Chennai

S.NO	CONTENTS
I	1. INTRODUCTION
	2. PHYSIOGRAPHY
	3. DRAINAGE
	4. RAINFALL DISTRIBUTION
	5. SOILS
	6. HYDROGEOLOGY
II	**DEPTH TO WATER LEVEL (UNCONFINED AQUIFER)**
	1. MAY 2024
	2. AUGUST 2024
	3. NOVEMBER 2024
	4. JANUARY 2025
III	**HYDROGRAPHS**
IV	**SEASONAL FLUCTUATION (UNCONFINED AQUIFER)**
	1. WATER LEVEL MAY 2024 & AUGUST 2024
	2. WATER LEVEL MAY 2024 & NOVEMBER 2024
	3. WATER LEVEL MAY 2024 & JANUARY 2025
V	**DECADAL FLUCTUATION (UNCONFINED AQUIFER)**
	1. MEAN WATER LEVEL MAY 2014-2023 &MAY 2024
	2. MEAN WATER LEVEL AUGUST 2014-2023 & AUGUST 2024
	3. MEAN WATER LEVEL NOVEMBER 2014-2023 & NOVEMBER 2024
	4. MEAN WATER LEVEL JANUARY 2015-2024 & JANUARY 2025
VI	**ANNUAL FLUCTUATION (UNCONFINED AQUIFER)**
	1. WATER LEVEL MAY 2023 & MAY 2024
	2. WATER LEVEL AUGUST 2023 & AUGUST 2024
	3. WATE LEVEL NOVEMBER 2023 & NOVEMBER 2024
	4. WATE LEVEL JANUARY 2024 & JANUARY 2025
VII	**CONCLUSION**

EXECUTIVE SUMMARY

Central Ground Water Board, an apex Organization under Ministry of Jal Shakti, Department of Water Resources, River Development & Ganga Rejuvenation, Government of India, is carrying out the monitoring of ground water levels all over the country for generating a sound database so that the changes in ground water regime could be scientifically studied, analysed and strategies for its optimal utilization can be planned.

The behavior of ground water table during the ground water year 2024-25 in the state of Tamil Nadu and Puducherry and Karaikal regions of the Union Territory of Puducherry has been studied by monitoring a set of dug wells and purpose-built piezometers during the months of May 2024, August 2024, November 2024 and January 2025. As of January 2025, Central Ground Water Board, South Eastern Coastal Region, monitors 774 dug wells and 740 tube wells/piezometers to study the ground water scenario of the state of Tamil Nadu and Puducherry and Karaikal regions of the Union Territory of Puducherry.

The present compilation relates to the year 2024-25. It provides information pertaining to water levels and also chemical quality of the phreatic aquifer. Thematic maps depicting the ground water scenario along with geochemical quality are furnished and discussed in this report. In addition, the fluctuations in water level and piezometric surface between different time frames have been analysed and presented. Various thematic maps presented reflect the effect of rainfall received during the period of study and the long-term behaviour of water level according to ground water recharge and draft conditions obtained in various agro-climatic zones. The data on seasonal rainfall during the year are furnished to correlate the effect of the rainfall on water levels.
In general, the water levels are deep in the month of May and a rising trend of water levels during January (Post-monsoon period) was observed. Water level fluctuation takes place during August, November and January depending on the monsoon rainfall and level of groundwater development.

Depth to water level during ***premonsoon*** *major part of the State (87% of the wells) except western districts, are < 10m bgl. Whereas the western districts have recorded water level of > 10 m bgl. Water levels < 2 m is observed in 11.21 % of wells spreaded as isolated patches in a greater number of districts. Depth to water level in the range of 2 to 5 m bgl has been recorded in 42.59 % of wells analysed and noted in all the districts. Depth to water level in the range of 5 to 10 m bgl has been recorded in 33.51 % of wells analysed except Karaikal region of UT of Puducherry and, Nagapattinam and Tiruvallur districts. 11.88 % of wells show depth to water level between 10 to 20 m bgl in Coimbatore, Cuddalore, Dharmapuri, Erode, Kanyakumari, Namakkal, Perambalur, Salem,Theni, Thiruvallur, Thiruchirapalli, Vellore and Villupuram districts. Less than 1% of wells showing water level more than 20 m bgl which are located as isolated patches in Erode, Coimbatore, Tiruppur and Namakkal districts.*

During ***postmonsoon*** *Overall, 97 % of the wells monitored in the state and UT are in <10 m bgl range and spreaded over entire Tamil nadu. 3.23 % of wells show depth to water level between 10 to 20 m bgl noted mainly in Coimbatore, Erode, and Trichy districts. Less than 1 % of wells show depth to water level more than 20 m bgl in Coimbatore and Namakkal districts. Depth to water level of less than 2 m bgl has been recorded in 34.88 % of wells analysed and noted in all over the State except UT of Puducherry. Depth to water level in the range of 2 to 5 m bgl has been recorded in 44.19% of wells analysed and noted in all the districts. Depth to water level in the range of 5 to 10 m bgl has been recorded in 17.44 % of wells analysed and noted in all over the State except Karaikal region of UT of Puducherry and Chennai, Tiruvarur & Tiruvallur districts.*

कार्यकारी सारांश

केंद्रीय भूजल बोर्ड, जल शक्ति मंत्रालय, जल संसाधन, नदी विकास एवं गंगा संरक्षण विभाग, भारत सरकार के अधीन एक शीर्ष संगठन, पूरे देश में भूजल स्तर की निगरानी कर रहा है ताकि एक डेटाबेस तैयार किया जा सके ताकि भूजल व्यवस्था में परिवर्तनों का वैज्ञानिक अध्ययन और विश्लेषण किया जा सके और इसके इष्टतम उपयोग के लिए रणनीति बनाई जा सके।

मई 2024, अगस्त 2024, नवंबर 2024 और जनवरी 2025 के महीनों के दौरान खोदे गए कुओं और विशेष रूप से निर्मित पीजोमीटर के एक सेट की निगरानी करके तमिलनाडु राज्य और केंद्र शासित प्रदेश पुडुचेरी के पुडुचेरी और कराईकल क्षेत्रों में भूजल वर्ष 2024-25 के दौरान भूजल तालिका के व्यवहार का अध्ययन किया गया है। जनवरी 2025 तक, केंद्रीय भूजल बोर्ड, दक्षिण पूर्वी तटीय क्षेत्र, तमिलनाडु राज्य और केंद्र शासित प्रदेश पुडुचेरी के पुडुचेरी और कराईकल क्षेत्रों के भूजल परिदृश्य का अध्ययन करने के लिए 774 खोदे गए कुओं और 740 ट्यूबवेल/पीजोमीटर की निगरानी करता है।

वर्तमान संकलन वर्ष 2024-25 से संबंधित है। यह जल स्तर और फ्रीएटिक एक्वीफर की रासायनिक गुणवत्ता से संबंधित जानकारी प्रदान करता है। इसके अलावा, विभिन्न समयावधियों के बीच जल स्तर और पीजोमेट्रिक सतह में उतार-चढ़ाव का विश्लेषण और प्रस्तुत किया गया है। प्रस्तुत विभिन्न विषयगत मानचित्र अध्ययन अवधि के दौरान प्राप्त वर्षा के प्रभाव और विभिन्न कृषि-जलवायु क्षेत्रों में प्राप्त भूजल पुनर्भरण और ड्राफ्ट स्थितियों के अनुसार जल स्तर के दीर्घकालिक व्यवहार को दर्शाते हैं। वर्ष के दौरान मौसमी वर्षा के आंकड़े जल स्तर पर वर्षा के प्रभाव को सहसंबंधित करने के लिए प्रस्तुत किए गए हैं।

सामान्य तौर पर, मई के महीने में जल स्तर गहरा होता है और जनवरी (मानसून के बाद की अवधि) के दौरान जल स्तर में वृद्धि देखी गई। मानसून की वर्षा और भूजल विकास के स्तर के आधार पर अगस्त, नवंबर और जनवरी के दौरान जल स्तर में उतार-चढ़ाव होता है।

पश्चिमी जिलों को छोड़कर राज्य के अधिकांश भाग (87% कुओं) में मानसून-पूर्व जल स्तर की गहराई <10 मीटर बीजीएल है। अधिकतर जिलों में अलग-अलग क्षेत्रों में फैले 11.21% कुओं में जल स्तर < 2 मीटर देखा गया है। सभी जिलों में विश्लेषित और नोट किए गए 42.59% कुओं में 2 से 5 मीटर बीजीएल की सीमा में जल स्तर की गहराई दर्ज की गई है। केंद्र शासित प्रदेश पुडुचेरी के कराईकल क्षेत्र और नागपट्टिनम और तिरुवल्लूर जिलों को छोड़कर विश्लेषित 33.51% कुओं में 5 से 10 मीटर बीजीएल की सीमा में जल स्तर की गहराई दर्ज की गई है। कोयंबटूर, कुड्डालोर, धर्मपुरी, इरोड, कन्याकुमारी, नमक्कल, पेरम्बलुर, सेलम, थेनी, तिरुवल्लूर, तिरुचिरापल्ली, वेल्लोर और विल्लुपुरम जिलों में 11.88% कुओं में जल स्तर की गहराई 10 से 20 मीटर बीजीएल के बीच दिखाई देती है। इरोड, कोयंबटूर, तिरुप्पुर और नमक्कल जिलों में अलग-अलग स्थानों पर स्थित 1% से भी कम कुओं में जल स्तर 20 मीटर बीजीएल से अधिक है।

मानसून के बाद, राज्य और केंद्र शासित प्रदेश में निगरानी किए गए कुल 97% कुएँ <10 मीटर बीजीएल की सीमा में हैं और पूरे तमिलनाडु में फैले हुए हैं। 3.23% कुओं में जल स्तर की गहराई 10 से 20 मीटर बीजीएल के बीच पाई गई है, जो मुख्य रूप से कोयंबटूर, इरोड और त्रिची जिलों में देखी गई है। कोयंबटूर और नमक्कल जिलों में 1% से भी कम कुओं में जल स्तर की गहराई 20 मीटर बीजीएल से अधिक पाई गई है। केंद्र शासित प्रदेश पुडुचेरी को छोड़कर पूरे राज्य में विश्लेषण और नोट किए गए 34.88% कुओं में जल स्तर की गहराई 2 मीटर बीजीएल से कम दर्ज की गई है। सभी जिलों में विश्लेषण और नोट किए गए 44.19% कुओं में 2 से 5 मीटर बीजीएल की सीमा में जल स्तर की गहराई दर्ज की गई है। केंद्र शासित प्रदेश पुडुचेरी के कराईकल क्षेत्र और चेन्नई, तिरुवरुर और तिरुवल्लूर जिलों को छोड़कर पूरे राज्य में विश्लेषण और नोट किए गए 17.44% कुओं में 5 से 10 मीटर बीजीएल की सीमा में जल स्तर की गहराई दर्ज की गई है।

GROUNDWATER YEARBOOK OF THE STATE OF TAMIL NADU AND PUDUCHERRY AND KARAIKAL REGIONS OF THE UNION TERRITORY OF PUDUCHERRY (2024-2025)

I. INTRODUCTION

The state of Tamil Nadu has a geographical area of 1,30,058 sq. km. and is situated between N. Latitudes 08º00" and 13º30' and E. Longitudes 76º15' and 80º18'. The state is bounded by the Bay of Bengal in the east, the Indian Ocean in the south, the state of Kerala in the west and the states of Karnataka and Andhra Pradesh in the north. For administrative purposes, the state is divided into 38 districts and 1202 developmental Firkas. A major part of the Union Territory of Puducherry comprising Puducherry and Karaikal regions occurs as small enclaves in Tamil Nadu.

The Central Ground Water Board, South Eastern Coastal Region is monitoring the water levels in ground water monitoring wells in the state of Tamil Nadu and Puducherry and Karaikal regions of the Union Territory of Puducherry four times a year, viz. May (between 20th and 31st), August (between 20th and 31st), November (between 1st and 10th) and January (between 1st and 10th). Water samples from the Ground Water Monitoring Wells are collected once in a year i.e. during May. **Table–1** gives the number of Ground Water Monitoring Wells tapping the phreatic aquifers and the piezometers/tube wells/bore wells tapping the deeper semi-confined to confined aquifer during the monitoring months. The behaviour of water levels is analysed with reference to the rainfall pattern. The data are utilised for the assessment of ground water resources, evaluation of the present status of ground water development and also for planning future development. For analytical purposes, only the data of the Ground Water Monitoring Wells tapping phreatic aquifers are considered. The data thus collected are analysed and interpreted and the Ground Water Yearbook is issued annually with interpreted data and thematic maps depicting the ground water scenario.

The status of district-wise break-up of Ground Water Monitoring Wells is given in **Table–2** and their locations are shown in **Plate I**. The district- wise depth to water level data of the dugwells and depth to piezometric surface of piezometres for the measurements during May 24, August 2024, November 2024 and January 2025, are given as **Annexures I.**

Table-1: Number of Ground Water Monitoring Wells in Tamil Nadu & U.T. of Puducherry during 2024-2025

Period of Measurement	No. of Wells Monitored		
	Dug Wells	Piezometers/ Tubewells	Total
May 2024	749	607	1356
August 2024	749	739	1488
November 2024	743	700	1443
January 2025	774	740	1514

Plate-I

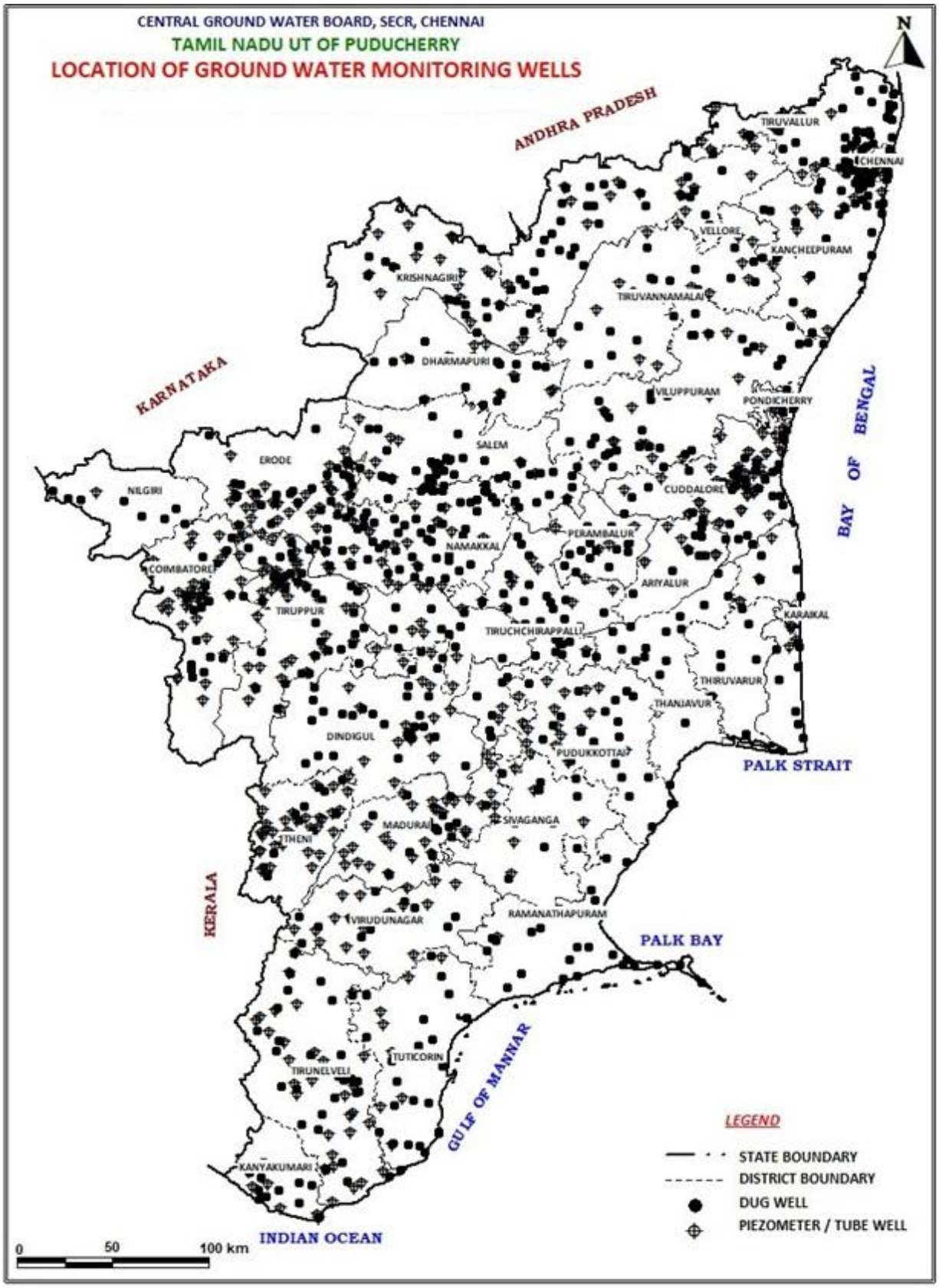
CENTRAL GROUND WATER BOARD, SECR, CHENNAI
TAMIL NADU UT OF PUDUCHERRY
LOCATION OF GROUND WATER MONITORING WELLS
N
ANDHRA PRADESH
KARNATAKA
KERALA
BAY OF BENGAL
PALK STRAIT
PALK BAY
GULF OF MANNAR
INDIAN OCEAN
TIRUVALLUR
CHENNAI
VELLORE
KANCHEEPURAM
KRISHNAGIRI
TIRUVANNAMALAI
DHARMAPURI
VILUPPURAM
PONDICHERRY
SALEM
ERODE
NILGIRI
CUDDALORE
PERAMBALUR
NAMAKKAL
COIMBATORE
ARIYALUR
TIRUPPUR
KARAIKAL
TIRUCHCHIRAPPALLI
THIRUVARUR
THANJAVUR
DINDIGUL
PUDUKKOTTAI
SIVAGANGA
MADURAI
THENI
VIRUDUNAGAR
RAMANATHAPURAM
TUTICORIN
TIRUNELVELI
KANYAKUMARI
LEGEND
STATE BOUNDARY
DISTRICT BOUNDARY
DUG WELL
PIEZOMETER / TUBE WELL
0
50
100 km

Table-2: District wise break up of Monitoring stations in Tamil Nadu & Puducherry, Karaikal regions of U.T of Puducherry

S. No	District	May-24		Aug-24		Nov-24		Jan-25	
		DW	PZ	DW	PZ	DW	PZ	DW	PZ
1.	Ariyalur	9	12	9	15	9	10	11	14
2.	Chengalpattu	39	21			42	51	20	27
3.	Kancheepuram			39	48			23	30
4.	Chennai	18	4	18	6	14	5	15	6
5.	Coimbatore	23	59	23	62	25	63	25	64
6.	Cuddalore	30	65	30	81	29	55	30	71
7.	Dharmapuri	22	11	22	19	20	17	24	19
8.	Dindigul	27	15	27	15	27	17	26	15
9.	Erode	58	49	58	53	61	59	61	58
10.	Kallakurichchi	34	18			34	26	17	13
11.	Villupuram							17	20
12.	Kanyakumari	13	9	13	9	13	9	13	8
13.	Karaikal	4	5	4	5	4	2	4	2
14.	Karur	12	12	12	14	13	15	13	15
15.	Krishnagiri	17	19	17	33	17	28	18	30
16.	Madurai	17	34	17	34	14	34	17	33
17.	Mayiladuthurai	16	12	16	12	0	1	5	1
18.	Nagapattinam					16	11	11	11
19.	Namakkal	43	29	43	30	45	31	44	31
20.	Nilgiris	8	2	8	2	8	2	7	2
21.	Perambalur	16	5	16	5	16	5	16	5
22.	Pondicherry	5	11	5	12	3	9	4	12
23.	Pudukkottai	18	21	18	21	21	22	22	22
24.	Ramanathapuram	24	5	24	5	26	3	26	3
25.	Salem	42	14	42	14	35	12	43	12
26.	Sivaganga	11	6	11	6	12	6	12	6
27.	Thanjavur	15	4	15	4	14	4	13	2
28.	Theni	13	34	13	35	12	34	13	34
29.	Thenkasi	30	33	30	46	9	49	11	11
30.	Tirunelveli							22	37
31.	Thiruvannamalai	19	25	19	26	21	18	20	18
32.	Tiruchirapalli	42	14	42	21	32	16	41	16
33.	Tiruppur	10		10		40	2	9	0
34.	Tiruvallur	36	11	36	14	5	22	44	25
35	Tiruvarur	6	3	6	3	38	1	6	3
36	Tuticorin	24	14	24	15	23	15	23	15
37	Vellore	32	14	32	29	29	29	11	21
38	Ranipet							10	7
39	Thirupathur							11	4
40	Virudhunagar	16	17	16	17	16	17	16	17
	Total	**749**	**607**	**749**	**739**	**743**	**700**	**774**	**740**

Background information on physiography and drainage, rainfall, hydrogeological conditions, ground water resources development of the state are also furnished in brief for better understanding of the behaviour of water table.

2. PHYSIOGRAPHY

The state of Tamil Nadu is divided into four physiographic units viz. (i) Coastal Plains, (ii) Eastern Ghats, (iii) Central Plateau and (iv) Western Ghats. The coastal plains stretch over a distance of about 998 km. from Pulicat Lake to Cape Comorin, ranging in elevation between 2 and 30 m above mean sea level. The coastal plains are further sub-divided into (a) the Coromandel Coast comprising parts of the districts of Tiruvallur, Kancheepuram and Cuddalore, (b) the alluvial plain of Cauvery delta extending over Nagappattinam, Thanjavur Thiruvarur districts and (c) the dry southern plains comprising parts of Pudukkottai, Ramanathapuram, Tuticorin, Tirunelveli and Kanyakumari districts.

The chain of flat-topped hills of Javadis, the Shevroy, the Kalrayan and the Pachamalai hills, which are joining Cardamom hills in the south, form the Eastern Ghats. These hills rise steeply above plateau level to 1160 m above mean sea level in the Javadi hills and to 1645 m above mean sea level in the Shevroy hills.

Between the Eastern and Western Ghats lies the plateau area known as the "Central Plateau" comprising the districts of Erode and Coimbatore with elevations between 150 and 610 m above mean sea level thereby giving rise to an undulating topography. West of the region lies the broad Palghat gap between the Nilgiri and Anaimalai Hills. Between Cauvery River and the Palghat gap lies an extensive low plateau rising gradually from 120 to 180 m above mean sea level, along the tributaries of the Cauvery River, to 365 to 455 m above mean sea level in the west.

The plateau is fringed on the west by a group of high hills known as the Western Ghats, comprising the western part of the Nilgiri, Madurai and Kanyakumari districts. On the other side of the Palghat gap, the high mountains of the Peninsula dominate. These are the Nilgiri in the north, Anaimalai Hills, Palani and Cardamom hills in the south, with a summit level of 1830 to 2440 m above mean sea level rising sharply from the plateau.

3. DRAINAGE

The state of Tamil Nadu is drained by several major and minor rivers. All the major rivers originate in the Western Ghats and flow eastwards. The Palar, Ponnaiyar, Cheyyar, Kortallaiyar and Araniyar are the important rivers in the north, which are ephemeral and cutting across the centre of the state is the river Cauvery. The Cauvery delta consists of a gently sloping alluvial plain covering an area of 11,600 sq. km. and amongst its tributaries the Bhavani and Amaravathi form the most important sources of canal irrigation in the state. Bhavani, Noyil and Amaravathi rivers originate in the hill ranges of Nilgiri and Anaimalais and flow through matured valleys across the plateau.

The important rivers flowing in the southern part of Tamil Nadu are (i) Vellar (ii) Vaigai (iii) Vaippar and (iv) Tambaraparani. Of these, Tambaraparani River is only perennial, forming a good source of canal irrigation. There are several other minor and less important rivers in the State. Besides these, there are a number of smaller rivers such as the Aliyar, Sholaiyar, Parambikulam Ar, etc. flowing westwards. Except the perennial rivers, all the rivers remain dry for a good number of months in a year and are not suitable for development of power and major

irrigation works. The Pulicat Lake and Kaliveli tank are the important lagoons.

The rivers of the state flow in broad and shallow valleys graded almost to their heads with only slight interruptions of profiles when they pass through the Eastern Ghats. The Western Ghats form the main watershed of the state having numerous waterfalls and Courtallam Falls (91.5 m) is one of the important waterfalls of the state.

4. RAINFALL DISTRIBUTION (SOURCE: IMD Rainfall Statistics of India 2024)

Rainfall data corresponding to the measurement of water level has been downloaded from the website of India Meteorological Department. As per IMD's classification of monsoon performance over a meteorological subdivision, if the amount of rainfall received over a region (expressed as PDN) is between -19% and +19%, the monsoon performance is termed as *normal*. If the PDN is between -20% and -59%, the region comes under *deficient* category, if PDN is less than or equal to -60%, the region falls under *scanty* category, PDN of +20% to +59% indicates *excess* rainfall category and if the PDN is greater than or equal to +60%, it is termed as *large excess*.

South West Monsoon (01st June to 30th Sep)

During SWM 2024 Tamilnadu and Pondicherry and Karaikal received *normal* rainfall. The cumulative seasonal (01st June to 30th Sep) rainfall figures for the state and UT of Puducherry is given below (**Table-3)**:

Table-3: Seasonal sub–Divisional Rainfall distribution during the SWM season, 2024 (01st June-30 Sep 2024)

Sub-Division	Actual rainfall (mm)	Normal rainfall (mm)	Percentage departure from normal (%)
TAMILNADU, PDC and KKL (TN)	**389.8**	**328.5**	**+19%**

Plate -II: Daily Rainfall distribution SWM 2024

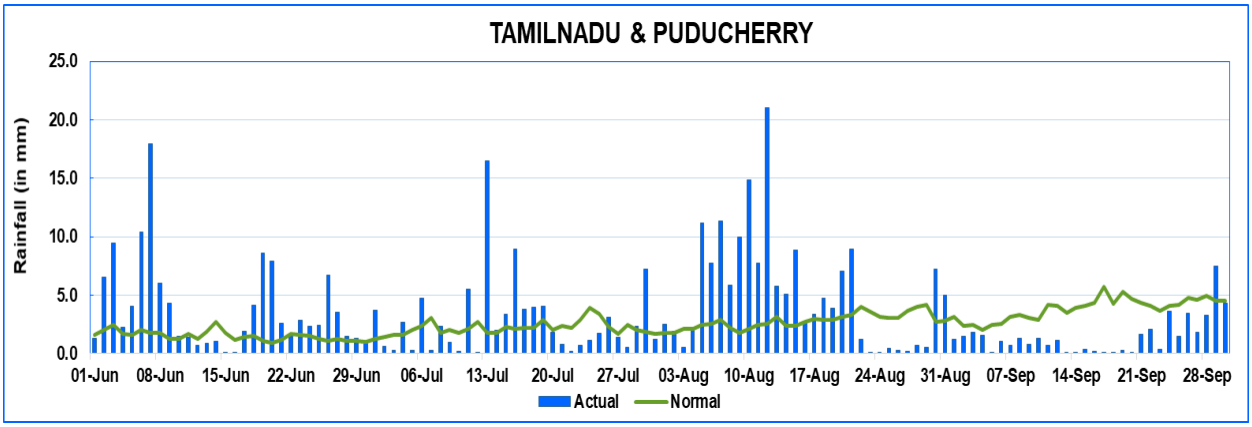

Table-4: Terminologies for Description of Intensity of Rainfall

SlNo.	Terminology	Rainfall range in mm	Rainfall range incm	Percentile
1	Very Light Rainfall	Trace–2.4		
2	LightRainfall	2.5–15.5	Upto1	Upto65
3	Moderate Rainfall	15.6–64.4	02–06	65–95
4	HeavyRainfall	64.5–115.5	07–11	95–99
5	VeryHeavyRainfall	115.6–204.4	12–20	99.0–99.9
6	ExtremelyHeavyRainfall	Greater than orequalto204.5mm	21cmormore	>99.9
7	Exceptionally HeavyRainfall	When the amount is a value near about the highest recorded rainfall at or near the station for the month or season. However, this term will be used only when the actual rainfall amount exceeds 12cm.		

North East Monsoon 2024

The Indian southwest monsoon (SWM) season of June to September is the chief rainy season for India and about 75% of the country's annual rainfall is realised during this season. Subsequent to the withdrawal of SWM, the northeast monsoon (NEM), a small scale monsoon confined to parts of southern peninsular india comprising of the meteorological sub-divisions of Tamil nadu, Puducherry & Karaikal (TN), Kerala & Mahe (KER), coastal Andhra Pradesh &Yanam(cap), Rayalaseema (RYS) and south interior Karnataka (SIK) occurs. For the subdivision of TN, the normal SWM seasonal rainfall realised is only about 36% (328.5 mm) of its annual rainfall (921.4 mm) as this subdivision comes under the rain-shadow region during the SWM. The northeast monsoon (NEM) season of October to December (OND) is the chief rainy season for this subdivision with 48% (442.8 mm) of its annual rainfall realised during this season and hence its performance is a key factor for its regional agricultural activity.

Table-5: Sub-Divisional Seasonal Rainfall during October-December 2024

Subdivision	01st October – 31st December 2024		
	Actual (mm)	Normal (mm)	PDN(%)
TAMIL NADU, PUDUCHERRY & KARALKAL	589.9	442.8	+33%

Table-6: Frequency of various categories of spatial rainfall distribution during October to December 2024

State	No. of days				
	Widespread	Fairly widespread	Scattered	Isolated	Dry
Tamilnadu & Puducherry	9	17	26	46	0

The intra-seasonal rainfall distribution during Oct-Dec 2024 is presented in monthly, scales. Month-wise rainfall statistics are presented in Table-7.

Table-7: Sub-divisional monthly rainfall during NEM 2024

Sub- division	OCT			NOV			DEC		
	Actual (mm)	Normal (mm)	PDN (%)	Actual (mm)	Normal (mm)	PDN (%)	Actual (mm)	Normal (mm)	PDN (%)
TN&PDU	214.2	171.9	+25 %	140.2	181.7	-23 %	235.5	89.2	+164 %

Plate-III

District wise rainfall distribution over the Tamilnadu subdivision during

Oct, Nov & Dec 2024

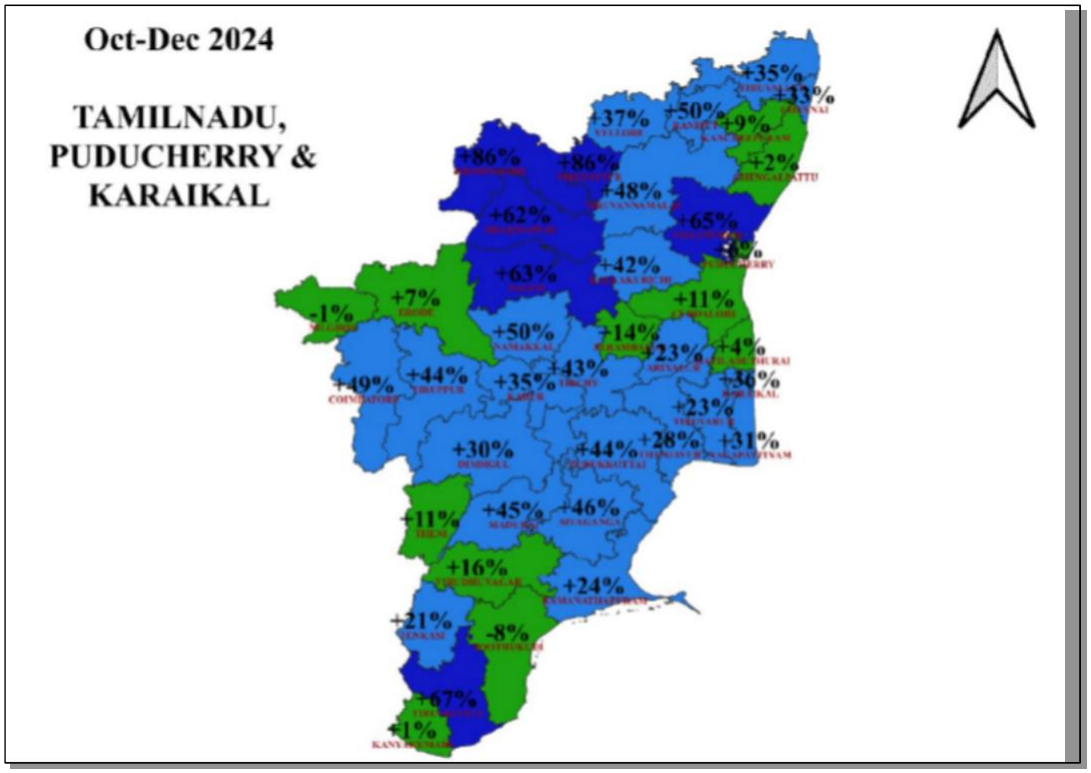

Largely Deficient	*Deficient*	*Normal*	*Excess*	*Large Excess*
≤ -60%	-20% to -59%	-19% to +19%	+20% to +59%	≥+60%

Table:8 Percentage Departures of District-wise Monthly Rainfall - Year 2024

S. No	METSUBDIVISION/ STATE/DISTRICT	JAN	FEB	MAR	APR	MAY	JUN	JUL	AUG	SEP	OCT	NOV	DEC
31	TAMIL. PUDU.& KARAIKAL	311%	-84%	-94%	-78%	99%	115%	12%	78%	-64%	25%	-23%	164%
	TAMILNADU	310%	-84%	-94%	-78%	100%	116%	12%	78%	-64%	25%	-23%	165%
1	ARIYALUR	343%	-100%	-100%	-89%	74%	49%	-68%	40%	-72%	3%	-31%	137%
2	CHENGALPATTU	875%	-100%	-100%	-100%	-8%	185%	37%	27%	-13%	-7%	-31%	79%
3	CHENNAI	171%	-100%	-100%	-100%	-38%	210%	35%	-14%	27%	35%	-6%	117%
4	COIMBATORE	533%	-100%	-98%	-87%	247%	42%	108%	5%	-29%	105%	-21%	55%
5	CUDDALORE	383%	-100%	-100%	-100%	81%	171%	-24%	65%	-65%	-3%	-33%	101%
6	DHARMAPURI	135%	-100%	-100%	-100%	97%	96%	-52%	88%	-92%	35%	-61%	515%
7	DINDIGUL	457%	-100%	-99%	-78%	117%	72%	-23%	143%	-66%	57%	-27%	92%
8	ERODE	201%	-28%	-100%	-91%	116%	46%	-16%	103%	-77%	32%	-44%	62%
9	KALLAKURICHI	230%	-100%	-100%	-100%	5%	68%	-58%	48%	-68%	7%	-63%	278%
11	KANYAKUMARI	-32%	-74%	-83%	-46%	235%	20%	8%	48%	-61%	8%	10%	-57%
12	KARUR	123%	-100%	-100%	-100%	112%	246%	-99%	162%	-87%	57%	-63%	235%
13	KRISHNAGIRI	108%	-100%	-100%	-100%	38%	193%	-52%	102%	-89%	62%	-53%	593%
14	MADURAI	140%	-99%	-93%	-67%	90%	105%	-52%	141%	-85%	84%	-46%	161%
15	MAYILADUTHURAI	494%	-100%	-100%	-100%	94%	48%	-40%	-2%	-84%	-19%	5%	25%
16	NAGAPATTINAM	318%	-100%	-35%	-99%	107%	13%	-80%	-24%	-80%	-43%	78%	21%
17	NAMAKKAL	144%	-100%	-100%	-99%	78%	137%	-71%	48%	-80%	33%	-23%	334%
18	NILGIRIS	257%	-93%	-96%	-57%	168%	72%	151%	-2%	-43%	0%	-20%	42%
19	PERAMBALUR	214%	-100%	-100%	-100%	45%	19%	-56%	135%	-92%	2%	-55%	182%
20	PUDUKKOTTAI	36%	-61%	-79%	-77%	124%	201%	-35%	79%	-79%	64%	3%	88%
21	RAMANATHAPURAM	66%	-80%	-91%	-71%	153%	216%	-30%	92%	-66%	3%	60%	-1%
22	RANIPET	435%	-100%	-100%	-100%	-82%	197%	42%	77%	-36%	10%	-56%	321%
23	SALEM	173%	-100%	-100%	-99%	78%	123%	-50%	111%	-70%	40%	-46%	435%
24	SIVAGANGA	-15%	-100%	-95%	-82%	79%	132%	0%	127%	-76%	72%	-19%	111%
25	TENKASI	151%	-72%	-96%	-61%	134%	51%	142%	27%	16%	-43%	-37%	310%
26	THANJAVUR	228%	-93%	-97%	-65%	103%	136%	-56%	11%	-74%	29%	-2%	76%
27	THENI	497%	-95%	-96%	-68%	173%	238%	98%	125%	-61%	12%	-34%	127%
28	TIRUNELVELI	465%	-62%	-83%	31%	292%	417%	565%	251%	37%	-25%	34%	244%
29	TIRUPATTUR	213%	-100%	-100%	-100%	68%	188%	-63%	62%	-82%	118%	-75%	348%
30	TIRUPPUR	1014%	-100%	-100%	-100%	105%	106%	51%	218%	-68%	91%	-38%	139%
31	TIRUVALLUR	157%	-100%	-96%	-100%	-62%	163%	61%	7%	1%	21%	-26%	194%
32	TIRUVANNAMALAI	371%	-100%	-100%	-100%	33%	125%	-14%	120%	-71%	9%	-50%	295%
33	TIRUVARUR	384%	-100%	-92%	-83%	166%	102%	-74%	7%	-75%	0%	25%	42%
34	TOOTHUKUDI	27%	-43%	-79%	-82%	69%	1%	-88%	191%	-1%	-55%	-25%	120%
35	TRICHY	121%	-99%	-100%	-90%	109%	249%	-77%	28%	-89%	48%	-35%	191%
36	VELLORE	276%	-100%	-100%	-100%	13%	136%	7%	75%	-57%	40%	-60%	233%
37	VILLUPURAM	1041%	-100%	-100%	-100%	82%	68%	-14%	150%	-55%	-8%	-37%	342%
38	VIRUDHUNAGAR	436%	-21%	-99%	-39%	103%	292%	-49%	224%	-64%	-12%	-47%	242%
	PUDUCHERRY (UT)	599%	-98%	-98%	-95%	29%	35%	9%	79%	-42%	-21%	11%	74%
1	KARAIKAL	426%	-99%	-100%	-91%	84%	-14%	-26%	-15%	-88%	-5%	51%	52%
2	MAHE	1129%	-100%	-100%	-79%	87%	-3%	50%	1%	-9%	19%	-79%	419%
3	PUDUCHERRY	856%	-96%	-100%	-100%	-2%	87%	-14%	134%	-33%	-30%	-12%	84%
4	YANAM	-100%	-100%	-30%	-100%	3%	11%	95%	10%	20%	-30%	-95%	516%

Table 9 District-wise seasonal and annual Rainfall (mm) - Year 2024

S.No	MET. SUBDIVISION/ UT STATE/DISTRICT (NAME)	Winter		Pre-Monsoon		SW-Monsoon		Post-Monsoon		Annual	
		Act	% Dep	Act	% Dep	Act	% Dep	Act	% Dep	Act	% Dep
	TAMIL. PUDU.& KARAIKAL	52.539	112%	141.9	14%	389.79	19%	590.49	33%	1174.72	27%
	TAMILNADU	52.033	111%	142.15	14%	389.69	19%	588.86	33%	1172.74	27%
1	ARIYALUR	72.133	198%	97.1	14%	252.52	-20%	617.12	23%	1038.87	12%
2	CHENGALPATTU	138.44	443%	31.608	-43%	553.99	39%	724.36	2%	1448.4	22%
3	CHENNAI	62.408	59%	20.931	-57%	641.64	43%	1077.6	33%	1802.57	34%
4	COIMBATORE	44.279	150%	290.63	80%	970.32	41%	504.06	49%	1809.29	50%
5	CUDDALORE	121.18	193%	80.575	1%	406.13	14%	780.77	11%	1388.65	18%
6	DHARMAPURI	9.4111	-20%	211.61	25%	338.52	-11%	508.09	62%	1067.63	22%
7	DINDIGUL	66.33	185%	203.15	18%	332.64	10%	598.57	30%	1200.69	26%
8	ERODE	17.059	51%	176.89	21%	261.69	-2%	328.24	7%	783.888	7%
9	KALLAKURICHI	40.278	101%	55.34	-33%	343.58	-14%	645.14	42%	1084.33	13%
10	KANCHEEPURAM	81	286%	22.28	-68%	639	35%	644.5	9%	1386.78	20%
11	KANYAKUMARI	16.439	-58%	485.3	78%	503.62	2%	539.99	1%	1545.34	15%
12	KARUR	9.5917	-7%	138.99	25%	211.84	5%	424.05	35%	784.475	23%
13	KRISHNAGIRI	5.6294	-29%	135.56	-11%	376.57	6%	518.7	86%	1036.46	30%
14	MADURAI	24.03	17%	151.73	8%	311.7	5%	537.03	45%	1024.49	24%
15	MAYILADUTHURAI	196.7	268%	87.4	2%	204.95	-33%	924.58	4%	1413.63	6%
16	NAGAPATTINAM	175.53	173%	103.56	14%	123.09	-50%	1224.8	31%	1627.01	22%
17	NAMAKKAL	10.227	-1%	160.97	10%	280.9	-15%	406.77	50%	858.865	13%
18	NILGIRIS	66.067	69%	317.09	49%	1273.9	51%	496.1	-1%	2153.16	35%
19	PERAMBALUR	29.182	79%	81.182	-10%	262.64	-5%	492.73	14%	865.727	6%
20	PUDUKKOTTAI	17.124	-12%	119.06	36%	338.05	15%	556.49	44%	1030.72	31%
21	RAMANATHAPURAM	49.794	6%	114.01	6%	149.75	13%	658.76	24%	972.307	19%
22	RANIPET	42.773	162%	9.0417	-89%	672.88	52%	607.98	50%	1332.67	41%
23	SALEM	10.906	10%	175.8	7%	456.45	12%	540.09	63%	1183.25	30%
24	SIVAGANGA	10.767	-57%	133.32	2%	404.64	28%	617.42	46%	1166.16	30%
25	TENKASI	61.03	12%	155.3	-14%	272.87	58%	564.14	21%	1053.34	21%
26	THANJAVUR	68.323	85%	118.93	21%	243.95	-19%	743.66	28%	1174.86	15%
27	THENI	77.357	162%	211.01	23%	376.16	58%	404.17	11%	1068.69	33%
28	TIRUNELVELI	168.68	190%	223.32	72%	337.9	265%	862.28	67%	1592.18	100%
29	TIRUPATTUR	9.4	1%	128.88	11%	433.84	2%	494.04	86%	1066.15	30%
30	TIRUPPUR	41.2	325%	148.81	16%	206.91	33%	441.77	45%	838.684	40%
31	TIRUVALLUR	37.568	31%	16.148	-75%	655.74	41%	852.67	37%	1562.13	32%
32	TIRUVANNAMALAI	42.358	114%	87.208	-12%	554.23	23%	667.82	48%	1351.61	33%
33	TIRUVARUR	138.04	202%	150.79	45%	210.46	-29%	894.1	23%	1393.39	19%
34	TOOTHUKUDI	31.069	-12%	66.463	-38%	86.947	29%	416.33	-6%	600.813	-8%
35	TRICHY	16.828	19%	139.01	32%	222.15	-20%	541.24	43%	919.236	19%
36	VELLORE	24.443	69%	74.2	-29%	527.41	22%	515.69	37%	1141.74	23%
37	VILLUPURAM	122.04	428%	71.119	13%	538.69	36%	877.51	65%	1609.36	59%
38	VIRUDHUNAGAR	91.829	189%	164.98	12%	293.2	49%	461.59	16%	1011.59	31%
0	PUDUCHERRY (UT)	182.99	270%	75.455	-21%	497.01	19%	1002.2	16%	1757.61	23%
1	KARAIKAL	234.8	209%	96.8	0%	169.5	-43%	1380.9	36%	1882	27%
2	MAHE	41.8	736%	371.8	39%	2755.4	16%	441.2	17%	3610.2	19%
3	PUDUCHERRY	177.6	353%	56.4	-38%	553.8	43%	878.7	6%	1666.5	23%
4	YANAM	0	-100%	58.1	-24%	1022.4	35%	343.6	-25%	1424.1	8%

5. SOILS

The soils of the state can be broadly divided into three type's viz. (1) Red(2) Black and (3) Alluvial soils, of which red soils are the most prominent type. Red soils are found in every district of the state but occupy major parts of the Madurai and Vellore districts. More than 63% of the areal extent of Tiruvallur, Kancheepuram, Salem, Coimbatore, Tirunelveli and Tiruchchirappalli districts is covered by the red soils. Some patches of arenaceous soils are also found along the coastal line. Almost all the alluvial soils in the state are confined to the deltaic regions of the Cauvery River in Cuddalore, Nagapattinam, Tiruvarur, Thanjavur and Tiruchchirappalli districts. Black soils are seen mostly in parts of Ramanathapuram, Cuddalore, Tirunelveli and Thanjavur districts.

6. HYDROGEOLOGY

The state of Tamil Nadu is underlain by geological formations ranging in age from Archaean to Recent. The crystalline rocks of Archaean age like granites, gneisses, charnockites, etc., are of considerable interest as they occupy nearly 73% of the total geographical area of the state. Semi consolidated and consolidated formations ranging in age from Mesozoic to Recent overlie the crystalline basement and their occurrence is confined to the east coast only. The general stratigraphic succession of the formations in the state is presented in Table-10.

Table-10: Stratigraphic Succession of Geological Formations in Tamil Nadu & U.T. Of Puducherry

Era	Age	Stage	Lithology
Quaternary	Recent Pleistocene	- -	Soil, alluvium and beach sands Boulder conglomerates, older alluvium and laterites.
Tertiary	Pliocene Miocene	Karaikal beds Cuddalore Sandstone	Sands and clay withfossils, Mottled and friable sandstones, buff coloured clays andgravels.
Mesozoic	Cretaceous	Ninniyur	Arenaceous limestones and sandstones.
		Ariyalur	Sandstones and clays
		Trichirapallai	Sandstones, clays and shell limestones
		Uttattur	Basal limestones, coral clays and sandy beds
	Jurassic	Satyavedu	Ferruginous sandstones and conglomerates
		Sriperum- budur	Clays, shales and feldspathic sandstones
		- Unconformity -	
Azoic	Archaean	Archaean	Gneisses, charnockites and ultra-basic intrusives.

The crystalline complex of the Archaean age forms the oldest of the rock types in the state. Pink and grey granites are exposed in Cuddalore, Villuppuram, Coimbatore, Madurai and Tirunelveli districts. Rocks of the Khondalite group are well exposed in the southern districts of Tamil Nadu. The ultra-mafic rocks are widespread in the districts of Vellore, Dharmapuri, Coimbatore and Salem. Charnockite is more prominent in the northwestern part of Tamil Nadu and is well exposed in the hill ranges of Javadi, Shevroy, Palani and Nilgiris**.**

The Mesozoic era is represented by the upper Gondwanas of Jurassic age and marine beds of Cretaceous age. The Gondwana beds occur as patches spread over nearly 2001 sq. km. in Tiruvallur, Kancheepuram and Vellore districts. The Cretaceous beds are well exposed in Tiruchchirappalli district. The Cretaceous beds overlie the granitic gneisses and charnockites along the western fringe and by alluvium in the north. They are also exposed in Vriddhachalam area of Cuddalore district.

The important Tertiary formations in the state include the Cuddalore sandstones, Karaikal beds and Conjeevaram gravels. They occur in a wide stretch and extend from Karaikudi through Pudukkottai, Thanjavur, Cuddalore, Puducherry to Chennai. Alluvium and coastal sands in the coastal tract and in river valleys overlie them. The Panamparai sandstones of sub-Recent age occur along the coastal tract of Tirunelveli district.

The nature of the geological formations and the structural features are the principal factors governing the occurrence and movement of ground water in any hydrogeological environment.

Ground water in the hard rocks occurs in the weathered zones ranging in thickness from less than a metre to 25 m and in the underlying fractured and sheared zones. It occurs under water table conditions at shallow levels and under semi-confined to confined conditions in the fractured, jointed and sheared zones as seen in Coimbatore, Salem, Dharmapuri, Madurai districts, etc. In the sedimentaries, ground water occurs under water table and confined conditions.

II. DEPTH TO WATER LEVEL (Unconfined Aquifers)

1. MAY 2024

The statement showing the distribution of ground Water Monitoring wells along with depth to water levels in phreatic aquifer in different depth ranges is presented in **Table-11** and **Plate-IV** depicts the ground water scenario in May 2024.

1. A perusal of the water level data reveals that the depth to water level ranged from 0.35 m bgl (Tirunelveli district) to 38.75 m bgl (Namakkal District) in Tamilnadu and UT of Puducherry.
2. Overall, 87.32 % of the wells monitored in the state and UT are in <10 m bgl range and spread over entire State of Tamilnadu.
3. 11.88 % of wells show depth to water level between 10 to 20 m bgl in Coimbatore, Cuddalore, Dharmapuri, Erode, Kanyakumari, Namakkal, Perambalur, Salem, Theni, Thiruvallur, Thiruchirapalli, Vellore and Villupuram districts.
4. Less than 1 % of wells show depth to water level more than 20 m bgl in Erode, Coimbatore, Tiruppur and Namakkal districts.
5. Depth to water level of less than 2 m bgl has been recorded in 11.21% of wells analysed and noted in all over the State except Madurai, Thiruvannamalai, Tiruppur, Vellore and UT of Puducherry.
6. Depth to water level in the range of 2 to 5 m bgl has been recorded in 42.59 % of wells analysed and noted in all the districts.
7. Depth to water level in the range of 5 to 10 m bgl has been recorded in 33.51 % of wells analysed and noted in all over the State except Karaikal region of UT of Puducherry and, Nagapattinam and Tiruvallur districts.

Table-11: Depth to Water Table (May 2024)

Table 11: Depth to Water Table (May 2024)							
Distribution of Percentage of Observation Wells							
District	No. of Wells Analysed	Depth to Water Table (mbgl)					
		No. of Wells Showing Depth to Water Table (mbgl) in the Range of					
		0-2	2-5	5-10	10-20	20-40	>40
Ariyalur	9	1	5	3	0	0	0
Chennai	18	2	13	3	0	0	0
Coimbatore	23	3	3	11	5	1	0
Cuddalore	30	3	15	10	2	0	0
Dharmapuri	22	1	7	5	9	0	0
Dindigul	27	4	8	7	8	0	0
Erode	58	3	14	26	12	3	0
Kancheepuram	39	3	21	15	0	0	0
Kanyakumari	13	3	6	3	1	0	0
Karaikal	4	1	3	0	0	0	0
Karur	12	1	5	5	1	0	0
Krishnagiri	17	2	2	11	2	0	0
Madurai	17	0	11	6	0	0	0
Nagapattinam	16	1	15	0	0	0	0
Namakkal	43	6	10	16	10	1	0
Nilgiris	8	3	4	1	0	0	0
Perambalur	16	1	5	8	2	0	0
Pondicherry	5	0	3	2	0	0	0
Pudukkottai	18	3	8	7	0	0	0
Ramanathapuram	24	9	11	3	1	0	0
Salem	42	3	14	16	9	0	0
Sivaganga	11	1	4	6	0	0	0
Thanjavur	15	2	6	6	1	0	0
Theni	13	2	6	3	2	0	0
Thiruvannamalai	19	0	6	11	2	0	0
Tiruchirapalli	42	1	13	17	11	0	0
Tirunelveli	30	7	16	6	1	0	0
Tiruppur	10	0	4	4	1	1	0
Tiruvallur	36	4	24	6	2	0	0
Tiruvarur	6	1	5	0	0	0	0
Tuticorin	24	9	10	5	0	0	0
Vellore	32	0	13	16	3	0	0
Villupuram	34	2	16	12	4	0	0
Virudhunagar	16	2	13	1	0	0	0
Total	**749**	**84**	**319**	**251**	**89**	**6**	**0**
%	**100.00**	**11.21**	**42.59**	**33.51**	**11.88**	**0.80**	**0.00**

Plate-IV

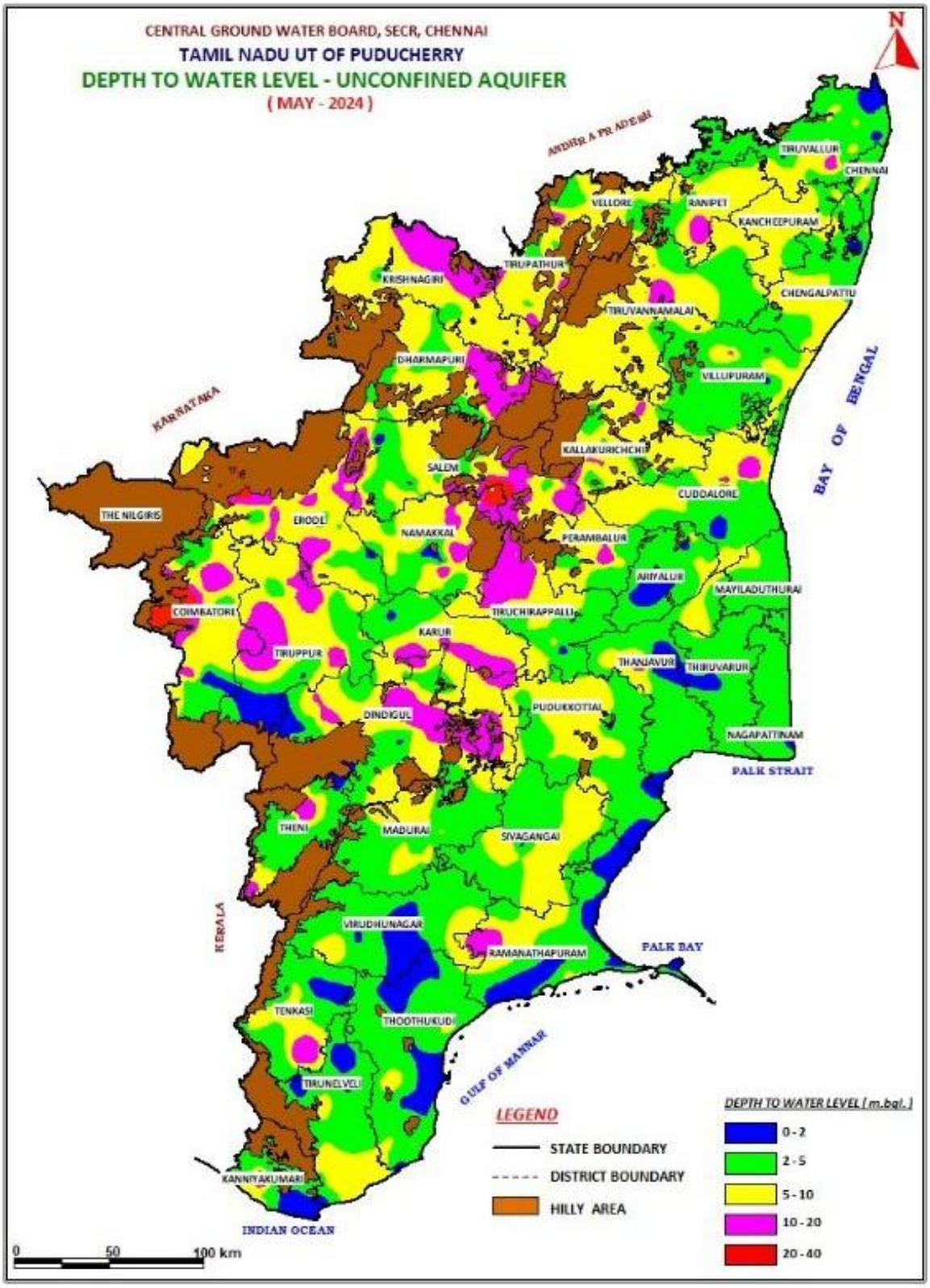
CENTRAL GROUND WATER BOARD, SECR, CHENNAI
TAMIL NADU UT OF PUDUCHERRY
DEPTH TO WATER LEVEL - UNCONFINED AQUIFER
(MAY - 2024)
N
ANDHRA PRADESH
KARNATAKA
KERALA
BAY OF BENGAL
PALK STRAIT
PALK BAY
GULF OF MANNAR
INDIAN OCEAN
TIRUVALLUR
CHENNAI
VELLORE
RANIPET
KANCHEEPURAM
TIRUPATHUR
KRISHNAGIRI
CHENGALPATTU
TIRUVANNAMALAI
DHARMAPURI
VILLUPURAM
KALLAKURICHCHI
SALEM
CUDDALORE
THE NILGIRIS
ERODE
NAMAKKAL
PERAMBALUR
ARIYALUR
MAYILADUTHURAI
COIMBATORE
TIRUCHIRAPPALLI
KARUR
TIRUPPUR
THANJAVUR
THIRUVARUR
DINDIGUL
PUDUKKOTTAI
NAGAPATTINAM
THENI
MADURAI
SIVAGANGAI
VIRUDHUNAGAR
RAMANATHAPURAM
TENKASI
THOOTHUKUDI
TIRUNELVELI
KANNIYAKUMARI
LEGEND
STATE BOUNDARY
DISTRICT BOUNDARY
HILLY AREA
DEPTH TO WATER LEVEL (m.bgl.)
0 - 2
2 - 5
5 - 10
10 - 20
20 - 40
0
50
100 km

2. AUGUST 2024

The statement showing the distribution of ground Water Monitoring wells along with depth to water levels in phreatic aquifer in different depth ranges is presented in **Table-12** and **Plate-V** depicts the ground water scenario in August 2024.

1. A perusal of the water level data reveals that the depth to water level ranged from 0.13 m bgl (Chennai district) to 39.78 m bgl (Namakkal District) in Tamil Nadu and UT of Puducherry.
2. Overall, 90.16 % of the wells monitored in the state and UT are in <10 m bgl range and spreaded over entire Tamil nadu
3. 9.19 % of wells show depth to water level between 10 to 20 m bgl noted mainly in Coimbatore, Dharmapuri, Erode, Namakkal, Salem and Trichy districts.
4. Less than 1 % of wells show depth to water level more than 20 m bgl in Erode,Coimbatore, Kanyakumari and Namakkal districts.
5. Depth to water level of less than 2 m bgl has been recorded in 14.44% of wells analysed and noted in all over the State except Tiruppur, Dharmapuri, Perambalur and UT of Puducherry.
6. Depth to water level in the range of 2 to 5 m bgl has been recorded in 44.62 % of wells analysed and noted in all the districts.
7. Depth to water level in the range of 5 to 10 m bgl has been recorded in 31.10 % of wells analysed and noted in all over the State except Karaikal region of UT of Puducherry and Chennai & Tiruvarur districts.

Table-12: Depth to Water Table (August 2024)

Distribution of Percentage of Observation Wells							
District	**No. of Wells Analysed**	**No. of Wells Showing Depth to Water Table (mbgl) in the Range of**					
		0-2	**2-5**	**5-10**	**10-20**	**20-40**	**>40**
Ariyalur	10	1	6	3			
Chennai	14	4	10				
Coimbatore	25	5	6	7	6	1	
Cuddalore	27	4	14	7	2		
Dharmapuri	21		5	10	6		
Dindigul	26	2	9	9	6		
Erode	61	1	17	29	12	2	
Kancheepuram	39	8	23	8			
Kanyakumari	13	3	4	4	1	1	
Karaikal	4		4				
Karur	13	2	5	6			
Krishnagiri	18	3	5	9	1		
Madurai	18	2	8	8			
Nagapattinam	16	1	14	1			
Namakkal	45	5	14	15	10	1	
Nilgiris	8	4	2	1	1		
Perambalur	16		8	5	3		
Pondicherry	4		2	2			
Pudukkottai	22	5	8	9			
Ramanathapuram	26	2	19	4	1		
Salem	41	7	14	13	7		
Sivaganga	11	2	4	5			
Thanjavur	16	3	7	6			
Theni	13	1	5	5	2		
Thiruvannamalai	19	4	8	7			
Tirunelveli	33	4	17	11	1		
Tiruppur	10		5	5			
Tiruvallur	41	16	20	5			
Tiruvarur	6	1	5				
Trichy	37	4	17	9	7		
Tuticorin	24	4	11	8	1		
Vellore	32	4	16	9	3		
Villupuram	37	7	16	14			
Virudhunagar	16	1	12	3			
Total	**762**	110	340	237	70	5	
%	**100.00**	**14.4**	**44.6**	**31.1**	**9.2**	**0.7**	

Plate-V

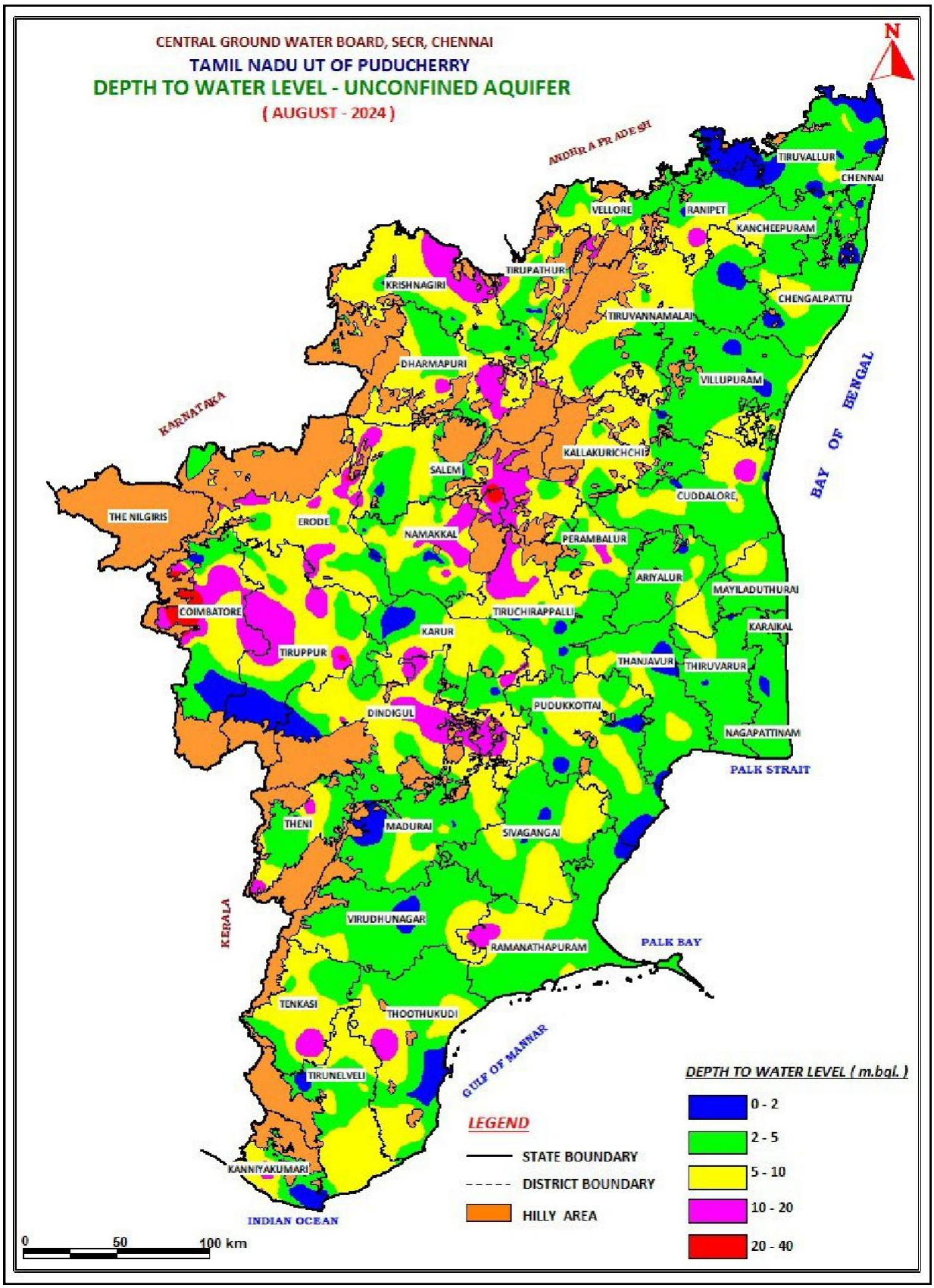
CENTRAL GROUND WATER BOARD, SECR, CHENNAI
TAMIL NADU UT OF PUDUCHERRY
DEPTH TO WATER LEVEL - UNCONFINED AQUIFER
(AUGUST - 2024)
N
ANDHRA PRADESH
KARNATAKA
KERALA
BAY OF BENGAL
PALK STRAIT
PALK BAY
GULF OF MANNAR
INDIAN OCEAN
TIRUVALLUR
CHENNAI
VELLORE
RANIPET
KANCHEEPURAM
TIRUPATHUR
KRISHNAGIRI
CHENGALPATTU
TIRUVANNAMALAI
DHARMAPURI
VILLUPURAM
KALLAKURICHCHI
SALEM
CUDDALORE
THE NILGIRIS
ERODE
NAMAKKAL
PERAMBALUR
ARIYALUR
MAYILADUTHURAI
COIMBATORE
TIRUCHIRAPPALLI
KARAIKAL
KARUR
TIRUPPUR
THANJAVUR
THIRUVARUR
PUDUKKOTTAI
DINDIGUL
NAGAPATTINAM
THENI
MADURAI
SIVAGANGAI
VIRUDHUNAGAR
RAMANATHAPURAM
TENKASI
THOOTHUKUDI
TIRUNELVELI
KANNIYAKUMARI
DEPTH TO WATER LEVEL (m.bgl.)
0 - 2
2 - 5
5 - 10
10 - 20
20 - 40
LEGEND
STATE BOUNDARY
DISTRICT BOUNDARY
HILLY AREA
0
50
100 km

3. NOVEMBER 2024

The statement showing the distribution of Ground Water Monitoring wells along with depth to water level of phreatic aquifer in different depth ranges is presented in **Table-13 and Plate- VI** depicts the ground water scenario in November 2024. Salient features of the depth to water level scenario during November 2024 are given below.

1. A perusal of the water level data reveals that the depth to water level ranged from 0.02m bgl (Ariyalur district) to 37.35 m bgl (Namakkal District) in Tamil Nadu and UT of Puducherry.
2. Overall, 94 % of the wells monitored in the state and UT are in <10 m bgl range and spreaded over entire Tamil nadu
3. 4.98 % of wells show depth to water level between 10 to 20 m bgl noted mainly in Coimbatore, Erode, Namakkal, Salem, Velllore and Trichy districts.
4. Less than 1 % of wells show depth to water level more than 20 m bgl in Coimbatore and Namakkal districts.
5. Depth to water level of less than 2 m bgl has been recorded in 30.55% of wells analysed and noted in all over the State except UT of Puducherry.
6. Depth to water level in the range of 2 to 5 m bgl has been recorded in 43.74 % of wells analysed and noted in all the districts.
7. Depth to water level in the range of 5 to 10 m bgl has been recorded in 20.46 % of wells analysed and noted in all over the State except Karaikal region of UT of Puducherry and Chennai, Perambalur, Sivaganga & Tiruvallur districts.

Table :13 Depth to Water Table November 2024

Distribution of Percentage of Observation Wells							
District	**No. of Wells Analysed**	**No. of Wells Showing Depth to Water Table (mbgl) in the Range of**					
		0-2	**2-5**	**5-10**	**10-20**	**20-40**	**>40**
Ariyalur	9	5	3	1			
Chennai	14	5	9				
Coimbatore	25	4	11	3	6	1	
Cuddalore	29	8	16	3	2		
Dharmapuri	20	2	7	9	2		
Dindigul	27	8	9	9	1		
Erode	61	13	22	20	6		
Kancheepuram	42	13	27	2			
Kanyakumari	13	3	6	4			
Karaikal	4	3	1				
Karur	13	5	2	6			
Krishnagiri	17	7	7	2	1		
Madurai	14	5	5	4			
Nagapattinam	16	11	4	1			
Namakkal	45	12	16	12	4	1	
Nilgiris	8	4	2	1	1		
Perambalur	16	4	11		1		
Pondicherry	3		2	1			
Pudukkottai	21	8	11	2			
Ramanathapura m	26	6	13	6	1		
Salem	35	8	17	7	3		
Sivaganga	12	6	6				
Thanjavur	14	8	5	1			
Theni	12	1	7	3	1		
Thiruvannamala i	21	7	7	7			
Tiruchirapalli	32	5	13	11	3		
Tirunelveli	9	1	6	2			
Tiruppur	40	22	15	3			
Tiruvallur	5	4	1				
Tiruvarur	38	13	14	9	2		
Tuticorin	23	8	9	6			
Vellore	29	8	13	5	3		
Villupuram	34	8	18	8			
Virudhunagar	16	2	10	4			
Total	743	**227**	**325**	**152**	**37**	**2**	
%	**100.00**	**30.55**	**43.74**	**20.46**	**4.98**	**0.27**	**0.00**

Plate-VI

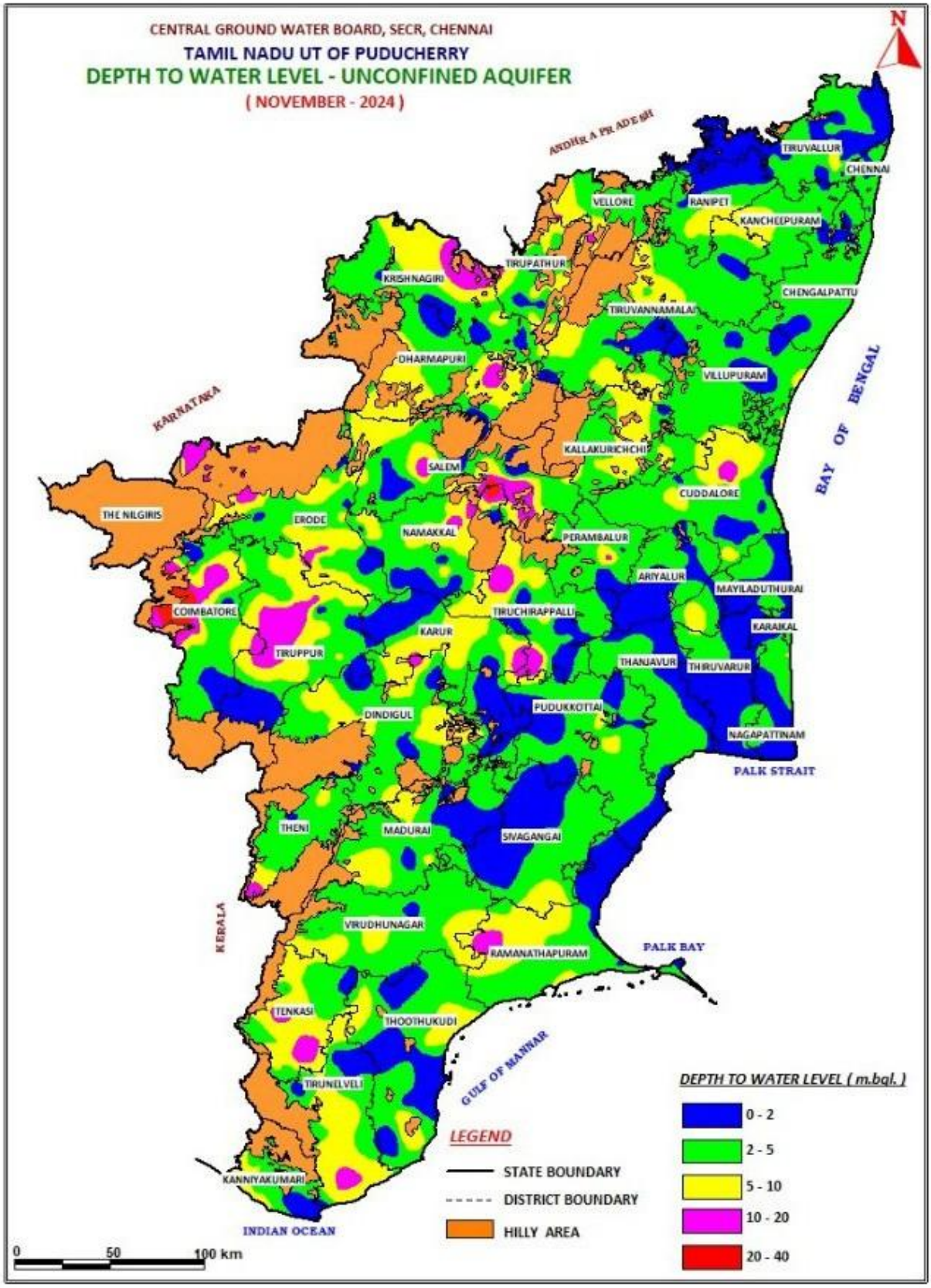
CENTRAL GROUND WATER BOARD, SECR, CHENNAI
TAMIL NADU UT OF PUDUCHERRY
DEPTH TO WATER LEVEL - UNCONFINED AQUIFER
(NOVEMBER - 2024)
N
ANDHRA PRADESH
KARNATAKA
KERALA
BAY OF BENGAL
PALK STRAIT
PALK BAY
GULF OF MANNAR
INDIAN OCEAN
TIRUVALLUR
CHENNAI
VELLORE
RANIPET
KANCHEEPURAM
TIRUPATHUR
KRISHNAGIRI
CHENGALPATTU
TIRUVANNAMALAI
DHARMAPURI
VILLUPURAM
KALLAKURICHCHI
SALEM
CUDDALORE
THE NILGIRIS
ERODE
NAMAKKAL
PERAMBALUR
ARIYALUR
MAYILADUTHURAI
COIMBATORE
TIRUCHIRAPPALLI
KARAIKAL
KARUR
TIRUPPUR
THANJAVUR
THIRUVARUR
PUDUKKOTTAI
DINDIGUL
NAGAPATTINAM
THENI
MADURAI
SIVAGANGAI
VIRUDHUNAGAR
RAMANATHAPURAM
TENKASI
THOOTHUKUDI
TIRUNELVELI
KANNIYAKUMARI
LEGEND
STATE BOUNDARY
DISTRICT BOUNDARY
HILLY AREA
DEPTH TO WATER LEVEL (m.bgl.)
0 - 2
2 - 5
5 - 10
10 - 20
20 - 40
0
50
100 km

JANUARY 2025

The statement showing the distribution of ground Water Monitoring wells along with depth to water levels in phreatic aquifer in different depth ranges is presented in **Table-14** and **Plate-VII** depicts the ground water scenario in January 2025. Salient features of the depth to water level scenario during January 2025 are given below.

1. Analysis of depth to water level data of 774 wells shows water levels ranged from 0.05m bgl (Kancheepuram district) to 30.35 m bgl (Coimbatore District) in Tamil Nadu and UT of Puducherry.

2. Water level of less than 2 m bgl is recorded in 34.88 % of wells, between 2 to 5 m bgl in 44.19% of wells, between 5 to 10 m bgl in 17.44 % of wells, between 10 to 20 m bgl in 3.23 % of wells, between 20-40 m bgl is less than 1% of wells.

3. Overall, 97 % of the wells monitored in the state and UT are in <10 m bgl range and spreaded over entire Tamil nadu.

4. 3.23 % of wells show depth to water level between 10 to 20 m bgl noted mainly in Coimbatore, Erode, and Trichy districts.

5. Less than 1 % of wells show depth to water level more than 20 m bgl in Coimbatore and Namakkal districts.

6. Depth to water level of less than 2 m bgl has been recorded in 34.88 % of wells analysed and noted in all over the State except UT of Puducherry. Depth to water level in the range of 2 to 5 m bgl has been recorded in 44.19% of wells analysed and noted in all the districts.

7. Depth to water level in the range of 5 to 10 m bgl has been recorded in 17.44 % of wells analysed and noted in all over the State except Karaikal region of UT of Puducherry and Chennai,Tiruvarur & Tiruvallur districts.

Table 14: Depth to Water Table (January 2025)							
Distribution of Percentage of Observation Wells							
District	**No. of Wells Analysed**	**No. of Wells Showing Depth to Water Table (mbgl) in the Range of**					
		0-2	**2-5**	**5-10**	**10-20**	**20-40**	**>40**
Ariyalur	11	5	4	2			
Chennai	15	4	11				
Coimbatore	25	7	6	7	4	1	
Cuddalore	30	8	20	2			
Dharmapuri	24	4	14	6			
Dindigul	26	10	12	3	1		
Erode	61	8	25	22	6		
Kancheepuram	43	18	20	5			
Kanyakumari	13	3	2	6	2		
Karaikal	4	3	1				
Karur	13	5	3	5			
Krishnagiri	18	7	7	3	1		
Madurai	17	3	8	6			
Nagapattinam	16	6	9	1			
Namakkal	44	10	21	10	2	1	
Nilgiris	7	3	3	1			
Perambalur	16	4	10	2			
Pondicherry	4		4				
Pudukkottai	22	9	7	6			
Ramanathapuram	26	17	5	4			
Salem	43	5	25	10	3		
Sivaganga	12	3	8	1			
Thanjavur	13	8	5				
Theni	13	2	7	3	1		
Thiruvannamalai	20	8	7	5			
Tirunelveli	33	15	15	2	1		
Tiruppur	9	1	4	4			
Tiruvallur	44	32	12				
Tiruvarur	6	5	1				
Trichy	41	18	14	6	3		
Tuticorin	23	8	12	3			
Vellore	32	12	12	7	1		
Villupuram	34	16	16	2			
Virudhunagar	16	3	12	1			
Total	774	270	342	135	25	2	
%	100	34.88	44.19	17.44	3.23	0.26	0.00

Plate-VII

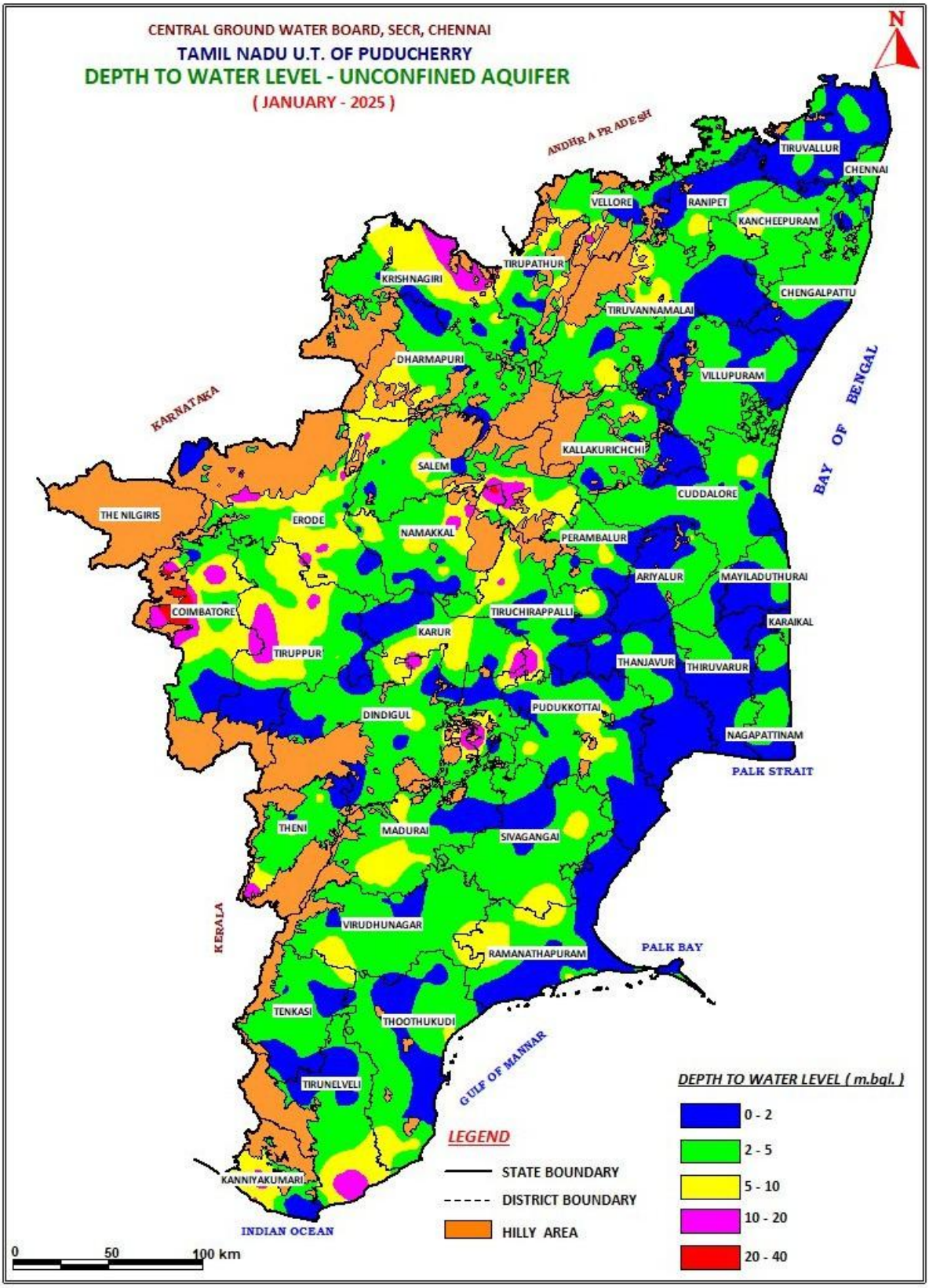
CENTRAL GROUND WATER BOARD, SECR, CHENNAI
TAMIL NADU U.T. OF PUDUCHERRY
DEPTH TO WATER LEVEL - UNCONFINED AQUIFER
(JANUARY - 2025)
N
ANDHRA PRADESH
KARNATAKA
KERALA
BAY OF BENGAL
PALK STRAIT
PALK BAY
GULF OF MANNAR
INDIAN OCEAN
TIRUVALLUR
CHENNAI
VELLORE
RANIPET
KANCHEEPURAM
TIRUPATHUR
KRISHNAGIRI
CHENGALPATTU
TIRUVANNAMALAI
DHARMAPURI
VILLUPURAM
KALLAKURICHCHI
SALEM
CUDDALORE
THE NILGIRIS
ERODE
NAMAKKAL
PERAMBALUR
ARIYALUR
MAYILADUTHURAI
COIMBATORE
TIRUCHIRAPPALLI
KARAIKAL
KARUR
TIRUPPUR
THANJAVUR
THIRUVARUR
PUDUKKOTTAI
DINDIGUL
NAGAPATTINAM
THENI
MADURAI
SIVAGANGAI
VIRUDHUNAGAR
RAMANATHAPURAM
TENKASI
THOOTHUKUDI
TIRUNELVELI
KANNIYAKUMARI
LEGEND
STATE BOUNDARY
DISTRICT BOUNDARY
HILLY AREA
DEPTH TO WATER LEVEL (m.bgl.)
0 - 2
2 - 5
5 - 10
10 - 20
20 - 40
0
50
100 km

III HYDROGRAPHS

Plate VIII

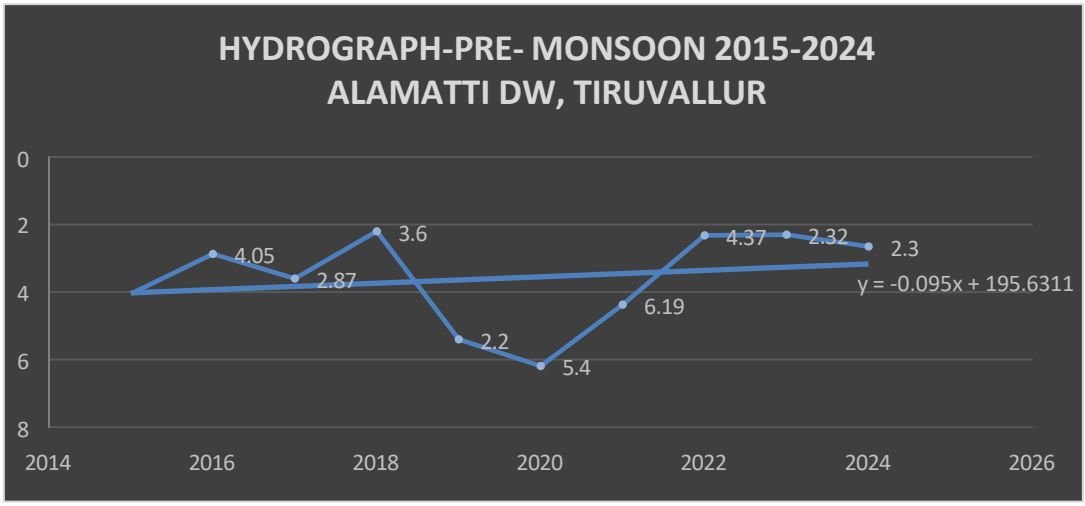

Plate IX

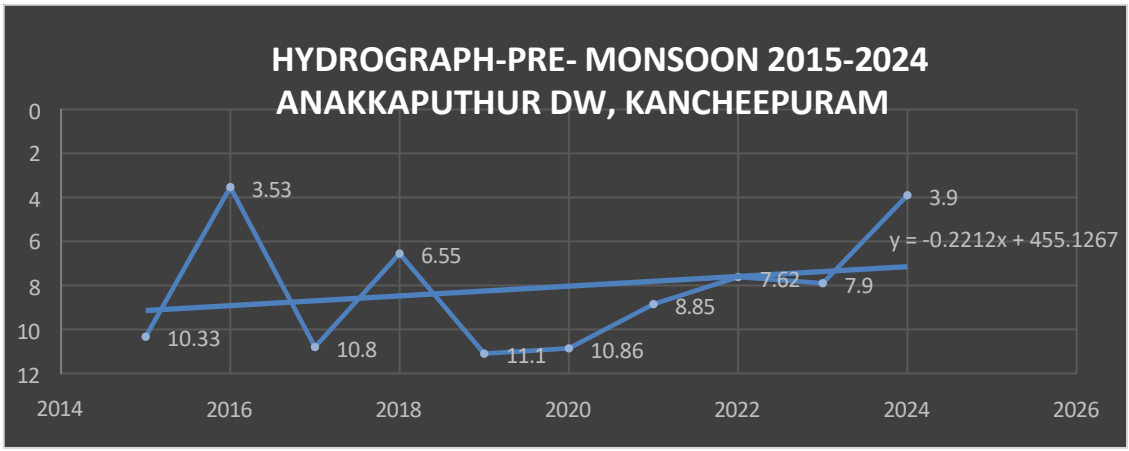

Plate X

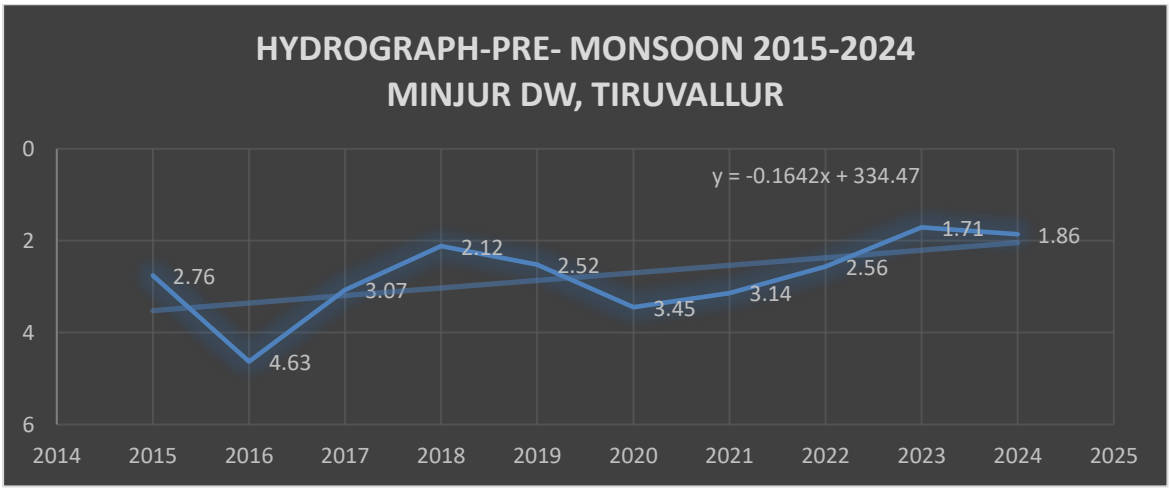

Plate XI

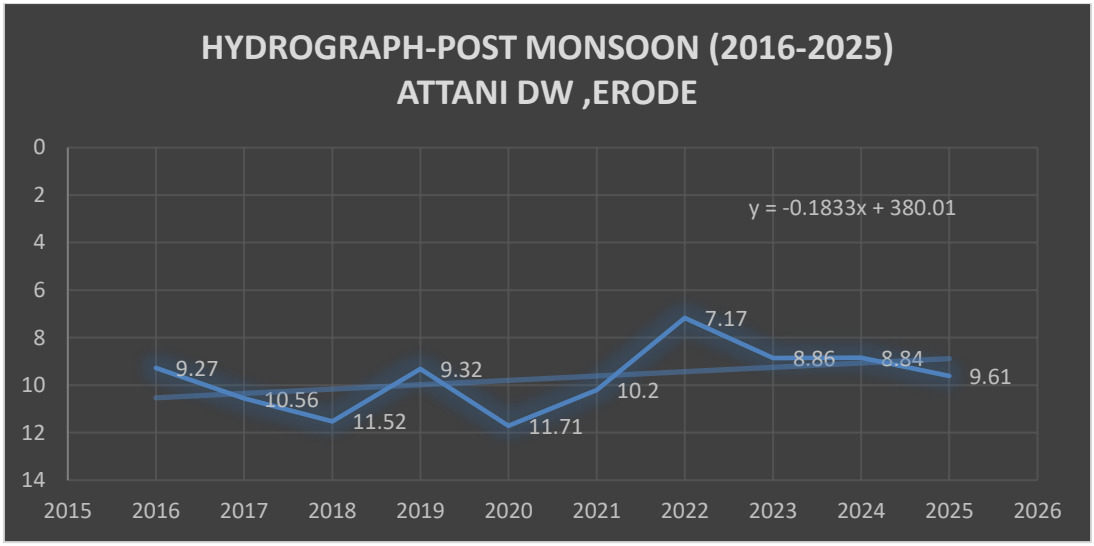

Plate XII

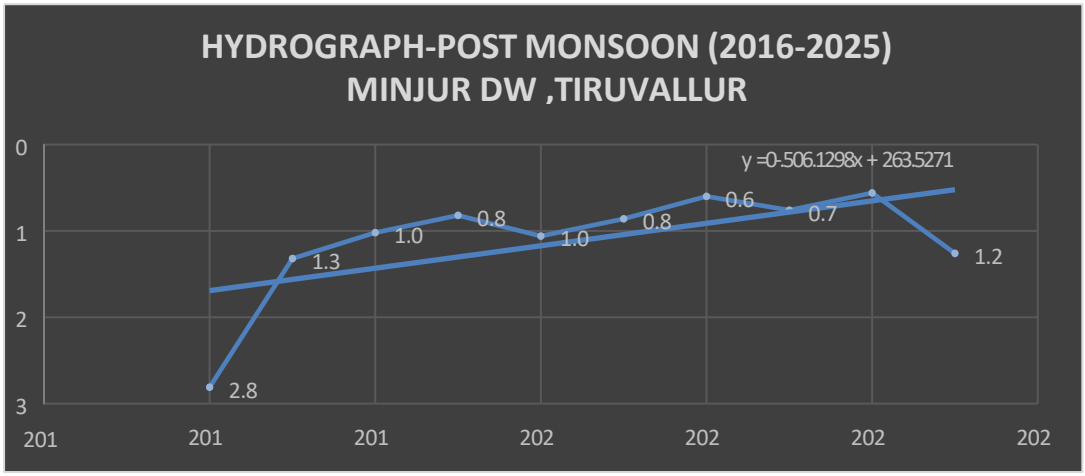

Plate XIII

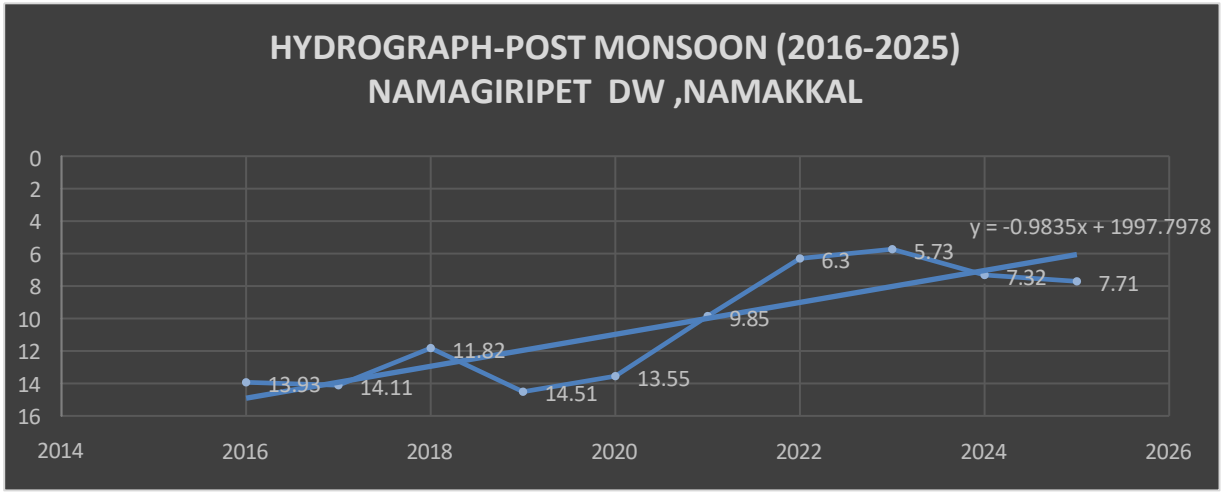

FLUCTUATION OF WATER LEVEL

The water level fluctuation denotes the cumulative effect of southwest and northeast monsoons and ground water development during the period. Rise denotes adequate compensation of the ground water development and fall denotes inadequacy of recharge.
Three types of fluctuations have been calculated, viz. 1) Seasonal, 2)Decadal and 3) Annual fluctuations

IV SEASONAL FLUCTUATION (Unconfined Aquifer)

1. WATER LEVELS FOR THE PERIOD MAY 2024 & AUGUST 2024

The district-wise distribution of Ground water monitoring wells falling in different ranges of water level fluctuation is presented in **Table-15** and **Plate- XIV.** A comparison of water level shows a rise in 60.58 % and a fall in 39.42 % of the wells. Both the rise and fall is mainly in 0-2 m range.

Rise in Water Levels:

Out of 728 wells, water level rise of less than 2 m is recorded in 42.45 % wells, 2 to 4 m in 12.64 % wells and more than 4 m in 5.49 % of the wells. Water level rise of less than 2 m is seen in all the districts. Water level rise of 2 to 4 m is observed in all the districts except in districts such as Ariyalur, Dharmapuri, Sivaganga and Virudhunagar. Rise of more than 4 m is significantly observed in Erode, Namakkal, Trichy and Villupuram districts.

Fall in Water Levels:

Out of 728 wells, water level fall of less than 2 m is recorded in 33.79 % wells, 2 to 4 m in 4.53 % wells and more than 4 m in 1% of the wells. Water level fall of less than 2 m is seen in all the districts. Water level fall of 2 to 4 m is observed mainly in districts such as Kanyakumari, Tirunelveli, Coimbatore, Madurai and Salem districts. Rise of more than 4 m is significantly observed in Coimbatore, Cuddalore, Dindigul, Erode, Namakkal, Nilgiris, Tuticorin and Vellore districts.

Table 15: Seasonal Water Level Fluctuation-May 2024 with August 2024 - Unconfined

Table 15: Seasonal Water Level Fluctuation-May 2024 with August 2024 -Unconfined									
S. No	District	Water level fluctuation						No of wells recorded rise	No of wells recorded fall
		Range of rise (m)			Range of fall (m)				
		< 2	2-4	> 4	< 2	2-4	>4		
1	Ariyalur	5			3	1		5	4
2	Chennai	9	1		2			10	2
3	Coimbatore	7	2	3	6	3	1	12	10
4	Cuddalore	10	1	1	13		1	12	14
5	Dharmapuri	14		1	4	1		15	5
6	Dindigul	11	3	2	7	1	1	16	9
7	Erode	20	6	5	24	1	1	31	26
8	Kancheepuram	21	8	2	6			31	6
9	Kanyakumari	1			9	3		1	12
10	Karaikal	1	1		7			2	7
11	Karur	8	1	1	2			10	2
12	Krishnagiri	9	3	1	4			13	4
13	Madurai	5	1	2	7	2		8	9
14	Nagapattinam	3			13			3	13
15	Namakkal	15	6	4	16	1	1	25	18
16	Nilgiris	4	1		2		1	5	3
17	Perambalur	6		2	7	1		8	8
18	Pondicherry	7	2		4			9	4
19	Pudukkottai	10	3		4			13	4
20	Ramanathapuram	1			22	1		1	23
21	Salem	21	13	2	1	2		36	3
22	Sivaganga	8			3			8	3
23	Thanjavur	8	1	1	5			10	5
24	Theni	5	1		5	2		6	7
25	Thiruvannamalai	7	5	3	1			15	1
26	Tirunelveli	7			15	7		7	22
27	Tiruppur	4	1		2			5	2
28	Tiruvallur	21	9	1	5	2		31	7
29	Tiruvarur	2			4			2	4
30	Trichy	20	7	5	4	1		32	5
31	Tuticorin	1			19	3	1	1	23
32	Vellore	16	11		1	1	1	27	3
33	Villupuram	17	5	4	8			26	8
34	Virudhunagar	5			11			5	11
	Total	309	92	40	246	33	8	441	287
	%	42.45	12.64	5.49	33.79	4.53	1.10	60.58	39.42

Plate XIV

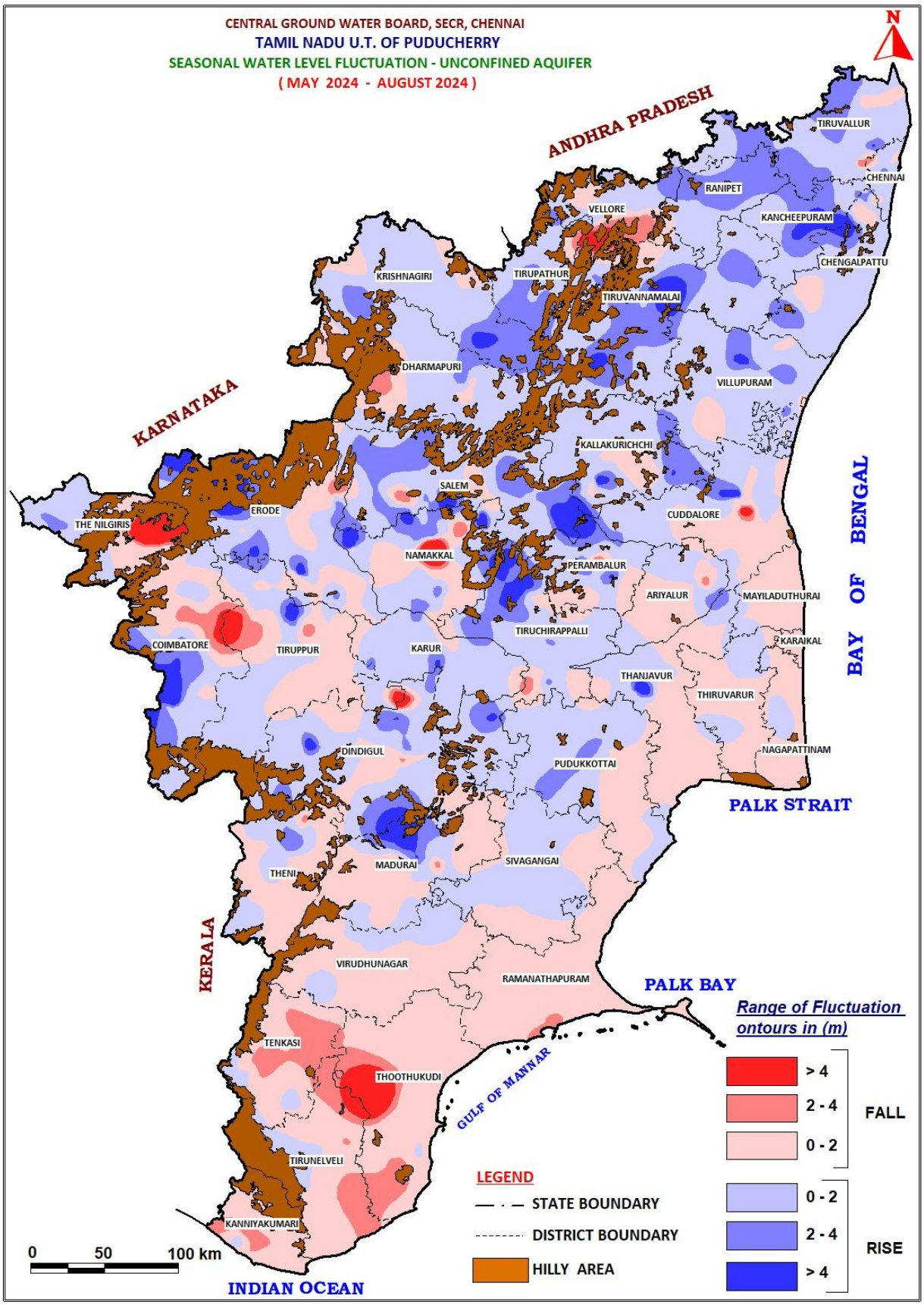
CENTRAL GROUND WATER BOARD, SECR, CHENNAI
TAMIL NADU U.T. OF PUDUCHERRY
SEASONAL WATER LEVEL FLUCTUATION - UNCONFINED AQUIFER
(MAY 2024 - AUGUST 2024)
N
ANDHRA PRADESH
KARNATAKA
KERALA
BAY OF BENGAL
PALK STRAIT
PALK BAY
GULF OF MANNAR
INDIAN OCEAN
TIRUVALLUR
CHENNAI
RANIPET
VELLORE
KANCHEEPURAM
CHENGALPATTU
KRISHNAGIRI
TIRUPATHUR
TIRUVANNAMALAI
DHARMAPURI
VILLUPURAM
KALLAKURICHCHI
SALEM
ERODE
THE NILGIRIS
CUDDALORE
NAMAKKAL
PERAMBALUR
ARIYALUR
MAYILADUTHURAI
TIRUCHIRAPPALLI
KARAIKAL
COIMBATORE
TIRUPPUR
KARUR
THANJAVUR
THIRUVARUR
DINDIGUL
NAGAPATTINAM
PUDUKKOTTAI
MADURAI
SIVAGANGAI
THENI
VIRUDHUNAGAR
RAMANATHAPURAM
TENKASI
THOOTHUKUDI
TIRUNELVELI
KANNIYAKUMARI
0 50 100 km
Range of Fluctuation ontours in (m)
> 4
2 - 4
0 - 2
FALL
0 - 2
2 - 4
> 4
RISE
LEGEND
STATE BOUNDARY
DISTRICT BOUNDARY
HILLY AREA

2. WATER LEVELS FOR THE PERIOD MAY 2024 & NOVEMBER 2024

The district-wise distribution of Ground water monitoring wells falling in different ranges of water level fluctuation is presented in **Table-16** and **Plate- XV.**
A comparison of water level shows a rise in 78.27 % and a fall in 21.73 % of the wells. Both the rise and fall is mainly in 0-2 m range.

Rise in Water Levels:

Out of 704 wells, water level rise of less than 2 m is recorded in 40.48% wells, 2 to 4 m in 22.30 % wells and more than 4 m in 15.48 % of the wells. Water level rise of less than 2 m is seen in all the districts except Kanyakumari district. Water level rise of 2 to 4 m is observed in all the districts except in districts such as Chennai, Theni, Nilgiris and Virudhunagar. Rise of more than 4 m is significantly observed in Coimbatore, Dharmapuri, Dindigul, Erode, Krishnagiri, Namakkal, Salem and Trichy districts.

Fall in Water Levels:

Out of 704 wells, water level fall of less than 2 m is recorded in 16.34 % wells, 2 to 4 m in 2.98 % wells and more than 4 m in 2.41% of the wells. Water level fall of less than 2 m is seen in all the districts, except in Karaiakl, Sivaganga, Krishnagiri, Trichy, Vellore and Tiruvarur districts. Water level fall of 2 to 4 m is observed mainly in districts such as Madurai, UT of Puducherry and Tirunelveli . Rise of more than 4 m is significantly observed in Erode, Tirunelveli and Tuticorin districts.

Table 16: Seasonal Water Level Fluctuation-May 2024 with November 2024 -Unconfined

Table 16: Seasonal Water Level Fluctuation- May 2024 with November 2024 - Unconfined									
S. No	District	Water level fluctuation						No of wells recorded rise	No of wells recorded fall
		Range of rise (m)			Range of fall (m)				
		< 2	2-4	> 4	< 2	2-4	>4		
1	Ariyalur	6	1		1			7	1
2	Chennai	11		1	1			12	1
3	Coimbatore	8	6	5	2			19	2
4	Cuddalore	14	2	1	10	1		17	11
5	Dharmapuri	3	5	7	3	1		15	4
6	Dindigul	13	4	6	2		1	23	3
7	Erode	23	13	16	2	1	2	52	5
8	Kancheepuram	21	8	5	3	1		34	4
9	Kanyakumari		1	1	11			2	11
10	Karaikal	5		1				6	0
11	Karur	5	5	1	1			11	1
12	Krishnagiri	4	6	6				16	0
13	Madurai	6	3	2	1	2		11	3
14	Nagapattinam	8	3		4			11	4
15	Namakkal	18	8	14	1	1	1	40	3
16	Nilgiris	4			3		1	4	4
17	Perambalur	7	4	3	2			14	2
18	Pondicherry	6	2		1	2	1	8	4
19	Pudukkottai	7	6	1	2			14	2
20	Ramanathapuram	7	1		15	1		8	16
21	Salem	9	11	10	2	1	1	30	4
22	Sivaganga	5	4	2				11	0
23	Thanjavur	7	5		1			12	1
24	Theni	5		1	6			6	6
25	Thiruvannamalai	8	7	4				19	0
26	Tirunelveli	6	1		11	7	4	7	22
27	Tiruppur	3	2	1	1			6	1
28	Tiruvallur	17	13	3	1	1		33	2
29	Tiruvarur	4	1					5	0
30	Trichy	11	14	10			1	35	1
31	Tuticorin	2	1		16	1	3	3	20
32	Vellore	12	11	3			1	26	1
33	Villupuram	13	9	5	5			27	5
34	Virudhunagar	7			7	1	1	7	9
	Grand Total	285	157	109	115	21	17	551	153
	%	40.48	22.30	15.48	16.34	2.98	2.41	78.27	21.73

Plate XV

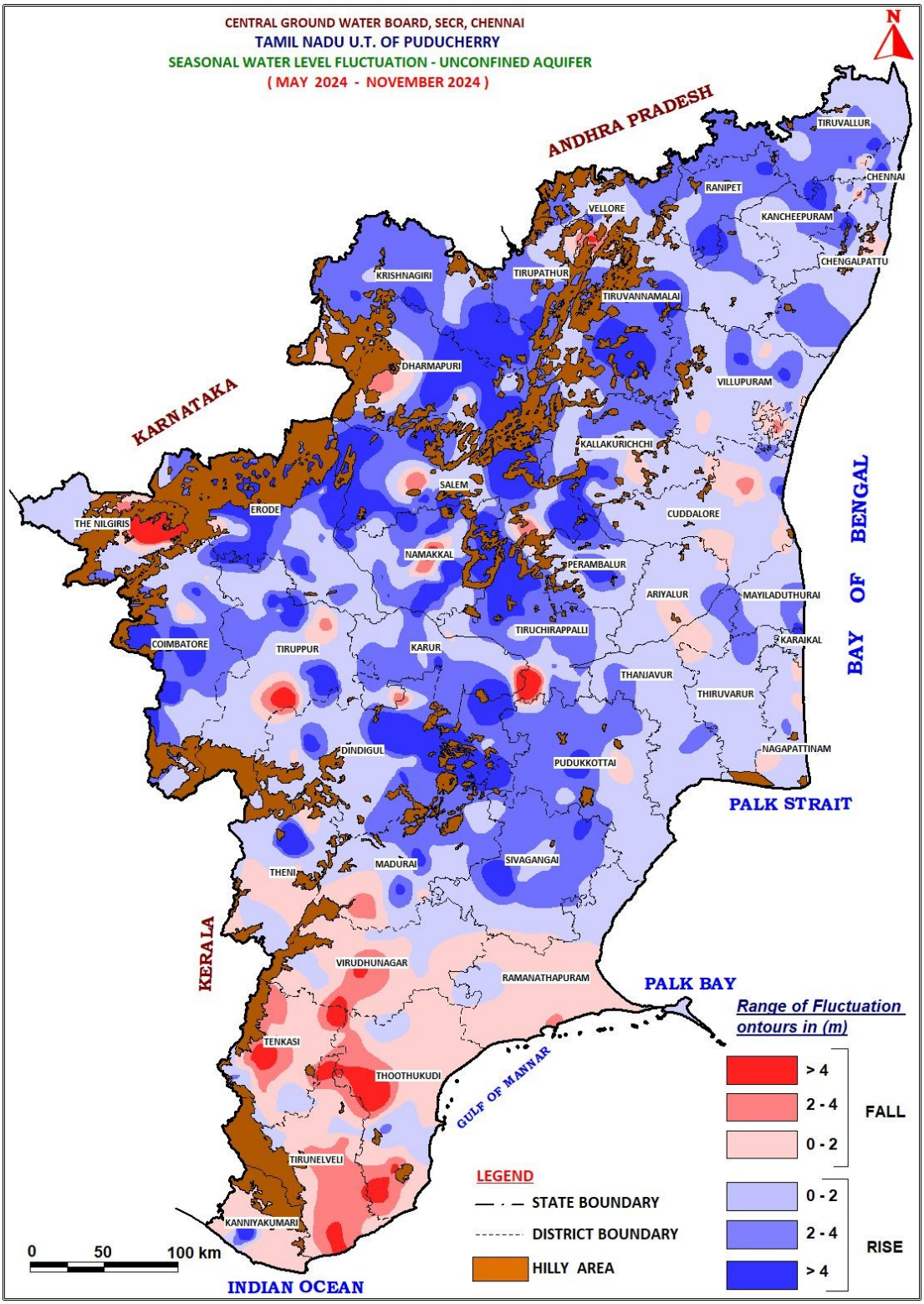
CENTRAL GROUND WATER BOARD, SECR, CHENNAI
TAMIL NADU U.T. OF PUDUCHERRY
SEASONAL WATER LEVEL FLUCTUATION - UNCONFINED AQUIFER
(MAY 2024 - NOVEMBER 2024)
N
ANDHRA PRADESH
KARNATAKA
KERALA
BAY OF BENGAL
PALK STRAIT
PALK BAY
GULF OF MANNAR
INDIAN OCEAN
TIRUVALLUR
CHENNAI
RANIPET
VELLORE
KANCHEEPURAM
CHENGALPATTU
KRISHNAGIRI
TIRUPATHUR
TIRUVANNAMALAI
DHARMAPURI
VILLUPURAM
KALLAKURICHCHI
SALEM
ERODE
THE NILGIRIS
CUDDALORE
NAMAKKAL
PERAMBALUR
ARIYALUR
MAYILADUTHURAI
TIRUCHIRAPPALLI
KARAIKAL
COIMBATORE
TIRUPPUR
KARUR
THANJAVUR
THIRUVARUR
DINDIGUL
PUDUKKOTTAI
NAGAPATTINAM
MADURAI
SIVAGANGAI
THENI
VIRUDHUNAGAR
RAMANATHAPURAM
TENKASI
THOOTHUKUDI
TIRUNELVELI
KANNIYAKUMARI
Range of Fluctuation ontours in (m)
> 4
2 - 4
0 - 2
FALL
0 - 2
2 - 4
> 4
RISE
LEGEND
STATE BOUNDARY
DISTRICT BOUNDARY
HILLY AREA
0 50 100 km

3. WATER LEVELS FOR THE PERIOD MAY 2024 & JANUARY 2025

The district-wise distribution of Ground water monitoring wells falling in different ranges of water level fluctuation is presented in **Table-17** and **Plate- XVI.** A comparison of water level shows a rise in 86.89 % and a fall in 13.11 % of the wells. Both the rise and fall is mainly in 0-2 m range.

Rise in Water Levels:

Out of 717 wells, water level rise of less than 2 m is recorded in 42.40% wells, 2 to 4 m in 24.27 % wells and more than 4 m in 20.22 % of the wells. Water level rise of less than 2 m is seen in all the districts. Water level rise of 2 to 4 m is observed in all the districts except in districts such as Kanyakumari, Karaikal, Nilgiris and Theni. Rise of more than 4 m is significantly observed in Erode, Dharmapuri, Namakkal, Salem, Trichy and Villupuram districts.

Fall in Water Levels:

Out of 717 wells, water level fall of less than 2 m is recorded in 10.60% wells, 2 to 4 m in 1.53% wells and more than 4 m in less than 1% of the wells. Water level fall of less than 2 m is seen in all the districts, except in Ariyalur, Chennai, Sivaganga, Tiruvarur, Vellore and Villupuram districts. Water level fall of 2 to 4 m is observed mainly in districts such as Cuddalore, Dharmapuri, Kanyakumari, Namakkal, Tirunelveli, Trichy and Virudhunagar districts. Rise of more than 4 m is significantly observed in Ariyalur, Erode ,Kanyakumari , Trichi and Vellore districts.

Table 17: Seasonal Water Level Fluctuation- May 2024 with January 2025 - Unconfined

Table 16: Seasonal Water Level Fluctuation-May 2024 with January 2025 - Unconfined									
S. No	District	Water level fluctuation						No of wells recorded rise	No of wells recorded fall
		Range of rise (m)			Range of fall (m)				
		< 2	2-4	> 4	< 2	2-4	>4		
1	Ariyalur	6	2				1	8	1
2	Chennai	12	3					15	0
3	Coimbatore	13	2	6	1			21	1
4	Cuddalore	12	9	4	3	1		25	4
5	Dharmapuri	3	4	11	2	1		18	3
6	Dindigul	8	8	7	1		1	23	2
7	Erode	24	14	14	4		1	52	5
8	Kancheepuram	19	9	7	3			35	3
9	Kanyakumari	2			5	5	1	2	11
10	Karaikal	4						4	0
11	Karur	4	7	1				12	0
12	Krishnagiri	4	6	6	1			16	1
13	Madurai	6	2	1	8			9	8
14	Nagapattinam	11	1		3			12	3
15	Namakkal	15	6	16	5	1		37	6
16	Nilgiris	2			5			2	5
17	Perambalur	2	7	6	1			15	1
18	Pondicherry	2	1		1			3	1
19	Pudukkottai	7	6	2	2			15	2
20	Ramanathapuram	19	4		1			23	1
21	Salem	15	11	10	3			36	3
22	Sivaganga	5	4	2				11	0
23	Thanjavur	6	3	1	2			10	2
24	Theni	7		1	5			8	5
25	Thiruvannamalai	3	7	8				18	0
26	Tirunelveli	18	2	1	7	1	1	21	9
27	Tiruppur	3	2	1	1			6	1
28	Tiruvallur	17	14	4	1			35	1
29	Tiruvarur	4	1					5	0
30	Trichy	7	15	16		1	1	38	2
31	Tuticorin	16	1		6			17	6
32	Vellore	9	12	8			1	29	1
33	Villupuram	9	11	12				32	0
34	Virudhunagar	10			5	1		10	6
	Grand Total	304	174	145	76	11	7	623	94
		42.40	24.27	20.22	10.60	1.53	0.98	86.89	13.11

Plate XVI

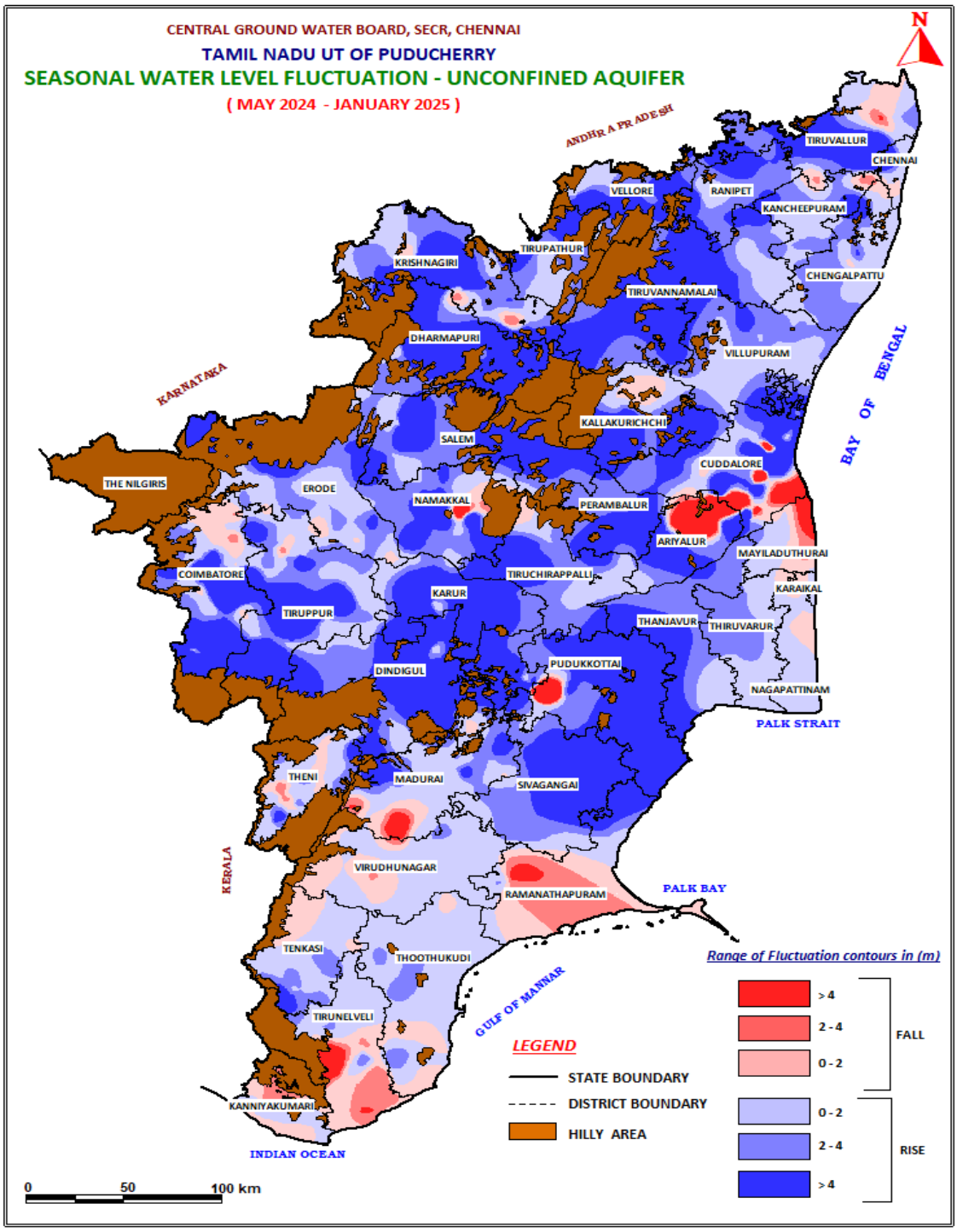
CENTRAL GROUND WATER BOARD, SECR, CHENNAI
TAMIL NADU UT OF PUDUCHERRY
SEASONAL WATER LEVEL FLUCTUATION - UNCONFINED AQUIFER
(MAY 2024 - JANUARY 2025)
N
ANDHRA PRADESH
KARNATAKA
KERALA
BAY OF BENGAL
PALK STRAIT
PALK BAY
GULF OF MANNAR
INDIAN OCEAN
TIRUVALLUR
CHENNAI
VELLORE
RANIPET
KANCHEEPURAM
TIRUPATHUR
KRISHNAGIRI
CHENGALPATTU
TIRUVANNAMALAI
DHARMAPURI
VILLUPURAM
KALLAKURICHCHI
SALEM
CUDDALORE
THE NILGIRIS
ERODE
NAMAKKAL
PERAMBALUR
ARIYALUR
MAYILADUTHURAI
COIMBATORE
TIRUCHIRAPPALLI
KARAIKAL
KARUR
TIRUPPUR
THANJAVUR
THIRUVARUR
DINDIGUL
PUDUKKOTTAI
NAGAPATTINAM
THENI
MADURAI
SIVAGANGAI
VIRUDHUNAGAR
RAMANATHAPURAM
TENKASI
THOOTHUKUDI
TIRUNELVELI
KANNIYAKUMARI
Range of Fluctuation contours in (m)
> 4
2 - 4
0 - 2
FALL
0 - 2
2 - 4
> 4
RISE
LEGEND
STATE BOUNDARY
DISTRICT BOUNDARY
HILLY AREA
0
50
100 km

V. DECADAL FLUCTUATION (UNCONFINED AQUIFER)

Fluctuation between Decadal Mean Water Level & Water Level

The fluctuation of water level recorded during the particular period with respect to decadal mean of the same period indicate the impact of ground water development and ground water recharge during the decade. Positive fluctuation indicates improved recharge over and above ground water development and negative fluctuation indicates increased ground water development over and above the recharge.

1. MEAN WATER LEVELS MAY 2014-2023 & MAY 2024

The statement showing the distribution of ground water monitoring wells falling in different ranges of fluctuation is presented in **Table-18** and **Plate-XVII**. A comparison of water levels shows that a rise in the water level is recorded in 76.95 % of wells analysed, while 23.05 % recorded fall. While rise is more in 0-2 m range and the fall is also in the same range.

1. The most of the districts of Tamil Nadu and UT of Puducherry have recorded rise. 77% of the wells have recorded rise.
2. Rise in the water level in the range of 0-2m has been observed in 43.94 % of wells analysed, noted all over the State and UT of Puducherry
3. Rise in the water level of 2 to 4 m has been observed in 20.22 % and of wells analysed and noted all over the state except Karaikal region of UT of Puducherry
4. Rise in the water level more than 4 m has been observed in 12.80 % and of wells analysed and noted all over the state except Ariyalur, Chennai, Karur, Nagapattinam, Thanjavur, Tiruvarur and Trichy districts and Karaikal and Puducherry of UT of Puducherry.

5. The fall in water level in the range of 0-2m has been observed in 16.58 % of wells analysed and spread most the districts in the State except Kanyakumari, Nagapattinam, Nilgiris, Theni districts and UT of Puducherry.

6. The fall in water level in the range of 2-4m has been observed in 3.77 % of wells analysed and noted mainly in Coimbatore, Dharmapuri, Dindigul, Erode, Namakkal, Salem, Tiruppur, Trichy and Vellore districts

7. The fall in water level more than 4 m has been observed in 2.70 % of wells analysed and noted as isolated pockets mainly in Coimbatore, Dharmapuri, Dindigul, Erode, Kanyakumari, Salem, Theni, Tirunelveli, Tiruppur, Tiruvallur, Trichy and Villupuram districts.

Table 18: Decadal Water Level Fluctuation-May 2024 with Decadal average of May 2014-23 -Unconfined

Table 18: Decadal Water level fluctuation - May 2024 with Decadal average of May 2014-23 -Unconfined									
S. No	**District**	**Water level fluctuation**						**No of wells recorded rise**	**No of wells recorded fall**
		Range of rise (m)			**Range of fall (m)**				
		< 2	**2-4**	**> 4**	**< 2**	**2-4**	**>4**		
1	Ariyalur	5	1	0	3	0	0	6	3
2	Chennai	12	2	0	1	0	0	14	1
3	Coimbatore	9	2	7	2	1	2	18	5
4	Cuddalore	13	5	7	5	0	0	25	5
5	Dharmapuri	4	4	3	7	2	2	11	11
6	Dindigul	8	6	2	6	3	2	16	11
7	Erode	19	13	6	12	3	5	38	20
8	Kancheepuram	20	8	6	5	0	0	34	5
9	Kanyakumari	4	4	4	0	0	1	12	1
10	Karaikal	3	0	0	1	0	0	3	1
11	Karur	10	1	0	1	0	0	11	1
12	Krishnagiri	8	2	2	5	0	0	12	5
13	Madurai	4	7	4	1	1	0	15	2
14	Nagapattinam	15	1	0	0	0	0	16	0
15	Namakkal	13	8	10	8	4	0	31	12
16	Nilgiris	6	1	1	0	0	0	8	0
17	Perambalur	4	6	2	3	1	0	12	4
18	Pondicherry	3	1	0	0	0	0	4	0
19	Pudukkottai	9	2	2	4	1	0	13	5
20	Ramanathapuram	14	5	1	4	0	0	20	4
21	Salem	14	12	7	6	2	1	33	9
22	Sivaganga	5	2	2	2	0	0	9	2
23	Thanjavur	8	2	0	5	0	0	10	5
24	Theni	3	5	4	0	0	1	12	1
25	Thiruvannamalai	7	2	1	8	1	0	10	9
26	Tirunelveli	15	7	5	2	0	1	27	3
27	Tiruppur	3	1	2	1	2	1	6	4
28	Tiruvallur	22	8	1	4	0	1	31	5
29	Tiruvarur	4	1	0	1	0	0	5	1
30	Trichy	17	7	0	11	2	2	24	15
31	Tuticorin	13	7	3	1	0	0	23	1
32	Vellore	13	9	2	4	4	0	24	8
33	Villupuram	16	4	3	9	1	1	23	11
34	Virudhunagar	3	4	8	1	0	0	15	1
	Total	**326**	**150**	**95**	**123**	**28**	**20**	**571**	**171**
	%	**43.94**	**20.22**	**12.80**	**16.58**	**3.77**	**2.70**	**76.95**	**23.05**

Plate XVII

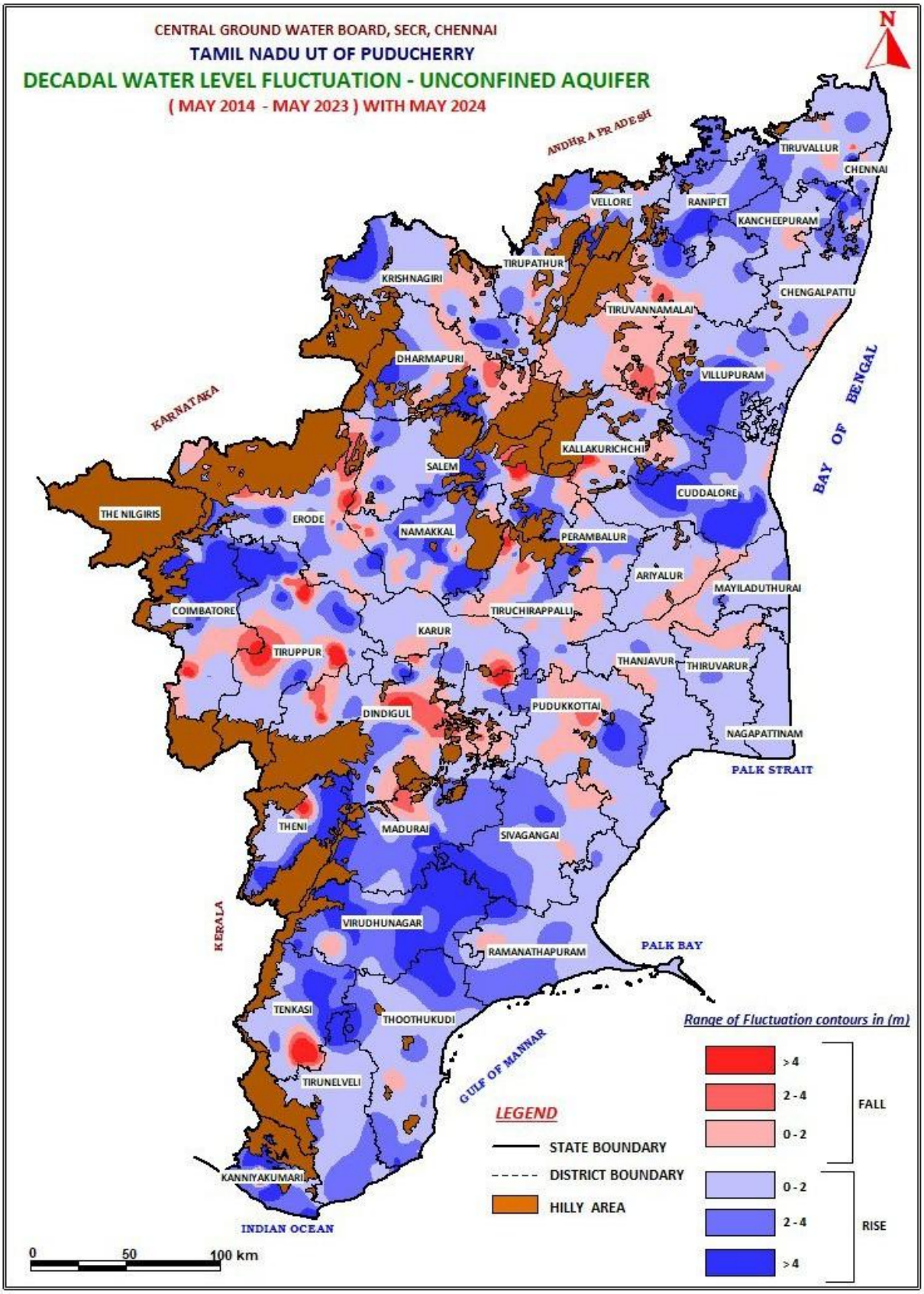
CENTRAL GROUND WATER BOARD, SECR, CHENNAI
TAMIL NADU UT OF PUDUCHERRY
DECADAL WATER LEVEL FLUCTUATION - UNCONFINED AQUIFER
(MAY 2014 - MAY 2023) WITH MAY 2024
N
ANDHRA PRADESH
KARNATAKA
KERALA
BAY OF BENGAL
PALK STRAIT
PALK BAY
GULF OF MANNAR
INDIAN OCEAN
TIRUVALLUR
CHENNAI
VELLORE
RANIPET
KANCHEEPURAM
TIRUPATHUR
KRISHNAGIRI
CHENGALPATTU
TIRUVANNAMALAI
DHARMAPURI
VILLUPURAM
KALLAKURICHCHI
SALEM
CUDDALORE
THE NILGIRIS
ERODE
NAMAKKAL
PERAMBALUR
ARIYALUR
MAYILADUTHURAI
COIMBATORE
TIRUCHIRAPPALLI
KARUR
TIRUPPUR
THANJAVUR
THIRUVARUR
PUDUKKOTTAI
DINDIGUL
NAGAPATTINAM
THENI
MADURAI
SIVAGANGAI
VIRUDHUNAGAR
RAMANATHAPURAM
TENKASI
THOOTHUKUDI
TIRUNELVELI
KANNIYAKUMARI
Range of Fluctuation contours in (m)
>4
2-4
0-2
FALL
0-2
2-4
>4
RISE
LEGEND
STATE BOUNDARY
DISTRICT BOUNDARY
HILLY AREA
0
50
100 km

2. MEAN WATER LEVELS AUGUST 2014-2023 & AUGUST 2024

The statement showing the distribution of ground water monitoring wells falling in different ranges of fluctuation is presented in **Table-19** and **Plate-XVIII**. A comparison of water levels shows that a rise in the water level is recorded in 70.36 % of wells analysed, while 29.64 % recorded fall. While rise is more in 0-2 m range and the fall is also in the same range.

1. The most of the districts of Tamil Nadu and UT of Puducherry have recorded rise in more than 70% wells.
2. Rise in the water level in the range of 0-2m has been observed in 40.45 % of wells analysed, noted all over the State and UT of Puducherry.
3. Rise in the water level of 2 to 4 m has been observed in 17.52 % and of wells analysed and noted all over the state except Ariyalur, Thanjavur, Tiruvarur, Nagapattinam, Nilgiris and UT of Puducherry.
4. Rise in the water level more than 4 m has been observed in 12.38 % and of wells analysed and noted all over the state except Ariyalur, Karur, Nagapattinam, Pudukkottai, Ramanathapuram, Sivaganga, Tiruppur and Tiruvarur districts & Karaikal and Puducherry of UT of Puducherry.
5. The fall in water level in the range of 0-2m has been observed in 24.11 % of wells analysed and spread most the districts in the State except Virudhunagar.
6. The fall in water level in the range of 2-4m has been observed in 3.95 % of wells analysed and noted mainly in Erode, Dharmapuri, Salem, Vellore and Villupuram districts.
7. The fall in water level more than 4 m has been observed in 1.58 % of wells analysed and noted as isolated pockets mainly in Cuddalore, Erode, Namakkal, Perambalur and Tuticorin districts.

Table 19: Decadal Water Level Fluctuation-August with Decadal average of August 2014-23 -Unconfined

Table 20: Decadal Water level fluctuation - August 2024 with Decadal average of August 2014-23 - Unconfined									
S.No	**District**	**Water level fluctuation**						**No of wells recorded rise**	**No of wells recorde d fall**
		Range of rise (m)			Range of fall (m)				
		< 2	2-4	> 4	< 2	2-4	>4		
1	Ariyalur	3			6	1		3	7
2	Chennai	8	2	2	2			12	2
3	Coimbatore	8	4	7	4	2		19	6
4	Cuddalore	11	1	2	11		2	14	13
5	Dharmapuri	7	3	1	7	3		11	10
6	Dindigul	12	4	3	6	1		19	7
7	Erode	22	5	9	15	8	2	36	25
8	Kancheepuram	22	10	4	3			36	3
9	Kanyakumari	6	2	1	2		1	9	3
10	Karaikal				4			0	4
11	Karur	7	4		2			11	2
12	Krishnagiri	7	6	1	4			14	4
13	Madurai	7	5	3	2	1		15	3
14	Nagapattinam	4			12			4	12
15	Namakkal	11	9	12	8	2	3	32	13
16	Nilgiris	5			3			5	3
17	Perambalur	3	3	3	5	1	1	9	7
18	Pondicherry				3			0	3
19	Pudukkottai	11	2		8	1		13	9
20	Ramanathapuram	10	2		14			12	14
21	Salem	15	8	7	6	4	1	30	11
22	Sivaganga	6	2		3			8	3
23	Thanjavur	3		1	12			4	12
24	Theni	5	3	4	1			12	1
25	Thiruvannamalai	5	6	5	2	1		16	3
26	Tirunelveli	15	9	2	6		1	26	7
27	Tiruppur	6	2		1	1		8	2
28	Tiruvallur	21	9	3	7			33	7
29	Tiruvarur	4			2			4	2
30	Trichy	19	3	6	9			28	9
31	Tuticorin	12	6	2	3		1	20	4
32	Vellore	18	4	4	4	2		26	6
33	Villupuram	12	12	5	6	2		29	8
34	Virudhunagar	2	7	7				16	0
	Grand Total	307	133	94	183	30	12	534	225
	%	40.4%	17.5%	12.4%	24.1%	4.0%	1.6%	70.4%	29.6%

Plate XVIII

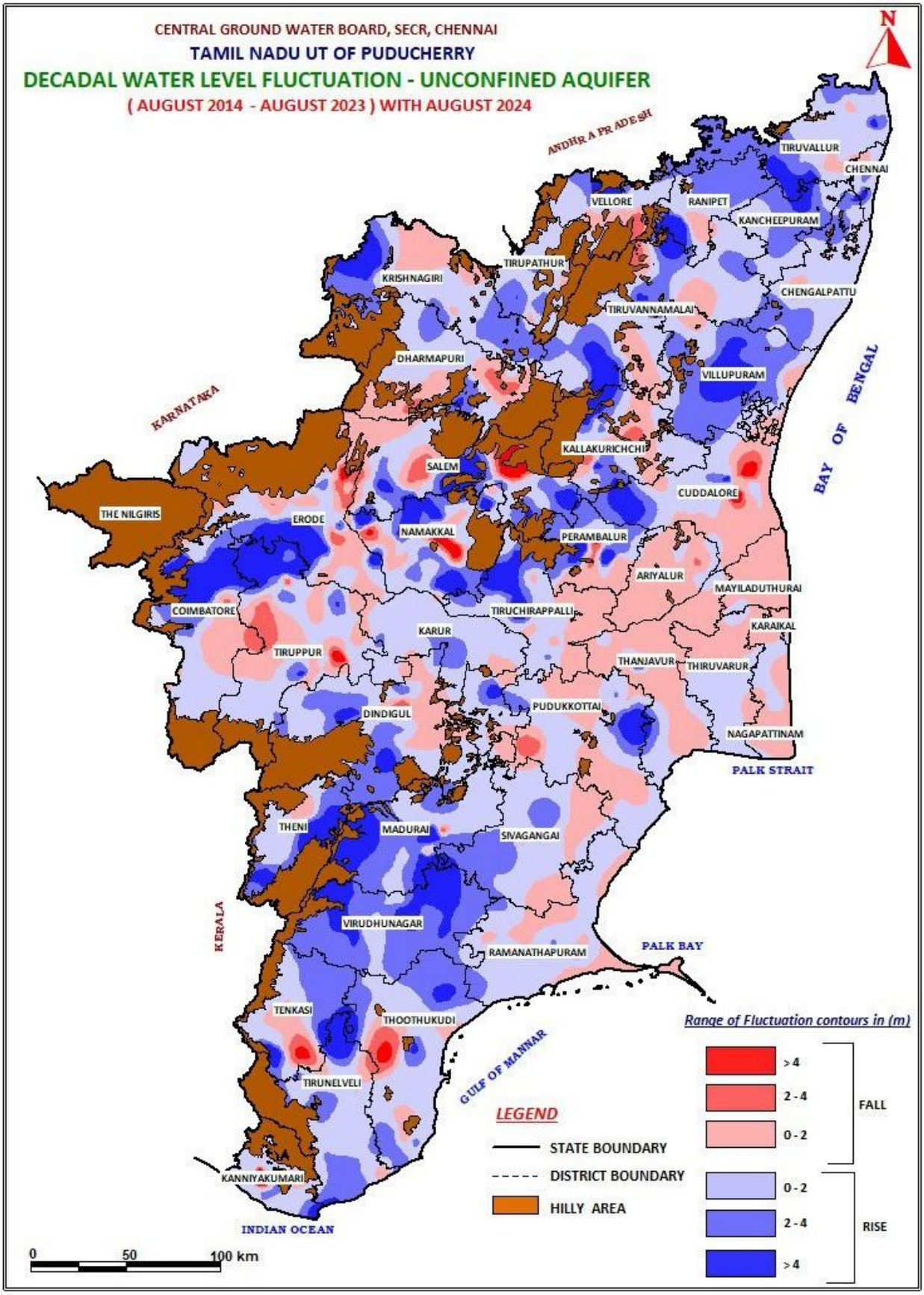
CENTRAL GROUND WATER BOARD, SECR, CHENNAI
TAMIL NADU UT OF PUDUCHERRY
DECADAL WATER LEVEL FLUCTUATION - UNCONFINED AQUIFER
(AUGUST 2014 - AUGUST 2023) WITH AUGUST 2024
N
ANDHRA PRADESH
KARNATAKA
KERALA
BAY OF BENGAL
PALK STRAIT
PALK BAY
GULF OF MANNAR
INDIAN OCEAN
TIRUVALLUR
CHENNAI
VELLORE
RANIPET
KANCHEEPURAM
TIRUPATHUR
KRISHNAGIRI
CHENGALPATTU
TIRUVANNAMALAI
DHARMAPURI
VILLUPURAM
KALLAKURICHCHI
SALEM
CUDDALORE
THE NILGIRIS
ERODE
NAMAKKAL
PERAMBALUR
ARIYALUR
MAYILADUTHURAI
COIMBATORE
TIRUCHIRAPPALLI
KARAIKAL
KARUR
TIRUPPUR
THANJAVUR
THIRUVARUR
PUDUKKOTTAI
DINDIGUL
NAGAPATTINAM
THENI
MADURAI
SIVAGANGAI
VIRUDHUNAGAR
RAMANATHAPURAM
TENKASI
THOOTHUKUDI
TIRUNELVELI
KANNIYAKUMARI
Range of Fluctuation contours in (m)
> 4
2 - 4
0 - 2
FALL
0 - 2
2 - 4
> 4
RISE
LEGEND
STATE BOUNDARY
DISTRICT BOUNDARY
HILLY AREA
0
50
100 km

3. Mean Water Level November 2015-2023 & November 2024

The statement showing the distribution of ground water monitoring wells falling in different ranges of fluctuation is presented in **Table-20** and **Plate-XIX.** A comparison of water levels shows that a rise in the water level is recorded in 66.76 % of wells analysed, while 33.24 % recorded fall. While rise is more in 0-2 m range and the fall is also in the same range.

1. The most of the districts of Tamil Nadu and UT of Puducherry have recorded rise in more than 67% wells.
2. Rise in the water level in the range of 0-2m has been observed in 43.03 % of wells analysed, noted all over the State except UT of Puducherry.
3. Rise in the water level of 2 to 4 m has been observed in 13 % and of wells analysed and noted all over the state except Ariyalur, Nagapattinam, Nilgiris and Thanjavur districts and Karaikal region of UT of Puducherry.
4. Rise in the water level more than 4 m has been observed in 10.72 % of wells analysed and noted all over the state except Ariyalur, Chennai, Cuddalore, Kanyakumari, Nagapattianm, Nilgiris, Pudukkottai, Ramanathapuram, Thanjavur and Tiruvarur districts and UT of Puducherry.
5. The fall in water level in the range of 0-2m has been observed in 28.02 % of wells analysed and spread most the districts in the State except Sivaganga, Tiruvarur and Virudhunagar districts and Karaikal region of UT of Puducherry.
6. The fall in water level in the range of 2-4m has been observed in 3.35 % of wells analysed and noted mainly in Dharmapuri, Erode, Namakkal, Tirunelveli and Villupuram districts
7. The fall in water level more than 4 m has been observed in 1.88 % of wells analysed and noted as isolated pockets mainly in Cuddalore, Erode, Salem, Tirunelveli and Trichy districts

Table 20: Decadal Waterlevel fluctuation- November 2024 with Decadal average of November 2015-23 -Unconfined

Table 21: Decadal Water level fluctuation - November 2024 with Decadal average of November 2014-23 -Unconfined									
S. No	District	Water level fluctuation						No of wells recorded rise	No of wells recorded fall
		Range of rise (m)			Range of fall (m)				
		< 2	2-4	> 4	< 2	2-4	>4		
1	Ariyalur	4			5			4	5
2	Chennai	6	3		5			9	5
3	Coimbatore	11	1	9	2	1		21	3
4	Cuddalore	4	1		21	1	2	5	24
5	Dharmapuri	7	3	3	4	3		13	7
6	Dindigul	12	7	3	5			22	5
7	Erode	26	7	8	14	4	2	41	20
8	Kancheepuram	18	5	3	15	1		26	16
9	Kanyakumari	5	3		5			8	5
10	Karaikal	4						4	0
11	Karur	8	2	1	2			11	2
12	Krishnagiri	7	4	1	5			12	5
13	Madurai	6	3	1	4			10	4
14	Nagapattinam	9			7			9	7
15	Namakkal	15	14	6	7	3		35	10
16	Nilgiris	4			4			4	4
17	Perambalur	9	1	3	3			13	3
18	Pondicherry		1		2			1	2
19	Pudukkottai	13	2		6			15	6
20	Ramanathapuram	6	1		19			7	19
21	Salem	12	7	8	7		2	27	9
22	Sivaganga	6	4	1				11	0
23	Thanjavur	8			5	1		8	6
24	Theni	5	3	1	3			9	3
25	Thiruvannamalai	11	1	4	3	2		16	5
26	Tirunelveli	9	1	4	13	3	2	14	18
27	Tiruppur	2	1	2	4			5	4
28	Tiruvallur	18	7	2	11	1	1	27	13
29	Tiruvarur	5	1					6	0
30	Trichy	20	2	11	6		2	33	8
31	Tuticorin	9	1	2	9	1	1	12	11
32	Vellore	17	4	4	3		1	25	4
33	Villupuram	15	4	1	10	4		20	14
34	Virudhunagar	10	3	2			1	15	1

Plate-XIX

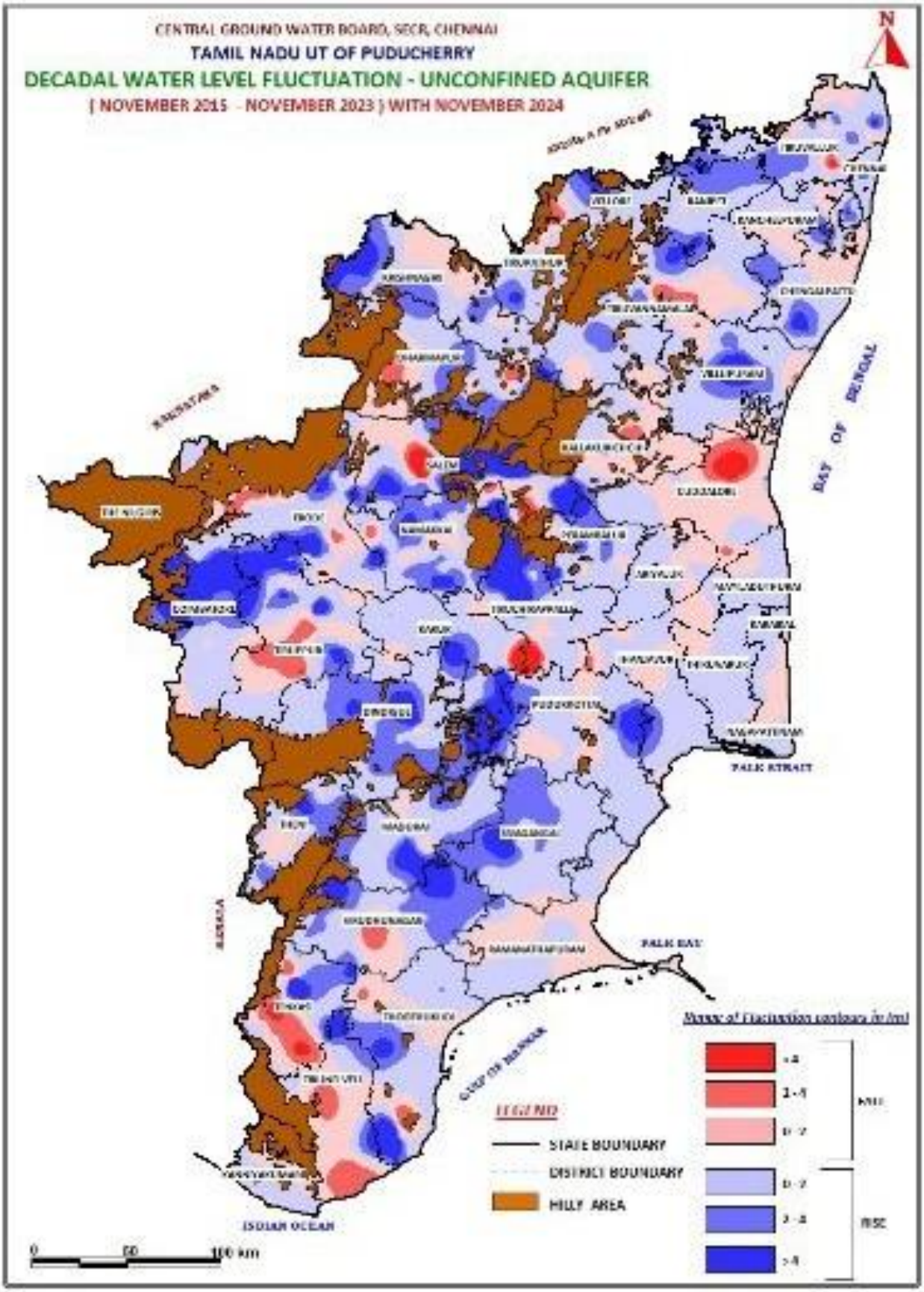
CENTRAL GROUND WATER BOARD, SECR, CHENNAI
TAMIL NADU UT OF PUDUCHERRY
DECADAL WATER LEVEL FLUCTUATION - UNCONFINED AQUIFER
(NOVEMBER 2015 - NOVEMBER 2023) WITH NOVEMBER 2024
N
BAY OF BENGAL
PALK STRAIT
PALK BAY
INDIAN OCEAN
KERALA
STATE BOUNDARY
DISTRICT BOUNDARY
HILLY AREA
RISE
0
50
100 km

4. Mean Water Level January 2015-2024 & January 2025

The distribution of hydrograph network stations falling in different ranges of fluctuation is presented in **Table-21** and **Plate- XX.** A comparison of water levels shows that a rise in the water level is recorded in 74.51 % of wells analysed, while 25.49 % recorded fall. Rise is more in 0-2 m range and the fall is also in the same range.

1. The most of the districts of Tamilnadu and UT of Puducherry have recorded rise in more than 75% wells.
2. Rise in the water level in the range of 0-2m has been observed in 45.10 % of wells analysed, seen in all the districts except Nilgiris
3. Rise in the water level of 2 to 4 m has been observed in 16.08 % m and is observed mainly in districts such as Dharmapuri, Krishnagiri, Namakkal, Tiruvallur, Trichy, Vellore and Villupuram
4. Rise in the water level more than 4 m has been observed in 13.33 % and of wells analysed and noted in Trichy, Coimbatore and Namakkal districts.
5. The fall in water level in the range of 0-2m has been observed in 22.75 % of wells analysed and observed in all districts except Tiruvarur district
6. The fall in water level in the range of 2-4m has been observed in 1.83 % of wells analysed and recorded in Cuddalore, Nagapattinam and Tiruvannamalai districts.
7. The fall in water level more than 4 m has been observed in 0.92 % of wells analysed and is recorded mainly in Salem, Ariyalur, Kanyakumari and Namakkal districts.

Table 21: Decadal Water level fluctuation - January 2025 with Decadal average of January 2015-24-Unconfined									
S.No	District	Water level fluctuation						No of wells recorded rise	No of wells recorded fall
		Range of rise (m)			Range of fall (m)				
		< 2	2-4	> 4	< 2	2-4	>4		
1	Ariyalur	3			7		1	3	8
2	Chennai	5	3		6			8	6
3	Coimbatore	10	2	7	5	1		19	6
4	Cuddalore	13		2	11	4		15	15
5	Dharmapuri	6	7	8	1			21	1
6	Dindigul	13	4	4	5			21	5
7	Erode	32	7	7	13	2		46	15
8	Kancheepuram	24	4		14			28	14
9	Kanyakumari	4		1	7		1	5	8
10	Karaikal	1			3			1	3
11	Karur	7	5		1			12	1
12	Krishnagiri	6	9	1	2			16	2
13	Madurai	8	4	2	3			14	3
14	Nagapattinam	7			7	2		7	9
15	Namakkal	8	11	16	8		1	35	9
16	Nilgiris				7			0	7
17	Perambalur	7	4	3	2			14	2
18	Pondicherry	2			2			2	2
19	Pudukkottai	10	5	1	5			16	5
20	Ramanathapuram	14	5	2	5			21	5
21	Salem	25	5	9	2		2	39	4
22	Sivaganga	4	4	3				11	0
23	Thanjavur	8	1		4			9	4
24	Theni	3	2	3	5			8	5
25	Thiruvannamalai	10	3	4	1	2		17	3
26	Tirunelveli	15	3	1	12		1	19	13
27	Tiruppur	3		2	3	1		5	4
28	Tiruvallur	24	7	2	9			33	9
29	Tiruvarur	6						6	0
30	Trichy	19	7	12	2		1	38	3
31	Tuticorin	13	2		8			15	8
32	Vellore	17	9	5	1			31	1
33	Villupuram	15	7	2	10			24	10
34	Virudhunagar	3	3	5	3	2		11	5
	Total	345	123	102	174	14	7	570	195
	%	45.10	16.08	13.33	22.75	1.83	0.92	74.51	25.49

Plate-XX

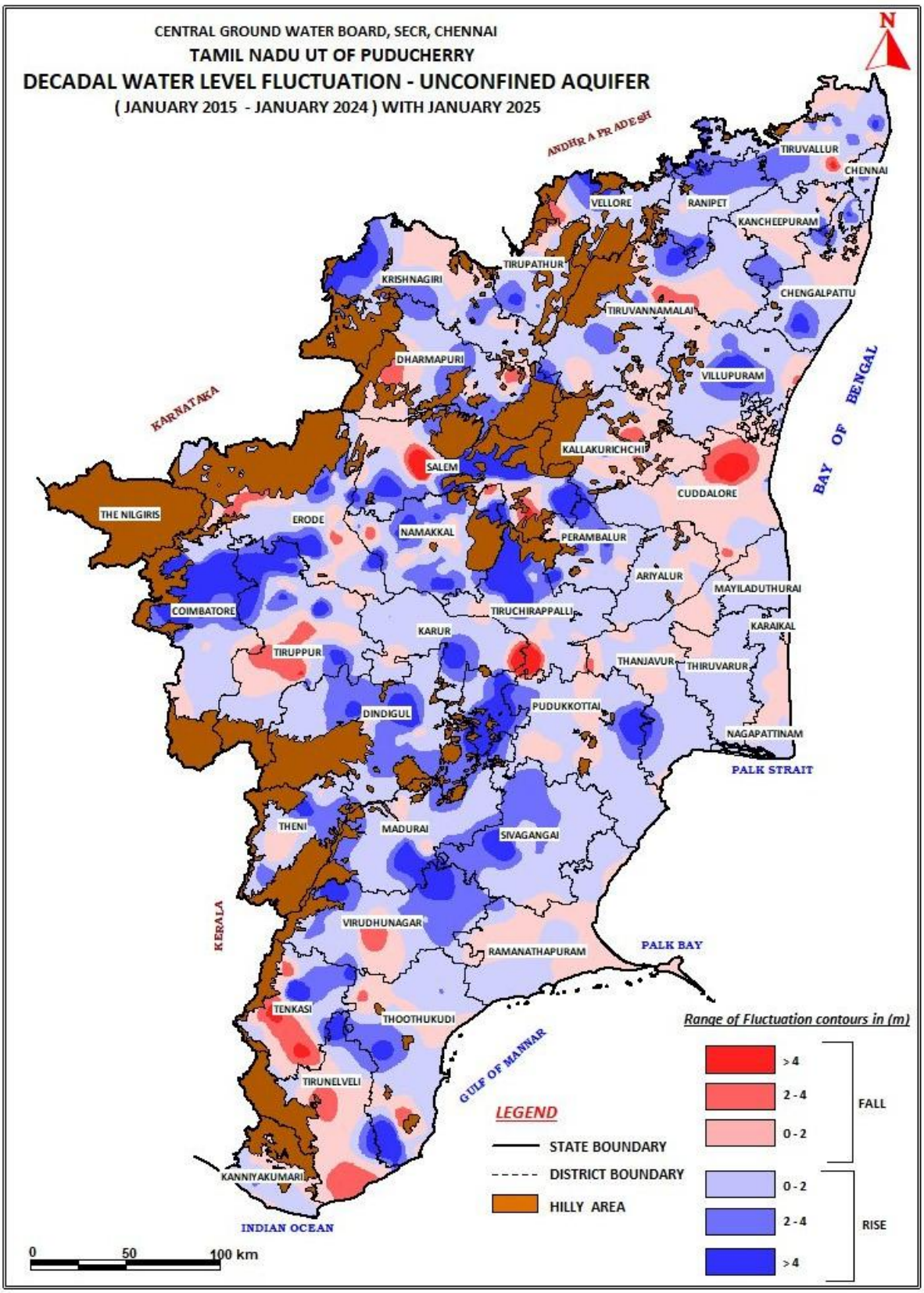
CENTRAL GROUND WATER BOARD, SECR, CHENNAI
TAMIL NADU UT OF PUDUCHERRY
DECADAL WATER LEVEL FLUCTUATION - UNCONFINED AQUIFER
(JANUARY 2015 - JANUARY 2024) WITH JANUARY 2025
N
ANDHRA PRADESH
KARNATAKA
KERALA
BAY OF BENGAL
PALK STRAIT
PALK BAY
GULF OF MANNAR
INDIAN OCEAN
TIRUVALLUR
CHENNAI
VELLORE
RANIPET
KANCHEEPURAM
TIRUPATHUR
KRISHNAGIRI
CHENGALPATTU
TIRUVANNAMALAI
DHARMAPURI
VILLUPURAM
KALLAKURICHCHI
SALEM
CUDDALORE
THE NILGIRIS
ERODE
NAMAKKAL
PERAMBALUR
ARIYALUR
MAYILADUTHURAI
COIMBATORE
TIRUCHIRAPPALLI
KARAIKAL
KARUR
TIRUPPUR
THANJAVUR
THIRUVARUR
PUDUKKOTTAI
DINDIGUL
NAGAPATTINAM
THENI
MADURAI
SIVAGANGAI
VIRUDHUNAGAR
RAMANATHAPURAM
TENKASI
THOOTHUKUDI
TIRUNELVELI
KANNIYAKUMARI
Range of Fluctuation contours in (m)
>4
2-4
0-2
FALL
0-2
2-4
>4
RISE
LEGEND
STATE BOUNDARY
DISTRICT BOUNDARY
HILLY AREA
0
50
100 km

5. ANNUAL FLUCTUATION

Annual fluctuation of water level is calculated by comparing the water level of the particular period during last year with water level of the same period of current year. This indicates the impact of ground water development and ground water recharge during one year. Positive fluctuation indicates improved recharge over and above ground water development and negative fluctuation indicates increased ground water development over and above the recharge.

1. WATER LEVELS FOR THE PERIOD MAY 2023 & MAY 2024

The district-wise distribution of Ground water monitoring wells falling in different ranges of water level fluctuation is presented in **Table-22** and **Plate- XXI.** A comparison of water level shows a rise in 55.36 % and a fall in 44.64 % of the wells. Both the rise and fall is mainly in 0-2 m range.

1. The entire state and UT of Puducherry have recorded rise in more than 55% wells except Dindigul, Erode, Karur, Krishnagiri, Namakkal, Perambalur,Trichy, Vellore and Villupuram districts.
2. Rise in the water level in the range of 0-2m has been observed in 35.12 % of wells analysed, and found all over the state and UT of Puducherry.
3. Rise in the water level in the range of 2-4 m has been observed in 10.38 % of wells analysed and noted all over the state except Cuddalore, Erode, Karaikal, Krishnagiri, Nagapattinam, Perambalur, Sivaganga, Thanjavur and Thiruvannamalai districts.
4. Rise in water level more than 4 m has been observed in 9.86 % of wells analysed and noted mainly in Coimbatore, Erode, Kanyakumari, Namakkal, Pudukkottai, Tirunelveli, Salem, Tiruppur, Tiruvallur and Tuticorin districts.
5. The fall in water level in the range of 0-2m has been observed in 25.95 % of wells analysed and noted all over the state and UT of Puducherry except Kanyakumari, Nagapattinam, Nilgiris and Ramanathapuram districts.
6. The fall in water level in the range of 2-4m has been observed in 10.38 % of wells analysed and noted all over the state except Dharmapuri, Kanyakumari, Madurai, Nilgiris, Ramanathapuram, Sivaganga, Thanjavur, Theni, Thiruvannamalai, Tirunelveli, Tiruppur, Tuticorin and Virudhunagar districts and UT of Puducherry.
7. Fall in water level more than 4 m has been observed in 8.30 % of wells analysed and noted isolated patches in some districts mainly in Erode, Krishnagiri, Namakkal, Salem and Trichy districts.

Table-22 : Annual Water level fluctuation - Pre monsoon May 2024 with May 2023– Unconfined

S. No	District	Water level fluctuation						No of wells recorded rise	No of wells recorded fall
		Range of rise (m)			Range of fall (m)				
		< 2	2-4	> 4	< 2	2-4	>4		
1	Ariyalur	4	2	0	2	1	0	6	3
2	Chennai	5	3	0	2	1	1	8	4
3	Coimbatore	4	2	5	5	3	1	11	9
4	Cuddalore	13	0	1	4	1	1	14	6
5	Dharmapuri	5	5	0	6	0	4	10	10
6	Dindigul	7	1	1	7	3	2	9	12
7	Erode	12	0	3	10	12	10	15	32
8	Kancheepuram	15	6	2	9	1	1	23	11
9	Kanyakumari	3	1	5	0	0	1	9	1
10	Karaikal	2	0	0	1	0	0	2	1
11	Karur	3	1	0	4	1	1	4	6
12	Krishnagiri	2	0	1	2	5	3	3	10
13	Madurai	6	3	1	1	0	0	10	1
14	Nagapattinam	6	0	0	0	1	0	6	1
15	Namakkal	5	4	3	6	7	5	12	18
16	Nilgiris	4	1	1	0	0	0	6	0
17	Perambalur	3	0	0	8	1	1	3	10
18	Pondicherry	1	1	0	2	0	0	2	2
19	Pudukkottai	5	1	3	6	3		9	9
20	Ramanathapuram	11	2	2	0	0	0	15	0
21	Salem	13	2	3	11	2	3	18	16
22	Sivaganga	4	0	1	4	0	1	5	5
23	Thanjavur	5	0	1	3	0	1	6	4
24	Theni	5	2	1	1	0		8	1
25	Thiruvannamalai	6	0	1	7	0	1	7	8
26	Tirunelveli	10	5	6	3	0	1	21	4
27	Tiruppur	2	4	4	3	0	1	10	4
28	Tiruvallur	10	3	4	8	4	1	17	13
29	Tiruvarur	3	1	0	1	0	0	4	1
30	Trichy	3	1	1	11	2	6	5	19
31	Tuticorin	9	4	4	1	0	0	17	1
32	Vellore	5	1	2	11	7	1	8	19
33	Villupuram	6	2		10	5	1	8	16
34	Virudhunagar	6	2	1	1	0	0	9	1
	Total	**203**	**60**	**57**	**150**	**60**	**48**	**320**	**258**
	%	**35.12**	**10.38**	**9.86**	**25.95**	**10.38**	**8.30**	**55.36**	**44.64**

Plate-XXI

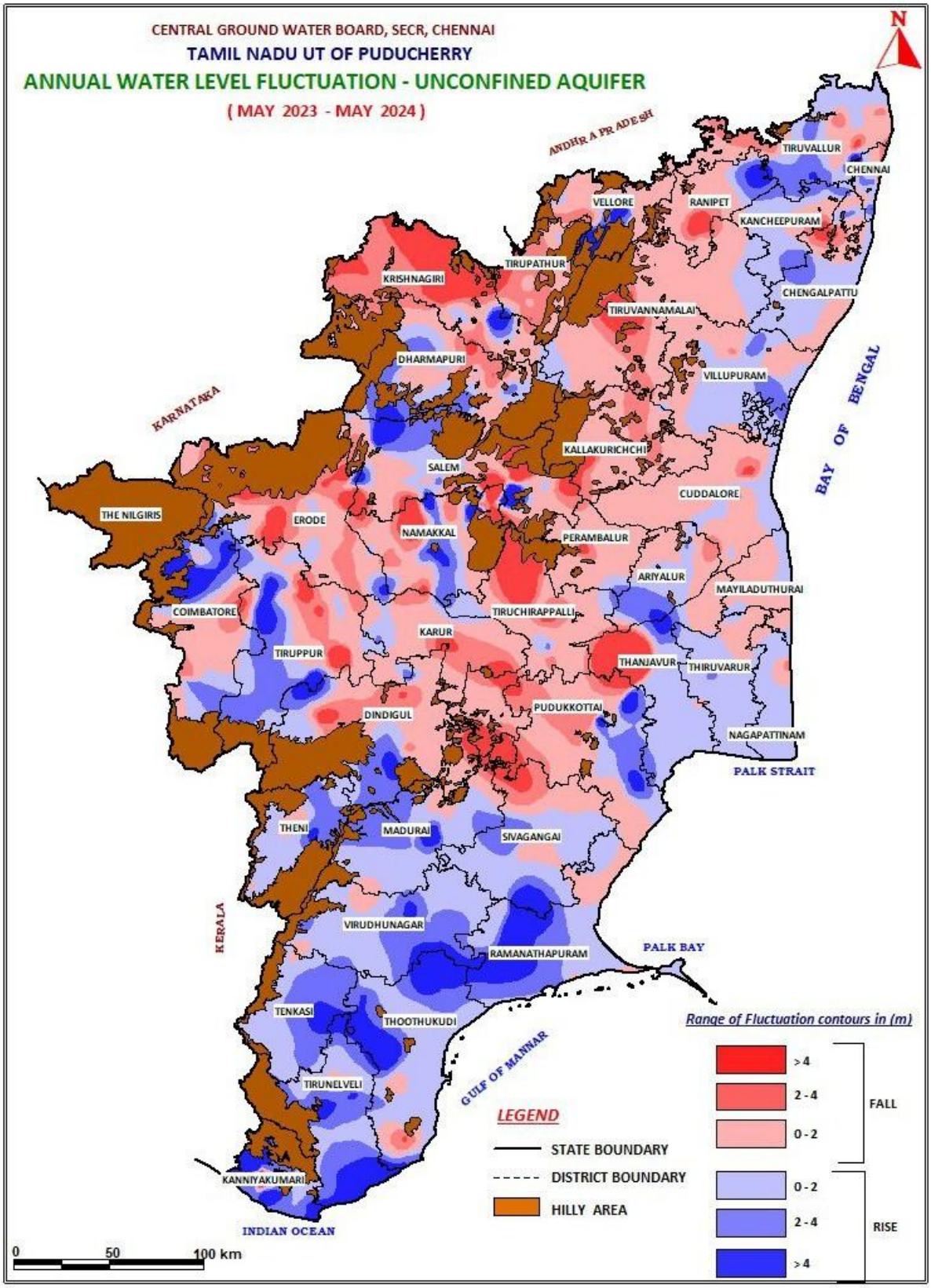
CENTRAL GROUND WATER BOARD, SECR, CHENNAI
TAMIL NADU UT OF PUDUCHERRY
ANNUAL WATER LEVEL FLUCTUATION - UNCONFINED AQUIFER
(MAY 2023 - MAY 2024)
N
ANDHRA PRADESH
KARNATAKA
KERALA
BAY OF BENGAL
PALK STRAIT
PALK BAY
GULF OF MANNAR
INDIAN OCEAN
TIRUVALLUR
CHENNAI
VELLORE
RANIPET
KANCHEEPURAM
TIRUPATHUR
KRISHNAGIRI
CHENGALPATTU
TIRUVANNAMALAI
DHARMAPURI
VILLUPURAM
KALLAKURICHCHI
SALEM
CUDDALORE
THE NILGIRIS
ERODE
NAMAKKAL
PERAMBALUR
ARIYALUR
MAYILADUTHURAI
COIMBATORE
TIRUCHIRAPPALLI
KARUR
TIRUPPUR
THANJAVUR
THIRUVARUR
DINDIGUL
PUDUKKOTTAI
NAGAPATTINAM
THENI
MADURAI
SIVAGANGAI
VIRUDHUNAGAR
RAMANATHAPURAM
TENKASI
THOOTHUKUDI
TIRUNELVELI
KANNIYAKUMARI
Range of Fluctuation contours in (m)
> 4
2 - 4
0 - 2
FALL
0 - 2
2 - 4
> 4
RISE
LEGEND
STATE BOUNDARY
DISTRICT BOUNDARY
HILLY AREA
0
50
100 km

2. WATER LEVELS FOR THE PERIOD AUGUST 2023 &AUGUST 2024

The water level data for August 2024 were compared with water level for the period August 2023. The district-wise distribution of Ground water monitoring wells falling in different ranges of water level fluctuation is presented in **Table-23** and **Plate-XXII**. A comparison of water level shows a rise in 55.54 % and a fall in 44.46 % of the wells. Both the rise and fall is mainly in 0-2 m range.

1. The entire state and UT of Puducherry have recorded rise in more than 55% wells except Cuddalore, Dindigul, Erode, Nagapattinam, Thanjavur, Tiruvallur and Trichy districts.
2. Rise in the water level in the range of 0-2m has been observed in 38.63 % of wells analysed, and found all over the state and UT of Puducherry except Perambalur.
3. Rise in the water level in the range of 2-4 m has been observed in 11.81 % of wells analysed and noted all over the state except Ariyalur, Chennai, Nagapattinam, Perambalur, Pudukkottai, Thanjavur, Tiruvarur and Vellore districts and UT of Puducherry.
4. Rise in water level more than 4 m has been observed in 5.10 % of wells analysed and noted mainly in Erode, Namakkal and Salem districts.
5. The fall in water level in the range of 0-2m has been observed in 34.69 % of wells analysed and noted all over the state and UT of Puducherry except Kanyakumari district.
6. The fall in water level in the range of 2-4m has been observed in 6.85 % of wells analysed and noted all over the state except Ariyalur, Chennai, Karur, Madurai, Nilgiris, Perambalur, Pudukkottai, Ramanathapuram, Sivaganga and Theni districts & UT of Puducherry.
7. Fall in water level more than 4 m has been observed in 2.92 % of wells analysed and noted isolated patches in some districts mainly in Erode, Coimbatore, Namakkal, Salem and Cuddalore districts.

Table-23: Annual Water level fluctuation - August 2024 with August 2023 - Unconfined

S.No	District	Water level fluctuation						No of wells recorded rise	No of wells recorded fall
		Range of rise (m)			Range of fall (m)				
		< 2	2-4	> 4	< 2	2-4	>4		
1	Ariyalur	7			3			7	3
2	Chennai	2			5			2	5
3	Coimbatore	8	7	3	4	2		18	6
4	Cuddalore	6	2		13	1	2	8	16
5	Dharmapuri	6	3	1	8	2	1	10	11
6	Dindigul	10	1		12	1	2	11	15
7	Erode	16	6	3	23	8	3	25	34
8	Kancheepuram	11	2		11	1		13	12
9	Kanyakumari	5	4	1			1	10	1
10	Karaikal	1			3			1	3
11	Karur	6	2		5			8	5
12	Krishnagiri	7	3	1	3	2	1	11	6
13	Madurai	8	2		4		1	10	5
14	Nagapattinam	4			10	1		4	11
15	Namakkal	16	4	4	12	3	4	24	19
16	Nilgiris	6	1		1			7	1
17	Perambalur			1	12	2	1	1	15
18	Pondicherry	1			2			1	2
19	Pudukkottai	8			10			8	10
20	Ramanathapuram	13	3		6			16	6
21	Salem	18	5	2	10	5	2	25	17
22	Sivaganga	6	1		3			7	3
23	Thanjavur	2		1	10	3		3	13
24	Theni	5	2	2	3			9	3
25	Thiruvannamalai	6	3	2	4	1		11	5
26	Tirunelveli	10	8	6	6			24	6
27	Tiruppur	5	2		1	2		7	3
28	Tiruvallur	11	1		14			12	14
29	Tiruvarur	2			4	1		2	5
30	Trichy	11	1	1	12	5	2	13	19
31	Tuticorin	14	6	1	3			21	3
32	Vellore	16		1	12	2		17	14
33	Villupuram	10	9	2	8	5		21	13
34	Virudhunagar	8	3	3	1			14	1
	Total	**265**	**81**	**35**	**238**	**47**	**20**	**381**	**305**
	%	**38.6%**	**11.8%**	**5.1%**	**34.7%**	**6.9%**	**2.9%**	**55.5%**	**44.5%**

Plate-XXII

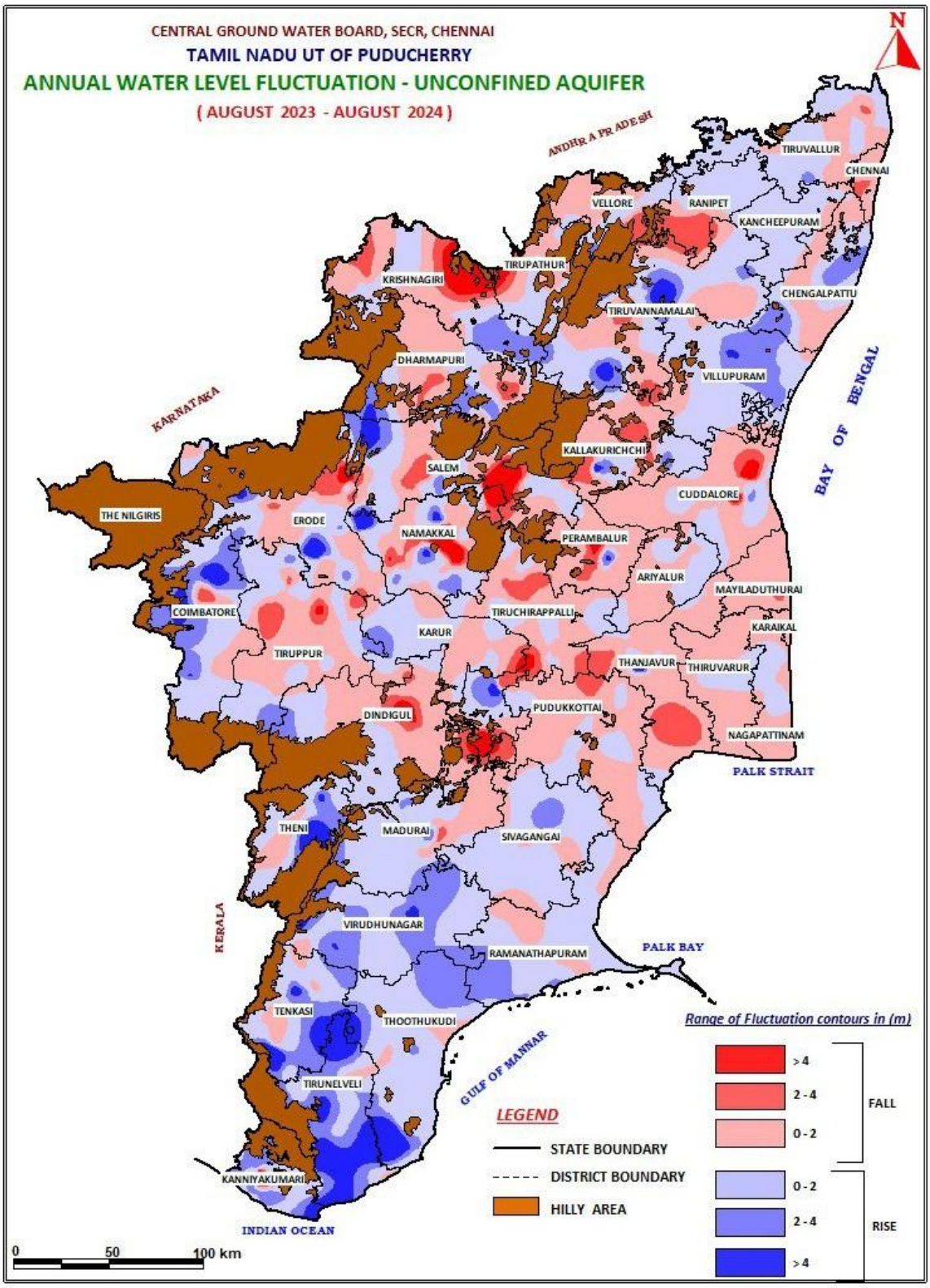
CENTRAL GROUND WATER BOARD, SECR, CHENNAI
TAMIL NADU UT OF PUDUCHERRY
ANNUAL WATER LEVEL FLUCTUATION - UNCONFINED AQUIFER
(AUGUST 2023 - AUGUST 2024)
N
ANDHRA PRADESH
KARNATAKA
KERALA
BAY OF BENGAL
PALK STRAIT
PALK BAY
GULF OF MANNAR
INDIAN OCEAN
TIRUVALLUR
CHENNAI
VELLORE
RANIPET
KANCHEEPURAM
TIRUPATHUR
KRISHNAGIRI
CHENGALPATTU
TIRUVANNAMALAI
DHARMAPURI
VILLUPURAM
KALLAKURICHCHI
SALEM
CUDDALORE
THE NILGIRIS
ERODE
NAMAKKAL
PERAMBALUR
ARIYALUR
MAYILADUTHURAI
COIMBATORE
TIRUCHIRAPPALLI
KARAIKAL
KARUR
TIRUPPUR
THANJAVUR
THIRUVARUR
PUDUKKOTTAI
DINDIGUL
NAGAPATTINAM
THENI
MADURAI
SIVAGANGAI
VIRUDHUNAGAR
RAMANATHAPURAM
TENKASI
THOOTHUKUDI
TIRUNELVELI
KANNIYAKUMARI
Range of Fluctuation contours in (m)
> 4
2 - 4
0 - 2
FALL
0 - 2
2 - 4
> 4
RISE
LEGEND
STATE BOUNDARY
DISTRICT BOUNDARY
HILLY AREA
0
50
100 km

3. WATER LEVELS FOR THE PERIOD NOVEMBER 2023 & NOVEMBER 2024

The water level data for November 2024 were compared with water level for the period November 2023. The district-wise distribution of Ground water monitoring wells falling in different ranges of water level fluctuation is presented in **Table-24** and **Plate-XXIII**. A comparison of water level shows a rise in 61.51 % and a fall in 38.49 % of the wells. Both the rise and fall is mainly in 0-2 m range.

1. The entire state and UT of Puducherry have recorded rise in more than 62% wells except Villupuram district.

2. Rise in the water level in the range of 0-2m has been observed in 44.60 % of wells analysed, and found all over the state and UT of Puducherry.

3. Rise in the water level in the range of 2-4 m has been observed in 11.08 % of wells analysed and noted all over the state except Ariyalur, Chennai, Karur, Nilgiris and Vellore districts and UT of Puducherry.

4. Rise in water level more than 4 m has been observed in 5.82 % of wells analysed and noted mainly in Erode, Coimbatore, Dharmapuri, Namakkal, Nagapattinam, Salem and Trichy districts.

5. The fall in water level in the range of 0-2m has been observed in 30.97 % of wells analysed and noted all over the state and UT of Puducherry except UT of Puducherry.

6. The fall in water level in the range of 2-4m has been observed in 3.55 % of wells analysed and noted all over the state except Ariyalur, Chennai, Coimbatore, Kanyakumari, Karur, Krishnagiri, Nagapattinam and Tiruppur districts & UT of Puducherry.

7. Fall in water level more than 4 m has been observed in 3.98 % of wells analysed and noted isolated patches in some districts mainly in Erode, Krishnagiri, Namakkal, Salem, Tirunelveli and Trichy districts.

Table-24 : Annual Water level fluctuation - November 2024 with November 2023 - Unconfined

Table 25: Annual Water level fluctuation - November 2024 with November 2023 -Unconfined									
S. No	**District**	**Water level fluctuation**						**No of wells recorded rise**	**No of wells recorde d fall**
		Range of rise (m)			**Range of fall (m)**				
		< 2	**2-4**	**> 4**	**< 2**	**2-4**	**>4**		
1	Ariyalur	6			3			6	3
2	Chennai	7			4			7	4
3	Coimbatore	7	7	6	3		1	20	4
4	Cuddalore	14	2	1	9	1		17	10
5	Dharmapuri	7	2	3	4	2	2	12	8
6	Dindigul	11	6	2	7	1		19	8
7	Erode	18	9	8	17	2	4	35	23
8	Kancheepuram	14	1		19	1		15	20
9	Kanyakumari	4	1		8			5	8
10	Karaikal	4						4	0
11	Karur	7			4		1	7	5
12	Krishnagiri	8	5		2		2	13	4
13	Madurai	6	2		4	1	1	8	6
14	Nagapattinam	7	1		6			8	6
15	Namakkal	19	6	3	11	3	2	28	16
16	Nilgiris	4			4			4	4
17	Perambalur	9	1	1	5			11	5
18	Pondicherry	3						3	0
19	Pudukkottai	9	2		6			11	6
20	Ramanathapuram	16	1		6	1	1	17	8
21	Salem	14	4	3	10	2	3	21	15
22	Sivaganga	6	2		2			8	2
23	Thanjavur	9	1		2		1	10	3
24	Theni	6	1		2	2	1	7	5
25	Thiruvannamalai	6	2		8	2		8	10
26	Tirunelveli	8	5	3	11		3	16	14
27	Tiruppur	6	2		1			8	1
28	Tiruvallur	18	3	1	12	2		22	14
29	Tiruvarur	2	2	1	1			5	1
30	Trichy	20	4	4	7		2	28	9
31	Tuticorin	8	2	2	9		1	12	10
32	Vellore	14		1	12	1	1	15	14
33	Villupuram	11	3	1	13	3	1	15	17
34	Virudhunagar	6	1	1	6	1	1	8	8
	Total	**314**	**78**	**41**	**218**	**25**	**28**	**433**	**271**
	%	**44.60**	**11.08**	**5.82**	**30.97**	**3.55**	**3.98**	**61.51**	**38.49**

Plate-XXIII

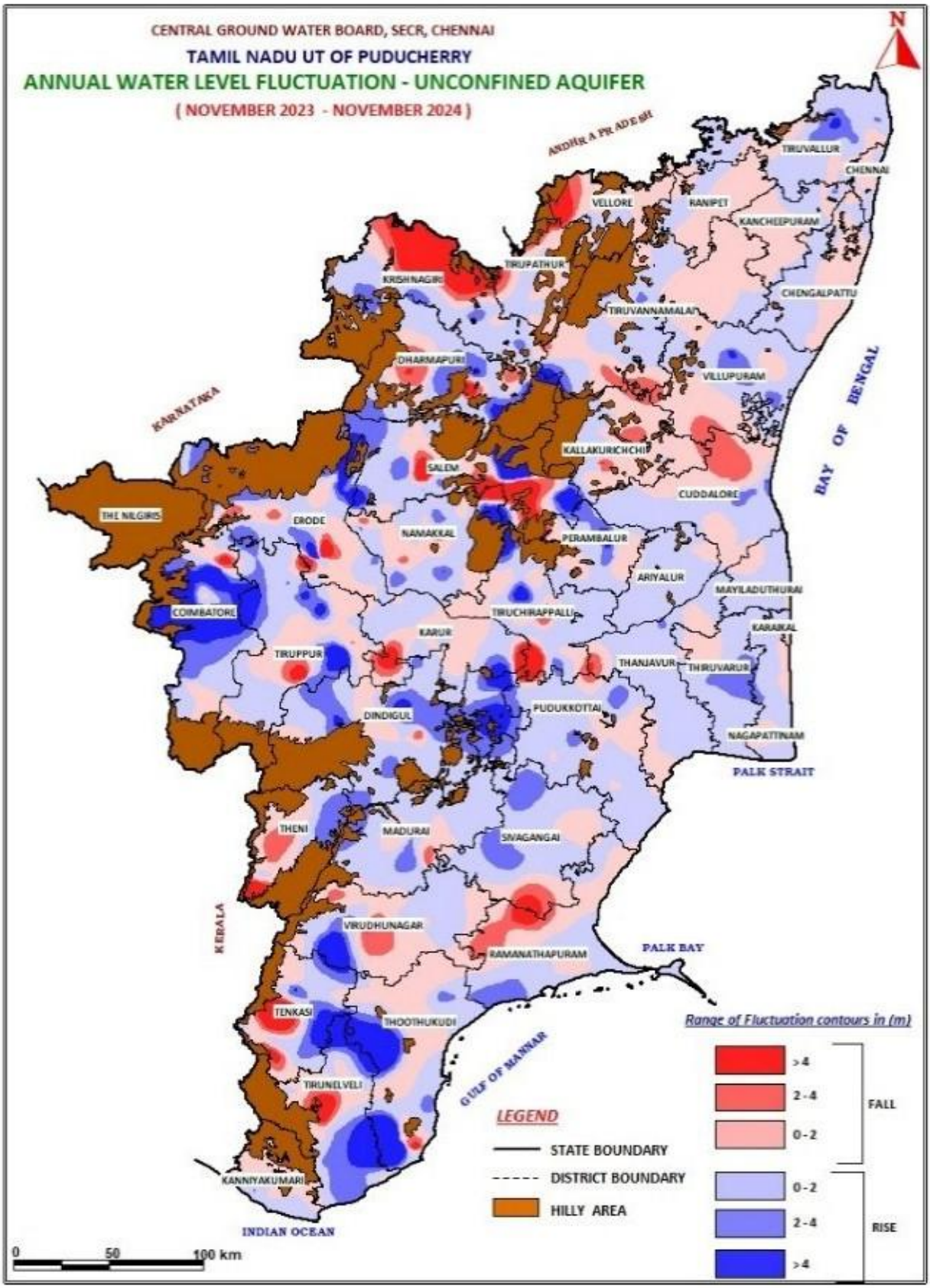
CENTRAL GROUND WATER BOARD, SECR, CHENNAI
TAMIL NADU UT OF PUDUCHERRY
ANNUAL WATER LEVEL FLUCTUATION - UNCONFINED AQUIFER
(NOVEMBER 2023 - NOVEMBER 2024)
N
ANDHRA PRADESH
KARNATAKA
KERALA
BAY OF BENGAL
PALK STRAIT
PALK BAY
GULF OF MANNAR
INDIAN OCEAN
TIRUVALLUR
CHENNAI
VELLORE
RANIPET
KANCHEEPURAM
TIRUPATHUR
KRISHNAGIRI
CHENGALPATTU
TIRUVANNAMALAI
DHARMAPURI
VILLUPURAM
KALLAKURICHCHI
SALEM
CUDDALORE
THE NILGIRIS
ERODE
NAMAKKAL
PERAMBALUR
ARIYALUR
MAYILADUTHURAI
COIMBATORE
TIRUCHIRAPPALLI
KARAIKAL
KARUR
TIRUPPUR
THANJAVUR
THIRUVARUR
DINDIGUL
PUDUKKOTTAI
NAGAPATTINAM
THENI
MADURAI
SIVAGANGAI
VIRUDHUNAGAR
RAMANATHAPURAM
TENKASI
THOOTHUKUDI
TIRUNELVELI
KANNIYAKUMARI
Range of Fluctuation contours in (m)
>4
2-4
0-2
FALL
0-2
2-4
>4
RISE
LEGEND
STATE BOUNDARY
DISTRICT BOUNDARY
HILLY AREA
0
50
100 km

4. WATER LEVELS FOR THE PERIOD JANUARY 2024 &JANUARY 2025

The water level data for January 2025 were compared with water level for the period January 2024. The district-wise distribution of Ground water monitoring wells falling in different ranges of water level fluctuation is presented in **Table-25** and **Plate-XXIV**. A comparison of water level shows a rise in 44.83 % and a fall in 55.17 % of the wells. Both the rise and fall is mainly in 0-2 m range.

1. Out of 725 wells, water level rise of less than 2 m is recorded in 36.97% wells, 2 to 4 m in 5.79 % wells and more than 4 m in 1.93% of the wells.

2. Water level rise of less than 2 m is seen in all the districts except in Krishnagiri district.

3. Water level rise of 2 to 4 m is observed mainly in districts such as Erode, Theni and Tirunelveli. Rise of more than 4 m is significantly observed in Salem and Tirunelveli districts.

4. Water level fall of less than 2 m is recorded in 39.17% wells, 2 to 4 m in 9.93 % wells and more than 4 m in 6.07% of the wells.

5. Water level fall of less than 2 m is seen in all the districts except Karaikal region of UT of Puducherry.

6. Water level fall of 2 to 4 m is observed mainly in districts such as, Erode, Krishnagiri, Namakkal, Salem, Trichy and Vellore. Rise of more than 4 m is significantly observed in Dharmapuri, Erode, Namakkal and Trichy districts.

Table 25: Annual Water level fluctuation - January 2025 with January 2024 -Unconfined									
S.No	District	Water level fluctuation						No of wells recorded rise	No of wells recorded fall
		Range of rise (m)			Range of fall (m)				
		< 2	2-4	> 4	< 2	2-4	>4		
1	Ariyalur	5		1	2		1	6	3
2	Chennai	11			2			11	2
3	Coimbatore	5		1	10	3	2	6	15
4	Cuddalore	13	2	1	11	1	1	16	13
5	Dharmapuri	1	1		4	4	10	2	18
6	Dindigul	10			12		3	10	15
7	Erode	17	10	1	22	5	5	28	32
8	Kancheepuram	26	3		9			29	9
9	Kanyakumari	8	2	1	1			11	1
10	Karaikal	3						3	0
11	Karur	2			5	3		2	8
12	Krishnagiri			1	7	8	1	1	16
13	Madurai	5	3		7	1		8	8
14	Nagapattinam	12	2		2			14	2
15	Namakkal	11			16	10	7	11	33
16	Nilgiris	3			3	1		3	4
17	Perambalur	2			10	3	1	2	14
18	Pondicherry	3			1			3	1
19	Pudukkottai	3	1		13	4		4	17
20	Ramanathapuram	12	1		12			13	12
21	Salem	13	1	3	17	4	3	17	24
22	Sivaganga	2			8	1		2	9
23	Thanjavur	1			11	1		1	12
24	Theni	4	4		4			8	4
25	Thiruvannamalai	3	1		11	3		4	14
26	Tirunelveli	17	6	3	5			26	5
27	Tiruppur	4	1		3	1		5	4
28	Tiruvallur	17			21			17	21
29	Tiruvarur	2			3		1	2	4
30	Trichy	2		1	21	12	5	3	38
31	Tuticorin	15		1	4			16	4
32	Vellore	10			17	4	1	10	22
33	Villupuram	16	1		10	3	3	17	16
34	Virudhunagar	10	4					14	0
	Total	268	43	14	284	72	44	325	400
	%	36.97	5.93	1.93	39.17	9.93	6.07	44.83	55.17

Plate-XXIV

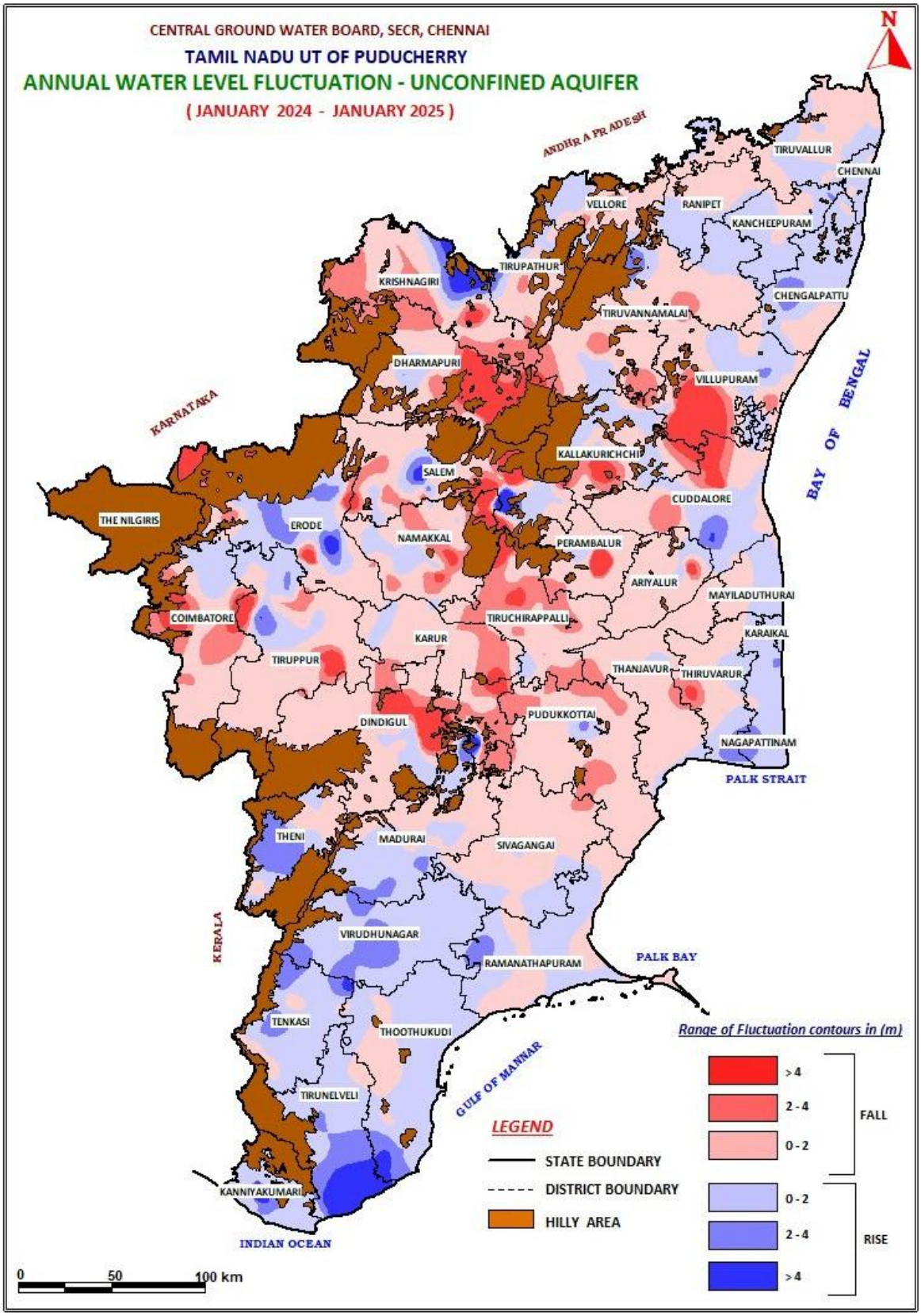
CENTRAL GROUND WATER BOARD, SECR, CHENNAI
TAMIL NADU UT OF PUDUCHERRY
ANNUAL WATER LEVEL FLUCTUATION - UNCONFINED AQUIFER
(JANUARY 2024 - JANUARY 2025)
N
ANDHRA PRADESH
KARNATAKA
KERALA
BAY OF BENGAL
PALK STRAIT
PALK BAY
GULF OF MANNAR
INDIAN OCEAN
TIRUVALLUR
CHENNAI
VELLORE
RANIPET
KANCHEEPURAM
TIRUPATHUR
KRISHNAGIRI
CHENGALPATTU
TIRUVANNAMALAI
DHARMAPURI
VILLUPURAM
KALLAKURICHCHI
SALEM
CUDDALORE
THE NILGIRIS
ERODE
NAMAKKAL
PERAMBALUR
ARIYALUR
MAYILADUTHURAI
COIMBATORE
TIRUCHIRAPPALLI
KARAIKAL
KARUR
TIRUPPUR
THANJAVUR
THIRUVARUR
PUDUKKOTTAI
DINDIGUL
NAGAPATTINAM
THENI
MADURAI
SIVAGANGAI
VIRUDHUNAGAR
RAMANATHAPURAM
TENKASI
THOOTHUKUDI
TIRUNELVELI
KANNIYAKUMARI
Range of Fluctuation contours in (m)
> 4
2 - 4
0 - 2
FALL
0 - 2
2 - 4
> 4
RISE
LEGEND
STATE BOUNDARY
DISTRICT BOUNDARY
HILLY AREA
0
50
100 km

6. CONCLUSIONS

The behavior of ground water table during May 2024 to January 2025 in Tamil Nadu State and Puducherry and Karaikal regions of U.T of Puducherry has been studied by monitoring the dug wells tapping phreatic aquifers. The data on water levels was analysed in detail and salient features are as under.

1. The depth to water level recorded during Premonsoon (May 2024) varied from 0.35 to 38.75 m bgl. 87.32% of wells have recorded depth to water level within 10 m bgl during premonsoon period (May 2024), whereas during post-monsoon period (January 2025), about 97% of wells recorded water levels less than 10 m bgl. The depth to water level recorded during Postmonsoon (January 2025) varied from 0.05 to 30.35 m bgl.

2. 90.16 % of wells have recorded depth to water level within 10m bgl during August 2024 and 94% during November 2024.

3. 23.05 % of wells have recorded fall in water levels and 76.95 % of wells recorded rise in water levels during May 2024 in comparison to decadal mean.

4. 74.51 % of wells have recorded rise in water levels and 25.49 % of wells have recorded fall during January 2025 with respect to respective decadal means.

5. When compared the water level during the premonsoon (May) of 2024 with the premonsoon of 2023 (May), rise was recorded in 55.36 % and fall in 44.64 %.

6. When compared the water level during the Post monsoon (January) of 2025 with the Post monsoon (January) of 2024, rise was recorded in 44.83% and fall in 55.17%

ACKNOWLEDGEMENTS

The authors express their gratitude to Shri.M Sivakumar, Regional Director, Central Ground Water Board, South Eastern Coastal Region, Chennai, for his constant encouragement throughout the task of compilation and analysis of voluminous data. They express their gratitude to him for the keen interest evinced by him in the report as also for the suggestions offered by him vis-à-vis some aspects for improving their lucidity, which have enhanced not only the form but also the contents of the final report. The authors also profusely thank the hard and arduous work put in by various field officers who diligently collected data and water samples from the field, which forms the base for this report. The authors would be failing in their duty if they do not acknowledge the unstinting cooperation offered by their various colleagues who have contributed in a major way in bringing out this report.

******

Annexure- I

Depth to Water level of Unconfined wells of Tamilnadu State and U.T of Puducherry (May 2024–January 2025)

Sl No	District	Latitude	Longitude	Well Type	Location	May-24	Aug-24	Nov-24	Jan-25
1	Ariyalur	11.338496	79.377428	Dug Well	Andimadam DW	6.63	6.37	5.3	5.85
2	Ariyalur	11.211100	79.395800	Dug Well	G.K.Cholapuram	6.24	8.9		3.78
3	Ariyalur	11.265814	79.294251	Dug Well	Idiyankurichi(Koovagam)	3.91	2.76	2.7	1.2
4	Ariyalur	11.212800	79.364400	Dug Well	Jayankondam DW	2.56	2.5	1.64	2.4
5	Ariyalur	11.307221	79.349721	Dug Well	Kattathur DW	0.77	0.5	0.02	0.25
6	Ariyalur	11.011457	79.981805	Dug Well	Kiharasanur	5.19	6.7	3.16	9.6
7	Ariyalur	11.033300	79.050000	Dug Well	Kilpazhavur		2.68	1.18	0.2
8	Ariyalur	11.285501	79.489966	Dug Well	Pappakudi DW	3.84	3.46	4.05	2.4
9	Ariyalur	11.410249	79.332800	Dug Well	Periyathukurichi	2.58	2.8	1.6	1.35
10	Ariyalur	11.297800	79.377500	Dug Well	Thandalai	2.17	2.4	1.25	1.58
11	Ariyalur	11.198100	79.327200	Dug Well	Tularangurichchi DW				2.7
12	Chennai	13.008858	80.262333	Dug Well	Adayar dw	3.7			2

Sl No	District	Latitude	Longitude	Well Type	Location	May-24	Aug-24	Nov-24	Jan-25
13	Chennai	13.039538	80.258424	Dug Well	Alwarpet		3.7	2.75	3.4
14	Chennai	13.073538	80.226216	Dug Well	Aminjikarai	7.17	3.74	1.74	3.24
15	Chennai	13.000296	80.267225	Dug Well	Besant Nagar	3.73	3.65	3.7	2.1
16	Chennai	12.943316	80.254578	Dug Well	Blue beach road sis	5.33		4.7	4.05
17	Chennai	13.055600	80.281400	Dug Well	Chepauk (Presidency College)	3.8	3.77	2.82	2.92
18	Chennai	13.074700	80.262500	Dug Well	Egmore	0.93	0.13	1.03	0.63
19	Chennai	12.982690	80.264080	Dug Well	Elegant Flat sis	3.96	3.83	3	2.6
20	Chennai	12.987850	80.264168	Dug Well	Kalakshetra sis	2.68	2.48	2.16	0.93
21	Chennai	12.933878	80.256965	Dug Well	KCG Garden,Vettuvankanni sis	2.65	2.25	1.35	
22	Chennai			Dug Well	Lions Club	4.73	4.2	3.9	3.3
23	Chennai	12.978642	80.265837	Dug Well	Seashore Appartment,39 Tiruvalluvar nagar sis	3.7	3.5	2.25	2.15

Sl No	District	Latitude	Longitude	Well Type	Location	May-24	Aug-24	Nov-24	Jan-25
24	Chennai			Dug Well	Seashore Appartment,40 sis	3.97			
25	Chennai			Dug Well	Thiruvalluvar nagar	3.7			2.15
26	Chennai	13.088873	80.197787	Dug Well	Tirumangalam	2.19	1.29		1.24
27	Chennai	13.129334	80.291462	Dug Well	Tondiarpet	4.22	4.65	3.35	2.1
28	Chennai	13.105361	80.284381	Dug Well	Vallalar Nagar	5.28	4.28	4.08	2.88
29	Chennai			Dug Well	Valmikinagar	3.8			
30	Chennai	12.983300	80.216700	Dug Well	Velachery-a		1.4		
31	Chennai	13.087141	80.267927	Dug Well	Vepery	2.82		1.5	1.15
32	Chennai	13.115916	80.261685	Dug Well	Vyasarpadi dw	1.6	1.7	1.2	
33	Coimbatore	10.635470	76.941110	Dug Well	Ambarampalayam	3.1	1.88	2.2	1.9
34	Coimbatore	11.229556	77.098611	Dug Well	Annur1	7.33	8.13	7.45	7.25
35	Coimbatore	11.188500	77.271861	Dug Well	Avinashi1	5.2	4.98	4.35	4.5
36	Coimbatore	10.970474	77.435714	Dug Well	Avinashipalayam			13.65	
37	Coimbatore	10.735500	77.088972	Dug Well	Chinnaripalayam	5.86	6.01	2.86	3.46

Sl No	District	Latitude	Longitude	Well Type	Location	May-24	Aug-24	Nov-24	Jan-25
38	Coimbatore	11.175917	77.057694	Dug Well	Ganesapuram	19.81	18.73	15.43	13.88
39	Coimbatore	10.693778	76.878306	Dug Well	Gopalapuaram	10.65	3.8	2.85	4.2
40	Coimbatore	11.014639	77.188000	Dug Well	Kaltanpet (Karanampettai)	7.65	14.52	4.17	5.9
41	Coimbatore	10.600806	77.377222	Dug Well	Kaniyur		3.4	2.25	1.4
42	Coimbatore	11.244444	76.957611	Dug Well	Karamadai	1.65	1.82	1.42	1.57
43	Coimbatore	10.817917	77.018972	Dug Well	Kinathukadavu	9.15	5.58	4.75	5.4
44	Coimbatore	10.488611	77.355500	Dug Well	Kumaralingam	0.75	0.35		0.35
45	Coimbatore	11.152278	76.941444	Dug Well	P.N.palayam	6.05	6.1	5.15	5.2
46	Coimbatore	10.990639	77.285778	Dug Well	Palladam	13.24	16.27	10.48	11.51
47	Coimbatore	10.760000	77.268944	Dug Well	Periyapatti	12.19	11.2	10.93	10.38
48	Coimbatore	11.205778	77.350194	Dug Well	Perumanallur	6.7	7	6.11	5.85
49	Coimbatore	10.966306	76.986056	Dug Well	Podanur1	9.63	7.6	3.53	5.4
50	Coimbatore	10.667640	77.018508	Dug Well	Pollachi1	0.86	0.7	0.75	0.95
51	Coimbatore	11.298944	77.131000	Dug Well	Pongalur		3.85	4.33	3.1
52	Coimbatore	10.679333	76.936000	Dug Well	Ponnaiyur	11.2	3.3	3.4	3.85

Sl No	District	Latitude	Longitude	Well Type	Location	May-24	Aug-24	Nov-24	Jan-25
53	Coimbatore	11.068389	77.001833	Dug Well	Saravanampatti	9.49	12.4	11	4.6
54	Coimbatore	10.811250	76.943861	Dug Well	Sokkanur	7.49	3.15	4.65	6.31
55	Coimbatore	10.942722	76.954583	Dug Well	Sugunapuram (B.K.Pudur)		18.03	15.45	15.95
56	Coimbatore	11.024492	77.120314	Dug Well	Sulur	3	5.7	0.85	1.8
57	Coimbatore	10.583361	77.244833	Dug Well	Udumalpet	1.85	1.6	1.1	1.4
58	Coimbatore	11.026361	76.905694	Dug Well	Vadavalli	36.6	37.5	33.05	30.35
59	Cuddalore	11.581900	79.553300	Dug Well	Abaddaranapuram DW	2.91	3.92	3.6	3.9
60	Cuddalore	11.606700	79.635000	Dug Well	Anthanampettai DW	2.63	2.14	3.2	0.65
61	Cuddalore	11.383300	79.383300	Dug Well	Chidambaram	3.65	4.36	4.33	1.25
62	Cuddalore	11.764400	79.764700	Dug Well	Cuddalore1	4.42	4.72	4.65	2.8
63	Cuddalore	11.617695	79.553523	Dug Well	Gandhinagar-Nlc Arch Gate DW	13.21	4.65	13.7	2.35
64	Cuddalore	11.522200	79.525600	Dug Well	Karunguli dw	0.87	0.96	1	2.3
65	Cuddalore	11.274609	79.557052	Dug Well	Kattumannarkudi	6.56		6.16	2.42

Sl No	District	Latitude	Longitude	Well Type	Location	May-24	Aug-24	Nov-24	Jan-25
66	Cuddalore	11.647500	79.639200	Dug Well	Kattuvegakollai DW	16.45	15.85		7.2
67	Cuddalore	11.601263	79.719178	Dug Well	Keelpuvanikuppam DW	2.6	2.4	2.27	2.2
68	Cuddalore	11.445800	79.763900	Dug Well	Killai	2.58	3.66	3.12	1
69	Cuddalore	11.266700	79.620800	Dug Well	Komaratchi	5.9	7.03	4.65	2.15
70	Cuddalore	11.615614	79.304403	Dug Well	Kopuvanur	2.03	1.5	1.67	1.05
71	Cuddalore	11.526900	79.651700	Dug Well	Kundiamallur DW	4.64	4.3	3.6	2.55
72	Cuddalore	11.563730	79.586412	Dug Well	Kurinjipadi	5.88	7.2	5.54	5.14
73	Cuddalore	11.481700	79.045800	Dug Well	Maapodaiyur DW	5.8	5.18	4.52	3.2
74	Cuddalore	11.639185	79.747557	Dug Well	Nadutitu DW		1.03	1.05	0.85
75	Cuddalore	11.558300	79.483300	Dug Well	Neyveli temple	5.6	5.05	4.55	2.5
76	Cuddalore	11.489400	79.715600	Dug Well	Periyakumudhi	2.3	2.37	1.6	1.4
77	Cuddalore	11.491700	79.754200	Dug Well	Porto-nova	2.1		2.3	1.45
78	Cuddalore	11.539400	79.591400	Dug Well	Reddipalayam DW	4.95	13.25	2.95	2.65
79	Cuddalore	11.521263	79.378010	Dug Well	Sattamangalam	3.24	3.26	2.57	3.7

Sl No	District	Latitude	Longitude	Well Type	Location	May-24	Aug-24	Nov-24	Jan-25
80	Cuddalore	11.529546	79.531104	Dug Well	Seerakuppam dw	4.66	4.62	3.93	2.7
81	Cuddalore	11.361700	79.508300	Dug Well	Solatharam	1.32		1.51	4.47
82	Cuddalore	11.569200	79.678900	Dug Well	Teerthanagiri DW	4.42	3.77	3.3	2
83	Cuddalore	11.589200	79.527500	Dug Well	Tekkumellur DW	1.93	1.7	1.73	1.5
84	Cuddalore	11.407867	79.004003	Dug Well	Tholudur	6.99	4.47	4.63	3.03
85	Cuddalore	11.616793	79.741893	Dug Well	Tiruchchopuram DW	5.83	5.98	0.96	4.48
86	Cuddalore	11.537500	79.541700	Dug Well	Vadalur	5.75			
87	Cuddalore	11.305800	79.593900	Dug Well	Veeranatham	3.75	3.9	1.88	2.1
88	Cuddalore	11.633408	79.577946	Dug Well	Vegakollai	6.6	7.97	10.17	4.2
89	Cuddalore	11.516700	79.333300	Dug Well	Vridhachalam	8.65	9	8.8	4.35
90	Dharmapuri	11.940300	78.401550	Dug Well	A.Pallipatti	9.95	8.88	3.65	1.9
91	Dharmapuri	12.117130	78.152880	Dug Well	Bharathipuram	13	11.9	3.05	7.2
92	Dharmapuri	11.980310	78.249720	Dug Well	Bommidimalapurm	3.7	2.7	2.25	2.15
93	Dharmapuri	12.134950	78.157690	Dug Well	Dharmapuri1	4.75			2
94	Dharmapuri	12.112800	78.494160	Dug Well	Echambadi dw	8.75	7	8.45	3.1

Sl No	District	Latitude	Longitude	Well Type	Location	May-24	Aug-24	Nov-24	Jan-25
95	Dharmapuri	12.048910	78.476790	Dug Well	Harur1		8.63	7.35	3.35
96	Dharmapuri	12.119100	77.780950	Dug Well	Hogenakkal	1.9	3.7	3.25	3.5
97	Dharmapuri	12.134840	78.060640	Dug Well	Indoor	4.95	4.86	4.9	3.1
98	Dharmapuri	12.261310	78.301700	Dug Well	Irumattur new	10.05			4.55
99	Dharmapuri	12.132920	78.319810	Dug Well	Karthankulam DW	10.66	10.9	6.37	2.1
100	Dharmapuri	12.146100	78.173330	Dug Well	Kaveripattinathankottai	2.95	2.91		2.05
101	Dharmapuri	12.121306	78.403667	Dug Well	Morappur 2				5.1
102	Dharmapuri	12.115580	78.402620	Dug Well	Morappur dw	18.25	17.15	10.85	
103	Dharmapuri	11.949590	78.412420	Dug Well	Mukkareddipatti	12.85	12.1	5.85	2.9
104	Dharmapuri	12.093973	78.630815	Dug Well	Mullaivanam	11.65	10.5	9.25	4.3
105	Dharmapuri	12.135700	77.990580	Dug Well	Nagadasampatti	5	5.5	6.2	5.12
106	Dharmapuri	12.140570	78.291030	Dug Well	Odasalapatti	8.95	8.4	4.1	1.5
107	Dharmapuri	12.142920	78.284210	Dug Well	Odasalapatti x road	12.9	7.15	2.2	1.6
108	Dharmapuri	12.014611	78.095528	Dug Well	Palayampudur				5.4
109	Dharmapuri	11.911350	78.366900	Dug Well	Papireddipatti1	3.35	3.05	1.25	1

Sl No	District	Latitude	Longitude	Well Type	Location	May-24	Aug-24	Nov-24	Jan-25
110	Dharmapuri	12.132180	77.900720	Dug Well	Pennagaram1	4.9	7.77	8.5	8
111	Dharmapuri	12.051840	78.279210	Dug Well	Sillarahalli	6.4	6.7	6.8	3.1
112	Dharmapuri	12.108010	78.412860	Dug Well	Thambichettipatti dw	17.5	16.74	14.95	2.2
113	Dharmapuri	12.103100	78.589050	Dug Well	Theerthamalai DW	10.65	9.4	7.08	2.4
114	Dharmapuri	11.944900	78.048040	Dug Well	Thoppur (D)	9.6	9.35	6.5	6.1
115	Dindigul	10.467245	77.653626	Dug Well	Chattrapatti	10.33	10.26	8.3	4.79
116	Dindigul	10.407273	78.002574	Dug Well	Chellamantadi	3.6	6.05	1.8	
117	Dindigul	10.362510	77.966955	Dug Well	Dindigul2	1.5	2.05	0.5	0.42
118	Dindigul	10.275552	77.921524	Dug Well	Gandhigram		5.4	3.13	2.8
119	Dindigul	10.680569	78.115544	Dug Well	Guzilamparai	3.1	2.78	1.2	1
120	Dindigul	10.345633	77.989283	Dug Well	Hanumanthanagar	4.75	4.05	0.35	1.98
121	Dindigul	10.750533	78.025668	Dug Well	Idayapatti	13.95	13.7	11.15	11.85
122	Dindigul	10.671363	77.992330	Dug Well	Kakkinapatti	3.24	11.2	7.52	8.25
123	Dindigul	10.473908	77.581023	Dug Well	Kanakkanpatti	10.4	4	2.35	1.21

Sl No	District	Latitude	Longitude	Well Type	Location	May-24	Aug-24	Nov-24	Jan-25
124	Dindigul	10.228327	77.466414	Dug Well	Kodaikanal	5.97	3.5	5.46	5.72
125	Dindigul	10.727294	78.139256	Dug Well	Muthampattipalayam	4.78	2.25	1.35	1.71
126	Dindigul	10.382259	77.991323	Dug Well	Nandavanampatti	2.4	2.43	2.06	1.32
127	Dindigul	10.224411	78.228939	Dug Well	Natham1	4.5	5.2	2.4	3.23
128	Dindigul	10.488905	77.753281	Dug Well	Oodanchatram	6.15	5.86	4.65	3.78
129	Dindigul	10.598562	77.975671	Dug Well	P.Alagapuri	11.85	7.55	6.5	3.4
130	Dindigul	10.465951	77.805623	Dug Well	Palakanthur	5.8	6.06	5.4	3.62
131	Dindigul	10.435536	77.522145	Dug Well	Palani2	2.07	2	2.15	1.64
132	Dindigul	10.354128	77.960191	Dug Well	Paraipatti.S	1.97	2.3	1.6	1.37
133	Dindigul	10.264133	77.538286	Dug Well	Perumal Malai	1.07	0.18	0.18	1.36
134	Dindigul	10.461975	77.784943	Dug Well	Pudu Ettama Nayakar Patti	7.25	6.25	6.65	4.32
135	Dindigul	10.429020	77.871746	Dug Well	Reddiarchattram	5.25	6.1	4.08	3.33
136	Dindigul	10.459818	78.027380	Dug Well	Sundarapuri	13.45	10.93	3.85	7.52
137	Dindigul	10.405357	78.045506	Dug Well	Thamaraipadi	7.32		7.4	4.6

Sl No	District	Latitude	Longitude	Well Type	Location	May-24	Aug-24	Nov-24	Jan-25
138	Dindigul	10.575933	77.529669	Dug Well	Thoppampatti	10.2	9.68	8.4	4.87
139	Dindigul	10.534527	77.525924	Dug Well	Thumbalapatti	7.52			
140	Dindigul	10.268503	77.617794	Dug Well	Uthu	0.82	0.33	0.35	0.6
141	Dindigul	10.437393	78.100633	Dug Well	Vadamadurai	13.62	13.65	7.28	4.54
142	Dindigul	10.547805	77.971228	Dug Well	Vedasandur new	17.55	15.7	2.65	2.37
143	Erode	10.652258	77.499630	Dug Well	Alangiyam		7.63	1.63	2.9
144	Erode	11.622503	77.743008	Dug Well	Ammapet2		9.16	6.1	4.45
145	Erode	11.496986	77.343130	Dug Well	Arakkan kottai(Modur Diversion pirivu)	9.72	8.43	1.88	5.65
146	Erode	11.162923	77.701164	Dug Well	Archalur	8.25	5.87	5.14	4.55
147	Erode	11.522913	77.511666	Dug Well	Attani	9.8	11.07	8.05	9.61
148	Erode	11.507122	77.407201	Dug Well	Bangalapudhur	9.75	6.07	4.75	4.8
149	Erode	11.436015	77.682817	Dug Well	Bhavani1	8.81	7.27	7.47	7.48
150	Erode	11.199684	77.422548	Dug Well	Chengapalli1(Tiruppur dt)	6.62	6.74	6.1	6.62
151	Erode	11.164700	77.603576	Dug Well	Chennimalai2	6.35	6.85	6	5.56

Sl No	District	Latitude	Longitude	Well Type	Location	May-24	Aug-24	Nov-24	Jan-25
152	Erode	11.394267	77.658038	Dug Well	Chittodu	4.04	3.55	4.34	5.64
153	Erode	10.735868	77.532223	Dug Well	Dharapuram2	3.46	5.29	3.2	3.1
154	Erode	11.188876	77.770952	Dug Well	Elmattur	3.61	4.83	1.44	1.59
155	Erode	11.031113	77.534764	Dug Well	Erakalpudur(Sivanmalai)	16.09	16.15	12.53	13.45
156	Erode	11.334107	77.737638	Dug Well	Erode2	8.37	7.93	6.88	6.37
157	Erode	10.768064	77.654854	Dug Well	Ganapathipalayam	22.09	23.77	5.73	5.23
158	Erode	11.658721	77.684677	Dug Well	Gandhinagar Thaneerpanthalpalayam	18.41	18.28	12.55	11.75
159	Erode	11.456090	77.423723	Dug Well	Gobichettipalayam1	6.17	5.46	2.59	4.16
160	Erode	11.641308	77.682068	Dug Well	Guruvarettiyur	20.62	27.87	9.95	12.84
161	Erode	11.451288	77.270442	Dug Well	Indiampalayam	2.55	2.68	1.45	1.95
162	Erode	11.226909	77.581791	Dug Well	Ingur New	4.87	4.35	1.98	2.62
163	Erode	11.005950	77.560141	Dug Well	Kangayam2	8.59	12.09	8.96	7.79
164	Erode	10.766917	77.600843	Dug Well	Karaiyur1	5.98	6.48	3.46	3.74

Sl No	District	Latitude	Longitude	Well Type	Location	May-24	Aug-24	Nov-24	Jan-25
165	Erode	11.459008	77.337949	Dug Well	Kasipalayam (E)	11.04	9.05	3.35	4.82
166	Erode	11.426158	77.560286	Dug Well	Kavundapadi1	4.16	5.05	3.89	4.06
167	Erode	11.081793	77.885404	Dug Well	Kodumudi		3.13	3.16	3.35
168	Erode	11.379975	77.427045	Dug Well	Kolappalur	7.41	6.43	5.38	5.7
169	Erode	10.764011	77.584086	Dug Well	Kolathupalayam	5.28	4.78	2.05	2.4
170	Erode	11.536582	77.710962	Dug Well	Krishnapuram	18.08	15.51	2.29	3.11
171	Erode	10.804400	77.556900	Dug Well	Kullakalpalayam	5.6	6.1	1.42	1.38
172	Erode	11.265295	77.411694	Dug Well	Kunnathur1			4.42	5.57
173	Erode	11.571679	77.696227	Dug Well	Kurichi	6.1	3.4	2.48	2.7
174	Erode	11.011733	77.656244	Dug Well	Molengkuttipalayam	2.17	2.19	4.75	3.4
175	Erode	10.793810	77.706156	Dug Well	Mulanur2	4.38	5.56	2.89	2.52
176	Erode	11.689381	77.658169	Dug Well	Murlipudur	8.71	9.31	0.99	3.11
177	Erode	11.475067	77.143127	Dug Well	Murukkandurai (Bhavanisagar)	1.68	1.67	6.55	1.25
178	Erode	11.044779	77.735343	Dug Well	Muttur1	7.91	9.04	6.7	3.94

Sl No	District	Latitude	Longitude	Well Type	Location	May-24	Aug-24	Nov-24	Jan-25
179	Erode	10.839892	77.721982	Dug Well	Nallu Road Junction	3.12		3.1	2.85
180	Erode	11.358917	77.322601	Dug Well	Nambiyur	10.3	6.05	4.25	
181	Erode	11.338574	77.636694	Dug Well	Nasiyanur	9.29	8.92	8.39	8.84
182	Erode	11.464846	77.606218	Dug Well	Ooricheri	4.99	4.17	3.52	4.3
183	Erode	11.224390	77.418526	Dug Well	Otti Vilangadu	5.78	4.91	5.43	6.06
184	Erode	11.063636	77.492144	Dug Well	Padiyur	17.68	10.98	7.05	7.12
185	Erode	10.682496	77.489235	Dug Well	Papayampudur	1.86	2.6	8.4	6.25
186	Erode	10.701164	77.739400	Dug Well	Pattaidurai	1.99	3.1	0.68	0.73
187	Erode	11.280238	77.585066	Dug Well	Perundurai1	11.38	11.09	10.38	10.88
188	Erode	11.260297	77.530217	Dug Well	Ponmudi	19.03	12.43	10.15	9.75
189	Erode	11.591833	77.665982	Dug Well	Poonnachipudur dw	13.41	15.09	5.3	9.95
190	Erode	11.594400	77.587500	Dug Well	Pudupalayam1	8.76	9.26	6.29	6.91
191	Erode	11.541822	77.176432	Dug Well	Puduvadavalli	23.55	17.19	18.21	18.3
192	Erode	11.355148	77.165900	Dug Well	Punjai Puliyampatti	7.55	5.75	2.3	4.65

Sl No	District	Latitude	Longitude	Well Type	Location	May-24	Aug-24	Nov-24	Jan-25
193	Erode	11.514453	77.423121	Dug Well	Punjaiduraiampalayam	7.27	8.03	3.87	6.1
194	Erode	11.547200	77.141700	Dug Well	Rajanagaram		12.44	7.44	
195	Erode	11.504503	77.246752	Dug Well	Sathiyamangalam	11.56	9.15	7.8	7.79
196	Erode	11.775677	77.023233	Dug Well	Talavadi new	9.15	3.49		1.6
197	Erode	11.128665	77.877021	Dug Well	Unjalur	4.26	3.22	3.19	3.21
198	Erode	10.892083	77.526925	Dug Well	Uthiyur	8.08	7.46	7.79	6.31
199	Erode	11.402288	77.637463	Dug Well	VadakkuThaieripalayam	5.63	5.01	3.2	3.2
200	Erode	11.494289	77.698585	Dug Well	Varadanallur	8.67	6.15	1.25	1.5
201	Erode	10.945807	77.715912	Dug Well	Vellakoil	1.85	2.12	1.2	1.2
202	Erode	11.621262	77.633424	Dug Well	Vellitirupur	4.46	4.66	3.6	2.95
203	Erode	11.488546	77.156329	Dug Well	Velliyampalayam	9.46	9.31	7.71	8.07
204	Erode	11.236100	77.658600	Dug Well	Vellodu new	2.98	3.43	2.61	3.18
205	Erode	11.244188	77.503054	Dug Well	Vijayamangalam1	12.12	13.81	11.35	11.26
206	Kancheepuram	12.406373	79.812826	Dug Well	Acharapakkam1	4.9	1.32	1.95	1.6

Sl No	District	Latitude	Longitude	Well Type	Location	May-24	Aug-24	Nov-24	Jan-25
207	Kancheepuram	12.887342	80.148514	Dug Well	Agaram periurban	2.5	3.7	2.55	2.3
208	Kancheepuram	12.982787	80.128645	Dug Well	Anakkaputhur	3.9			
209	Kancheepuram	12.863373	80.226309	Dug Well	Chemmamcheri Periurban	2.81	1.71	2.81	1.51
210	Kancheepuram	12.674352	79.976788	Dug Well	Chenglepet1	2.97	2.3	2.3	2.42
211	Kancheepuram	12.940534	80.137619	Dug Well	Chittlapakkam cwc periurban	5.4	2.65	2.5	1.7
212	Kancheepuram	12.950279	80.133874	Dug Well	Chrompet periurban	3.6	2	1.35	1.35
213	Kancheepuram	12.258352	79.976788	Dug Well	Chunamedu	5.58	5.35	3.75	0.73
214	Kancheepuram	13.015294	80.126526	Dug Well	Gerugambakkam periurban	2.55	2.5	1.85	1.35
215	Kancheepuram	12.845235	80.062302	Dug Well	Guduvancheri	9.8	4.25	3.14	2.3
216	Kancheepuram	12.943088	80.147651	Dug Well	Hasthinapuram periurban	4.9	1.35	1.6	1.4

Sl No	District	Latitude	Longitude	Well Type	Location	May-24	Aug-24	Nov-24	Jan-25
217	Kancheepuram			Dug well	Injambakkam	3.15			
218	Kancheepuram	12.912500	80.245800	Dug Well	Injambakkam sis	2.6	2.04	1.65	1.08
219	Kancheepuram	12.833796	79.702396	Dug Well	Kancheepuram	6.17	6.13	6.13	5.63
220	Kancheepuram	12.808184	80.029986	Dug Well	Kattangulathur	5.7		1.7	2.4
221	Kancheepuram	12.957389	80.178561	Dug Well	Kilkattalai periurban	1.9	2.5	2.15	2
222	Kancheepuram	12.868839	80.109999	Dug Well	Kolapakkam periurban	1.8	2.7	1.4	1.1
223	Kancheepuram	12.350560	79.901451	Dug Well	Kolathanallur	4.39	3.5	1.4	1.7
224	Kancheepuram	13.001900	80.069400	Dug Well	Kundrathur periurban	5.85	5.85	2.85	4.35
225	Kancheepuram	12.919855	80.251755	Dug well	Lions Club Injambakkam sis		3.5	3.2	2.6
226	Kancheepuram	12.502790	79.876554	Dug Well	Madurantagam1	6.87	7.9	4.45	5.35
227	Kancheepuram	12.616105	80.192676	Dug Well	Mahabalipuram	4	4	3.95	3.45

Sl No	District	Latitude	Longitude	Well Type	Location	May-24	Aug-24	Nov-24	Jan-25
228	Kancheepuram	13.034194	80.108434	Dug Well	Mangadu periurban	3.1	2.9	1.55	2.25
229	Kancheepuram	12.919268	80.042714	Dug Well	Manimangalam periurban	2.9	2.5	2.5	2.2
230	Kancheepuram	12.985599	80.178442	Dug Well	Meenambakkam1 periurban	6	3.7	1.8	1.9
231	Kancheepuram	12.894336	80.064517	Dug Well	Mudichur periurban		1.47		
232	Kancheepuram	12.812739	80.243385	Dug Well	Muttukadu periurban	5.5	4.65	4.3	5
233	Kancheepuram	12.957633	80.126230	Dug Well	Nagalkeni periurban		0.5	1.1	1.15
234	Kancheepuram	13.010857	80.196055	Dug Well	Nandambakkam	3	1.8	1.55	1
235	Kancheepuram			Dug Well	Nethapakkam		1.55	0.96	1.4
236	Kancheepuram	13.318100	79.962500	Dug Well	Palavakkam (K) periurban			0.05	0.05

Sl No	District	Latitude	Longitude	Well Type	Location	May-24	Aug-24	Nov-24	Jan-25
237	Kancheepuram	12.972747	80.154233	Dug Well	Pallavaram periurban	5.5	3.25	2.6	1.45
238	Kancheepuram	12.855600	80.169400	Dug Well	Ponmar	2.5			
239	Kancheepuram	13.048558	80.102159	Dug Well	Poonamallee periurban	4.46	4.5	4.3	2.5
240	Kancheepuram	12.903626	80.232866	Dug Well	Sholinganallur periurban	3.05	1.85	1.77	1.35
241	Kancheepuram	12.955274	79.934395	Dug Well	Sriperumbudur	7.22	3.3	2.85	2
242	Kancheepuram	13.007334	80.197572	Dug Well	St.Thomas Mount periurban	7.7	5.05	2.45	1.88
243	Kancheepuram	12.931152	80.116742	Dug Well	Tambaram1	5.15	5.55	3.85	5.05
244	Kancheepuram	12.962923	80.113157	Dug Well	Thiruneermalai periurban	5.2	2.7	8.4	6.3
245	Kancheepuram	12.606213	80.055904	Dug Well	Tirukalukundram	5	3.1	3.82	2.7
246	Kancheepuram	12.731638	80.189128	Dug Well	Tiruporur	1.4	1.2	2	2.05

Sl No	District	Latitude	Longitude	Well Type	Location	May-24	Aug-24	Nov-24	Jan-25
247	Kancheepuram	13.066498	80.136462	Dug Well	Tiruverkadu periurban			4.5	4.65
248	Kancheepuram	12.860282	80.241672	Dug Well	Uthandi periurban	4.1	3.66	2.82	2.43
249	Kancheepuram	12.611707	79.734769	Dug Well	Uthiramerur2	5.9	5.2	4.6	2.4
250	Kancheepuram	13.022300	80.104400	Dug Well	Valasaravakkam periurban	3.2	2.4	2.5	2.2
251	Kancheepuram	12.900414	80.171199	Dug Well	Vengaivasal periurban	5.6	5.45	4.5	4.57
252	Kancheepuram	12.799012	79.817520	Dug Well	Walajabad	6.38	2.1	4.4	2
253	Kanyakumari	8.247484	77.520000	Dug Well	Aralvaimozhi	3.56	4.4	4.35	4.58
254	Kanyakumari	8.325566	77.257913	Dug Well	Attur	6	7.92	6.44	9.48
255	Kanyakumari	8.261976	77.449458	Dug Well	Boothapandy	3.45	4.1	3.72	4.15
256	Kanyakumari	8.192082	77.295331	Dug Well	Chettiarmadam DW	4.5	6.45	5.1	6.92
257	Kanyakumari	8.093537	77.544386	Dug Well	Kanyakumari1	0.92	1.6	1.4	1.83
258	Kanyakumari	8.288950	77.269037	Dug Well	Kattudurai DW	18.8	21.53	3.37	17.79

Sl No	District	Latitude	Longitude	Well Type	Location	May-24	Aug-24	Nov-24	Jan-25
259	Kanyakumari	8.178708	77.252111	Dug Well	Kolachal	9.15	11.1	9.39	11.31
260	Kanyakumari	8.352335	77.286066	Dug Well	Kulasekharan DW	3	4.35	4.15	5.06
261	Kanyakumari	8.305800	77.225930	Dug Well	Marthandam	4.78	7.1	5.9	8.48
262	Kanyakumari	8.169809	77.442911	Dug Well	Nagarkoil1	0.66	1	0.75	1.06
263	Kanyakumari	8.139645	77.564577	Dug Well	Variyur	0.48	1.25	0.77	1.13
264	Kanyakumari	8.221427	77.245777	Dug Well	Vellaivilai	7.71	6.75	4.6	6.67
265	Kanyakumari	8.225088	77.350666	Dug Well	Villukuri	2.01	4.68	2.54	6.84
266	Karaikal	10.932182	79.831325	Dug Well	Karaikal dw	2.73	3.68	2.12	2.28
267	Karaikal	10.950328	79.828186	Dug Well	Kilakasakudi	1.8	2.25	0.86	1.01
268	Karaikal	10.956922	79.825702	Dug Well	Kottucherry	2.05	2.91	0.22	0.33
269	Karaikal	10.926111	79.792222	Dug Well	Tirunallar dw	2.13	2.81	1.29	1.71
270	Karur	10.870978	78.632488	Dug Well	Allur-Agragaram dw	3.75	2.95	2.12	2.24
271	Karur	10.776590	77.905852	Dug Well	Aravakurichi2	9.62	8.05	6.75	6.05
272	Karur	10.850919	77.852250	Dug Well	Chinna Dharapuram	4.17	1.93	1.3	1.35
273	Karur	10.854895	78.488005	Dug Well	Enuguru DW	7.1	6.73	6.3	4.05

Sl No	District	Latitude	Longitude	Well Type	Location	May-24	Aug-24	Nov-24	Jan-25
274	Karur	10.842892	78.164655	Dug Well	Jagatabi	11.19	6.44	5.79	5.39
275	Karur	10.984839	78.076613	Dug Well	Karur2	4.1	2.5	1.75	1.23
276	Karur	10.949916	78.237675	Dug Well	Mayanur	6.97	7.75	7.05	5.08
277	Karur	10.876789	78.520919	Dug Well	Melnagavaram dw	4.4	3.13	1.05	1.4
278	Karur	11.048607	77.924780	Dug Well	Noyyil1	2.64	2.65	2.4	2.51
279	Karur	10.966700	77.912500	Dug Well	Paramatti1	1.88	1.13	0.08	0.23
280	Karur	10.729223	78.411324	Dug Well	Thogamalai		3.52	1.09	1.27
281	Karur	10.779047	78.197457	Dug Well	Veeramalaipalayam dw	9.85	9.2	7.3	7.6
282	Karur	10.846812	78.120165	Dug Well	Vellianani	8	6.15	6.15	5.21
283	Krishnagiri	12.566700	77.900000	Dug Well	Anusonai	3.95	3.65	0.8	2.1
284	Krishnagiri	12.520787	77.790163	Dug Well	Denkanikottai1	8.6	5.94	4.55	4.5
285	Krishnagiri	12.626664	78.325138	Dug Well	Guruvinayanpalli	14.49	14.89	13.14	14.04
286	Krishnagiri	12.410691	78.207467	Dug Well	Karukkanchavadi	1.75	1.5	1.5	1.85
287	Krishnagiri	12.332744	78.350162	Dug Well	Konnanur	6.4	2.03	1.15	1.06
288	Krishnagiri	12.413002	78.170990	Dug Well	Machikanakottai	4.4	2.8	0.63	1.4

Sl No	District	Latitude	Longitude	Well Type	Location	May-24	Aug-24	Nov-24	Jan-25
289	Krishnagiri	12.615855	77.784574	Dug Well	Machinayampalli	6.4	6.5	3.75	4.05
290	Krishnagiri	12.402417	78.343621	Dug Well	Mahadeva Gollahalli	7.5	5.73	2.65	3.15
291	Krishnagiri	12.382721	78.412356	Dug Well	Mathur		5.32	6.55	5.75
292	Krishnagiri	12.563651	77.912664	Dug Well	Nagathunai	5.82	6.18	3.52	3.02
293	Krishnagiri	12.504290	78.136720	Dug Well	Palakuri	8	6.74		5.7
294	Krishnagiri	12.391498	78.247045	Dug Well	Panneswara Madam	5.3	5.35	4	4
295	Krishnagiri	12.513068	78.036491	Dug Well	Rayakottai	6.25	4.7	2.1	1.4
296	Krishnagiri	12.663588	78.012298	Dug Well	Sulagiri	10.02	9.54	6.74	7.84
297	Krishnagiri	12.340793	78.245664	Dug Well	Tattarhalli	7	5.5	2.4	2.95
298	Krishnagiri	12.264278	78.550839	Dug Well	Uthangarai	6.6	3.35	1.57	1.85
299	Krishnagiri	12.347632	78.555494	Dug Well	Vanampalli	5.8	1.8	1.95	1.85
300	Krishnagiri	12.593261	77.868043	Dug Well	Virupakshinagar	1.3	1.17	0.45	1.1
301	Madurai	9.941035	77.968155	Dug Well	Chekkanoorani	4.3	6.02	4.1	4.9
302	Madurai	9.796898	78.093460	Dug Well	Eliyarpathi	6.01	6.67	8.17	6.93

Sl No	District	Latitude	Longitude	Well Type	Location	May-24	Aug-24	Nov-24	Jan-25
303	Madurai	10.078610	78.174118	Dug Well	Kadavoor	4.24	2.17	1.48	2.25
304	Madurai	9.859606	78.021709	Dug Well	Kappalur (M)	2.13	2.17		3.85
305	Madurai	9.707103	77.885620	Dug Well	Kolluveeranpatti	4.84	5.67		5.95
306	Madurai	9.941090	78.000969	Dug Well	M.K.University	4.55	6.6	6.15	5.55
307	Madurai	9.884537	78.182613	Dug Well	M.Puliyankulam	2.55	2.5	2.3	2.9
308	Madurai	9.926863	78.104043	Dug Well	Madurai Rly Colony	4.66	4.04		4.65
309	Madurai	9.934537	78.168777	Dug Well	Melamadai	5.5	8.24	4.4	4.49
310	Madurai	10.030533	78.333978	Dug Well	Melur	3.57	5.15	1.5	1.45
311	Madurai	9.722498	77.848227	Dug Well	T Kallupatti	4.28	4.24	6.95	5.88
312	Madurai	9.823887	77.988312	Dug Well	Thirumangalam new	5.47	5.6	1.1	5.8
313	Madurai	9.950642	78.206743	Dug Well	Thirumogur	2.1	1.92	1.05	1.41
314	Madurai	9.986757	78.139024	Dug Well	Thirupallai	2.58	2.15	1	1.1
315	Madurai	9.966993	77.785950	Dug Well	Usilampatti		0.48		
316	Madurai	10.072612	77.969553	Dug Well	Vadipatti dw	8.85	3.59	6.3	5.23

Sl No	District	Latitude	Longitude	Well Type	Location	May-24	Aug-24	Nov-24	Jan-25
317	Madurai	9.826250	78.094218	Dug Well	Valayankulam	5.8	5.95	4.8	4.65
318	Madurai	9.960603	78.073134	Dug Well	Vilangudi	7.96	3.82	2.66	2.68
319	Nagapattinam	10.744350	79.850315	Dug Well	Akkaraipettai	2.83	2.99	1.34	1.52
320	Nagapattinam	10.767652	79.740830	Dug Well	Keelvalur	3.4	3.86	2.65	2.6
321	Nagapattinam	11.094400	79.655600	Dug Well	Mayavaram	3.05	3.18	1.47	1
322	Nagapattinam	10.773623	79.840578	Dug Well	Nagapattinam	4.64	5.33	5.51	5.79
323	Nagapattinam	10.801100	79.841900	Dug Well	Nagore	2.93	4.13	3.42	2.47
324	Nagapattinam	11.329354	79.770447	Dug Well	Nallur			1.35	2.06
325	Nagapattinam	10.578593	79.723346	Dug Well	Odacherry	2.97	2.94	1.66	2.03
326	Nagapattinam	11.146900	79.835000	Dug Well	Poompuhar Melaiyur	3.99	4.15	1.67	2.35
327	Nagapattinam	10.410276	79.686774	Dug Well	Thagattur	2.68	3.19	3.15	4.02
328	Nagapattinam	10.570353	79.768827	Dug Well	Thalaignayiru	3.56	2	1.32	2.54
329	Nagapattinam	10.478253	79.829470	Dug Well	Thamaraipulam	2.57	3.11		
330	Nagapattinam	10.395295	79.852393	Dug Well	Thethakudi	2.1	2.71	0.88	1.56
331	Nagapattinam	11.079935	79.801570	Dug Well	Thirukadaiyur	3.8	4.42	1.5	2.27

Sl No	District	Latitude	Longitude	Well Type	Location	May-24	Aug-24	Nov-24	Jan-25
332	Nagapattinam	11.016900	79.851400	Dug Well	Tranquebar	2.4	2.43	1.08	1.91
333	Nagapattinam	10.627712	79.741700	Dug Well	Valagarai	2.15	1.36	1.14	1.58
334	Nagapattinam	10.375380	79.849132	Dug Well	Vedaranyam	1.86	2.48	1.52	2.14
335	Nagapattinam	10.684600	79.838855	Dug Well	Velanganni	2.94	4.06	3.37	1.42
336	Namakkal	11.363296	77.809008	Dug Well	Ainthu Panai	8.8	8.6	7.62	9.5
337	Namakkal	11.366891	77.768758	Dug Well	Annai sathyanagar(alampalayam)	4.42	4.64	1.41	0.82
338	Namakkal	11.542186	78.347970	Dug Well	Ayilpatti	10.68	9.37	10.45	8.36
339	Namakkal	11.315066	77.924036	Dug Well	Chittalandur dw	6.28	7.08	4.56	4.94
340	Namakkal	11.386310	78.013556	Dug Well	Elachipalayam new	8.34	7.42	4.92	4.38
341	Namakkal	11.573312	78.404574	Dug Well	Eswaramoorthypalayam	38.75	39.78	37.35	21.25
342	Namakkal	11.434105	78.137332	Dug Well	Gurusamipalayam	6.93	4.07	2.48	2.03
343	Namakkal	11.237260	77.968029	Dug Well	Irumbapalam	3.86	4.22	3.4	3.55
344	Namakkal	11.334499	78.248050	Dug Well	K.Naickanpatti	7.56	7.09	6.79	6.97
345	Namakkal	11.274425	78.082566	Dug Well	Kalinayakkanur	0.95	0.67	3.93	4.93

Sl No	District	Latitude	Longitude	Well Type	Location	May-24	Aug-24	Nov-24	Jan-25
346	Namakkal	11.517354	78.037301	Dug Well	Kalipatti	11.67	6.98	5.48	4.5
347	Namakkal	11.482963	78.374880	Dug Well	Kamarajar Nagar	18.6	8.78	7.15	6.06
348	Namakkal	11.315414	78.033473	Dug Well	Kattipalayam	9.4	10.68	5.83	7.65
349	Namakkal	11.471750	78.304251	Dug Well	Kumbakkottai		16.95	16.23	14.75
350	Namakkal	11.361766	78.140318	Dug Well	Lakkayampatti	3.03	15.91	7.7	4.71
351	Namakkal	11.506859	78.331980	Dug Well	Metala	13.93	10.59	7.3	3.55
352	Namakkal	11.066195	78.136071	Dug Well	Mohanur1	1.82	2.78	1.15	2.21
353	Namakkal	11.447503	78.401130	Dug Well	Mullakurchi dw	15.3	14.24	9.5	2.55
354	Namakkal	11.255879	77.951200	Dug Well	Nallur1	4.7	5.55	4.06	3.63
355	Namakkal	11.456665	78.265812	Dug Well	Namagiripet	8.69	12	7.78	7.71
356	Namakkal	11.224449	78.164226	Dug Well	Namakkal2	1.57	1.61	0.92	1.37
357	Namakkal	11.088311	78.076980	Dug Well	Palapati	6.2	3.03	0.71	0.73
358	Namakkal	11.156783	78.021334	Dug Well	Paramarthi dw	4	2.38	1.5	1.54
359	Namakkal	11.275444	77.808187	Dug Well	Patlur	1.42	0.93	1.1	1.39
360	Namakkal	11.168926	78.274364	Dug Well	Pottiredddipatti	5.01	6.9	3.85	4.1

Sl No	District	Latitude	Longitude	Well Type	Location	May-24	Aug-24	Nov-24	Jan-25
361	Namakkal	11.240885	77.907633	Dug Well	Pudur Siddhampoondi	7.1	8.69	3.01	3.03
362	Namakkal	11.195663	78.108600	Dug Well	Pulavar Palayam	6.78	6.18	2.3	2.1
363	Namakkal	11.460200	78.193658	Dug Well	Rasipuram1	10.79	9.73	5.9	5.66
364	Namakkal	11.412599	77.773578	Dug Well	Sammankadu	9.24	3.78	6.91	7.9
365	Namakkal	11.419126	77.700614	Dug Well	Sanarpalayam	8.91	5.91	4.1	4.55
366	Namakkal	11.147219	77.934500	Dug Well	Semmadaipalayam	4.82	2.83	0.75	1.79
367	Namakkal	11.280131	78.231754	Dug Well	Senthamangalam	15.45	16.63	5.25	4.9
368	Namakkal	11.418283	78.222807	Dug Well	Singalanadu prm	14.07	15.23	14.17	14.99
369	Namakkal	11.141003	78.220108	Dug Well	SPN Nagar	1.6	2.64	0.3	0.4
370	Namakkal	11.587501	78.444945	Dug Well	T.Naickanpatti		16.83	17.15	
371	Namakkal	11.388464	77.764331	Dug Well	Tharagadu Mandavathur	10.12	0.9	1	1.17
372	Namakkal	11.378648	77.892742	Dug Well	Thiruchengodu	4.2	4.28	3.51	3.65
373	Namakkal	11.186700	78.168100	Dug Well	Thondichettipatti	15.63	12.84	8.05	7.35

Sl No	District	Latitude	Longitude	Well Type	Location	May-24	Aug-24	Nov-24	Jan-25
374	Namakkal	11.100943	78.151539	Dug Well	Thoppur (N)	5.94	4.2	2.3	1.17
375	Namakkal	11.510570	78.348616	Dug Well	Udayarpalayam dw	4.15	4.58	3.42	5.5
376	Namakkal	11.351769	77.956123	Dug Well	Unjanai	5.33	6.79	4.59	3.67
377	Namakkal	11.246106	77.836054	Dug Well	Uthandipalayam	1.91	1.73	0.75	1.04
378	Namakkal	11.287200	78.067200	Dug Well	V.G.Patti				
379	Namakkal	11.418256	78.079156	Dug Well	Vaiyappamalai	8.56	6.05	4.97	2.8
380	Namakkal	11.289400	78.068900	Dug Well	Velakaundanpatti dw				
381	Namakkal	11.119051	78.013222	Dug Well	Velur	4.59	3.82	1.9	2.47
382	Namakkal	11.514551	78.091636	Dug Well	Vennandur	4.68	3.78	2.81	2.95
383	Nilgiris	11.513868	76.277008	Dug Well	Cherambadi	3.94	2.22	2.59	3.36
384	Nilgiris	11.429522	76.866581	Dug Well	Kothagiri	4.63	16.08	15.92	
385	Nilgiris	11.365917	76.900170	Dug Well	Mullur	3.05	3.75	2.5	3.49
386	Nilgiris	11.470725	76.411570	Dug Well	Nadugani	7.74	5.22	6.47	7.42
387	Nilgiris	11.487880	76.338782	Dug Well	Pandalur	2.65	0.9	1.88	4.47
388	Nilgiris	11.465879	76.603796	Dug Well	Pykara	1.35	1.3	1.4	1.55

Sl No	District	Latitude	Longitude	Well Type	Location	May-24	Aug-24	Nov-24	Jan-25
389	Nilgiris	11.404611	76.701056	Dug Well	Udhagamandalam	0.62	0.62	0.67	0.82
390	Nilgiris	11.356583	76.783861	Dug Well	Wellington	1.49	1.74	1.54	1.64
391	Perambalur	11.213660	78.744448	Dug Well	Ammapalayam	4.54	3.95	2.85	3.23
392	Perambalur	11.134926	78.774817	Dug Well	Chettikulam DW	7.06	7.6	3.68	2.8
393	Perambalur	11.240316	78.971098	Dug Well	Chitali DW	15.47	11.15	10.81	7.76
394	Perambalur	11.232432	79.314337	Dug Well	Elaiyur	4.77	4.58	4.09	2.1
395	Perambalur	11.293099	78.831346	Dug Well	Essani dw	8.91	2.95	2.28	3.4
396	Perambalur	11.269948	79.031529	Dug Well	Kallampudur	2.11	2.24	1.9	0.73
397	Perambalur	11.235773	79.022518	Dug Well	Kunnam	6.3	6.46	4.17	2.9
398	Perambalur	11.234927	78.802609	Dug Well	Kurumbalur	3.52	3.18	3.89	1.4
399	Perambalur	11.140033	79.237555	Dug Well	Manahothi	1.36	3.05	1.5	2.1
400	Perambalur	11.348060	78.949427	Dug Well	Mangalamedu DW	11.33	11.38	9.95	5.25
401	Perambalur	11.162599	78.720102	Dug Well	Nakkaselam	6.75	7.58	3.19	2.57
402	Perambalur	11.345500	78.831792	Dug Well	Palaiyur	5.4	3.85	3.53	1.84
403	Perambalur	11.230035	78.892161	Dug Well	Perambalur2	8.79	7.31	4.09	3.03

Sl No	District	Latitude	Longitude	Well Type	Location	May-24	Aug-24	Nov-24	Jan-25
404	Perambalur	11.158463	78.936182	Dug Well	TherkuMathevi	2.15	2	0.2	0.15
405	Perambalur	11.318639	78.917113	Dug Well	Valikandapuram	7.3	10.6	4.88	4.69
406	Perambalur	11.163607	78.857483	Dug Well	Vijayagopalapuram dw	5.53	6.11	4.55	2.98
407	Pondicherry	11.800000	79.783333	Dug Well	Kattukuppam	2.18			
408	Pondicherry	11.900000	79.816667	Dug Well	M.N.Kuppam	7.3	6.6	6.63	3.7
409	Pondicherry	11.933690	79.834785	Dug Well	Pondicherry	3.16	3.33	3.07	2.77
410	Pondicherry	11.883333	79.766667	Dug Well	Reddichavadi	3.18	3.45	2.75	3.75
411	Pondicherry	11.908336	79.750633	Dug Well	Villianur	5.02	5.49		3.45
412	Pudukkottai	10.520955	78.956838	Dug Well	Adanakottai	8.13	6.35		6.19
413	Pudukkottai	10.363652	78.981807	Dug Well	Alangudi new	5.76	6.9	6.28	5.96
414	Pudukkottai	10.458150	78.702756	Dug Well	Annavasal	8.5	7		4.14
415	Pudukkottai	10.174957	78.998367	Dug Well	Arantangi	4	4.15	2.16	1.72
416	Pudukkottai	10.075451	79.042885	Dug Well	Avudaiyarkoil1	4.15	4.4	3.25	1.74
417	Pudukkottai	10.232785	78.968598	Dug Well	Erachi	4.15		2.55	2.23
418	Pudukkottai	10.572563	79.015247	Dug Well	Gandharvakottai1	4.1	2.75	0.9	0.6

Sl No	District	Latitude	Longitude	Well Type	Location	May-24	Aug-24	Nov-24	Jan-25
419	Pudukkottai	10.137281	79.222727	Dug Well	Kattumavadi new	1.4	1.25	0.98	1.27
420	Pudukkottai	10.571400	78.784211	Dug Well	Keerannur	5.43	4.95	2.55	2.55
421	Pudukkottai	10.415705	78.656819	Dug Well	Kudimianmalai1	2.75	1.55	0.65	1.55
422	Pudukkottai	10.039144	79.231081	Dug Well	Manamelkudi1	2.6	2.5	1.5	1.62
423	Pudukkottai	10.471708	78.915959	Dug Well	Mandangudi		7.9	7.6	7.16
424	Pudukkottai	9.928404	79.147430	Dug Well	Mimisal1	0.85	0.7	0.1	
425	Pudukkottai	10.151266	79.108090	Dug Well	Nakkudi1		5.9	3.35	2
426	Pudukkottai	10.474800	78.891326	Dug Well	Pokkiskarapatti	7.7	5.4	4.15	6.44
427	Pudukkottai	10.372062	78.815554	Dug Well	Pudukottai1	7.81	5.76	3.01	3.35
428	Pudukkottai	10.559085	79.059772	Dug Well	Pudupatti[east]		6	4.9	4.38
429	Pudukkottai	10.433180	78.977826	Dug Well	Sammattividuthi	1.35	1.7	1.6	1.41
430	Pudukkottai	10.242681	78.745446	Dug Well	Thirumayam2	2.33	1.5	1.05	1.16
431	Pudukkottai	10.326156	78.885581	Dug Well	Valathirakkotai		4.28	3.95	
432	Pudukkottai	10.326804	78.883744	Dug Well	Valathirakkotai new dug well (alternative)				6.97

Sl No	District	Latitude	Longitude	Well Type	Location	May-24	Aug-24	Nov-24	Jan-25
433	Pudukkottai	10.346989	78.617191	Dug Well	Vayapuri		7.4	2.65	5.35
434	Pudukkottai	10.297959	78.703020	Dug Well	Viracchilai	5.2	2.1	2.24	2.38
435	Pudukkottai	10.588060	78.534135	Dug Well	Viralimalai2	4.75	3.85	1.83	1.23
436	Ramanathapuram	9.402503	78.706473	Dug Well	Bogalur	2.5	4.05	4.32	1.81
437	Ramanathapuram	9.480856	78.897467	Dug Well	Devipattinam	1.5	1.97	1.7	1.1
438	Ramanathapuram	9.216670	78.716700	Dug Well	Erwadi	1.9	4.7	4.78	0.36
439	Ramanathapuram	9.417168	78.379695	Dug Well	Kamudhi1	12.2	12.45	11.38	9.2
440	Ramanathapuram	9.239375	78.784084	Dug Well	Kilkkarai	7	7.9	7.48	6.4
441	Ramanathapuram	9.277477	79.150114	Dug Well	Mandapam	2.8	2.9	2.67	2.45
442	Ramanathapuram	9.200446	79.380485	Dug Well	Mukundarayar chatram(Dhanushkodi)	3.4	3.5	3.4	3.5
443	Ramanathapuram	9.541670	78.537500	Dug Well	Paramakkudi			5.97	5.63
444	Ramanathapuram	9.580619	78.451495	Dug Well	PARTHIBANUR	3	3.75	4.1	1.94
445	Ramanathapuram	9.357506	78.447196	Dug Well	Peraiyur		3.8		
446	Ramanathapuram	9.339357	78.953721	Dug Well	Perungulam	2.2	3.45	2.35	1.8

Sl No	District	Latitude	Longitude	Well Type	Location	May-24	Aug-24	Nov-24	Jan-25
447	Ramanathapuram	9.638582	78.860349	Dug Well	R.S.mangalam	2.25	2.55	0.52	0.99
448	Ramanathapuram	9.369582	78.836434	Dug Well	Ramanad new	4.75	5.7	5.35	2.84
449	Ramanathapuram	9.352630	78.877435	Dug Well	Ramanathapuram2	3.5	4.45	4.2	1.18
450	Ramanathapuram	9.288626	79.320230	Dug Well	Rameswaram	1.55	1.95	1.55	1.13
451	Ramanathapuram	9.169921	78.450035	Dug Well	Sayalkudi	1.4	2.88	2.75	0.83
452	Ramanathapuram	9.248209	78.639964	Dug Well	Sikkal	1.5	3.3	2.45	0.76
453	Ramanathapuram	9.563256	78.860304	Dug Well	Solandur	1.75	2.8	2.25	0.62
454	Ramanathapuram	9.284638	79.250098	Dug Well	Thangachimadam		3.9	3.15	1.33
455	Ramanathapuram	9.830603	78.785809	Dug Well	Thiruvegamputhur	5.25	4.45	3	2.62
456	Ramanathapuram	9.736266	79.017353	Dug Well	Thondi	1.7	2.2	1.38	0.96
457	Ramanathapuram	9.291602	78.824662	Dug Well	Tirupulani	2.5	3.4	2.7	1.2
458	Ramanathapuram	9.785642	78.914854	Dug Well	Tiruvadanai1	1.86	2.21	1.38	1.48
459	Ramanathapuram	9.315449	78.738111	Dug Well	U.Kosamangai	1.8	2.9	2.75	1.4
460	Ramanathapuram	9.305385	79.024215	Dug Well	Uchipulli	1.3	2.2	1.95	0.61

Sl No	District	Latitude	Longitude	Well Type	Location	May-24	Aug-24	Nov-24	Jan-25
461	Ramanathapuram	9.440571	78.558006	Dug Well	Udaikulam	6.45	7.2	7.1	3.32
462	Ramanathapuram	9.549320	78.683085	Dug Well	Vaniya vallam (Nainarkoil}	7.95	8.2	8.25	7.38
463	Salem			Dug Well	Akkaraipalayam	4.2	4.08	2.95	4.5
464	Salem	11.525300	78.075000	Dug Well	Attayampatti Gbhss				7.95
465	Salem	11.601409	78.587715	Dug Well	Attur fire st.	8.15	6.28		5.5
466	Salem	11.669583	78.239169	Dug Well	Ayodhyapattinam	2.65	1.13	1.2	1.2
467	Salem	11.609400	78.145300	Dug Well	Dhasanaickanpatty dw	4.4	3.35	2.43	
468	Salem	11.602596	78.005389	Dug Well	Elampillai dw	1.77	5	1.8	2.8
469	Salem	11.497688	78.646135	Dug Well	Gangavalli	6.4	6.28	4.65	
470	Salem	11.459988	78.591032	Dug Well	Gudamali dw	7.9	7.65	11.45	5.45
471	Salem	11.581571	77.826572	Dug Well	Idapadi new	1.95	1.48		1.3
472	Salem	11.705600	77.872200	Dug Well	Jalakandapuram	4.33	2.03	1.83	1.98
473	Salem	11.536458	78.490295	Dug Well	Karipatti dw		14.48		18.68

Sl No	District	Latitude	Longitude	Well Type	Location	May-24	Aug-24	Nov-24	Jan-25
474	Salem	11.582200	77.861100	Dug Well	Karumbapatti	3.88	1.9		3.98
475	Salem	11.593106	78.666250	Dug Well	Kattukottai dw	4.35	1.93	3.85	2.9
476	Salem	11.570600	77.898900	Dug Well	Konganapuram dw	6.55	3.78	1.22	3.4
477	Salem	11.537500	78.145800	Dug Well	Mallur1	6	3.24	3.45	3.27
478	Salem	11.532500	78.051700	Dug Well	Mamudi	3.5	2.2	1.72	2.2
479	Salem	11.808900	77.788900	Dug Well	Masilapalayam dw	12.85	10.6	7.15	10.1
480	Salem	12.811100	79.397200	Dug Well	Mecheri	12.03	11.15	8.08	6.83
481	Salem	11.807820	77.829853	Dug Well	Mettur (Karumalikoodal)dw	1.25			
482	Salem	11.621900	78.106100	Dug Well	Naikarapatty dw	5.67	3.7	2.53	2.35
483	Salem	11.745800	78.745800	Dug Well	Omalur	6.05	5.58	4.3	4.4
484	Salem	11.650335	78.480293	Dug Well	P.Goundanpalyam	5.24			2.7
485	Salem	11.650772	78.501924	Dug Well	P.N.Palayam dw	19.8	16.72	9.3	3.95
486	Salem	11.569400	78.072200	Dug Well	Palampatti	9	6.1	4.2	4.5

Sl No	District	Latitude	Longitude	Well Type	Location	May-24	Aug-24	Nov-24	Jan-25
487	Salem	11.590300	78.193100	Dug Well	Panamarathupatti2	13.13	7.7	5.97	5.98
488	Salem	11.525600	78.050000	Dug Well	Papparapatti (S)	4.8	4.33	0.05	3.8
489	Salem	11.592617	78.109130	Dug Well	Pincheyai Kodu	10.4	6.78	4.8	9
490	Salem	11.665804	78.177221	Dug Well	Ponnammapet dw	3.35	1.65	2.1	2.25
491	Salem	11.604643	78.105839	Dug Well	Pulaveri	4.5	3.36		3.89
492	Salem	11.623716	78.780615	Dug Well	Puthur dw	16	12.27	6.8	4.6
493	Salem	11.639200	78.125000	Dug Well	S.K.Garden Nethimedi	4.27	2.98	2.15	2.94
494	Salem	11.659400	78.166400	Dug Well	Salem	2.83	2.12	2.3	2.25
495	Salem	11.666700	78.158300	Dug Well	Salem Bankhouse	6.65	3.67	4.2	4.8
496	Salem	11.477500	77.875300	Dug Well	Sankagiri (V.N.Palayam)	3.6	2.81	2.35	2.35
497	Salem	11.655349	78.338335	Dug Well	Seshanchavadi	5.71	6.43	5.75	
498	Salem	11.558300	78.091700	Dug Well	Sevantampatti	4.37	3.55	1.8	4.1
499	Salem	11.647200	78.109200	Dug Well	Sivadapuram dw		0.5		0.4

Sl No	District	Latitude	Longitude	Well Type	Location	May-24	Aug-24	Nov-24	Jan-25
500	Salem	11.585936	78.753469	Dug Well	Thalaivasal1	7.33	5.28	4.48	3.2
501	Salem	11.590359	78.555999	Dug Well	Thandavarayapuram dw	16.6	14.65	12.75	12.05
502	Salem	11.866700	78.087500	Dug Well	Tivettipatti	8.33	5.2	3.6	2.6
503	Salem	11.656278	78.396350	Dug Well	Valappadi			7.85	4.5
504	Salem	11.652800	78.081900	Dug Well	Vedukathampatty dw	9.77	8.15	13.85	7.65
505	Salem	11.475389	78.736113	Dug Well	Veeraganur dw	10			7.2
506	Salem	11.573757	78.072791	Dug Well	Veerapandi dw	7.73	10.75	4.6	4.25
507	Salem	11.514700	78.091700	Dug Well	Venandur	10.23	8.22	6.3	5.5
508	Salem	11.534243	78.755876	Dug Well	Veppampoondi	18.18	6.25	2.05	7.25
509	Salem	11.783300	78.211100	Dug Well	Yercaud	2.42	1.59		1.9
510	Sivaganga	9.914384	78.650236	Dug Well	Attikaadu	5.35	4.2	3.48	2.75
511	Sivaganga	10.162841	78.775507	Dug Well	Chettinadu	4.45	2.8	1.57	2.28
512	Sivaganga	9.961370	78.808532	Dug Well	Devakottai1	6.85	7.45	3.35	6.08
513	Sivaganga	9.846994	78.634410	Dug Well	Kalayarkoil	6.05	5.7	2.7	2.45
514	Sivaganga	9.985695	78.666786	Dug Well	Kallal1	2.4	1.82	0.65	1.47

Sl No	District	Latitude	Longitude	Well Type	Location	May-24	Aug-24	Nov-24	Jan-25
515	Sivaganga	10.147810	78.550297	Dug Well	Manakudi	4.2	3.13	0.9	2.11
516	Sivaganga	9.694406	78.451474	Dug Well	Manamadurai	3.35	3.55	2.4	3.13
517	Sivaganga	9.865418	78.538376	Dug Well	Nattarasankottai	1.72	1.65	0.3	0.53
518	Sivaganga	10.109267	78.824414	Dug Well	Puduvoyal	8.47	8.35	4.1	3.7
519	Sivaganga	10.183058	78.432788	Dug Well	Singampuneri	6.25	7	4.85	4.58
520	Sivaganga	9.852689	78.498533	Dug Well	Sivaganga1	7.6	6.4	0.98	2.77
521	Thanjavur	10.551037	79.424078	Dug Well	Aavikottai	2.75	2.5	0.66	1.35
522	Thanjavur	10.659430	79.161026	Dug Well	Icchankottai1	5.25	5.49	4.39	4.89
523	Thanjavur	10.958540	79.378796	Dug Well	Kumbakonam1	5.63	6.1	6.08	4
524	Thanjavur	11.138018	79.450693	Dug Well	Lower Anaicut	5.17	2.46	1.92	2.1
525	Thanjavur	10.714675	79.205165	Dug Well	Madigai	0.58	1.57	0.47	0.68
526	Thanjavur	10.734562	79.100377	Dug Well	Melvastrachavdi	16.55	8.16		
527	Thanjavur	11.037080	79.511337	Dug Well	Narsinganpettai	4.1	4.09	1.64	1.66
528	Thanjavur	10.918983	79.240887	Dug Well	Papanasam		3.9	0.9	1.09
529	Thanjavur	10.431406	79.307941	Dug Well	Pattukottai1	4.45	5.5	2.45	
530	Thanjavur	10.855508	78.947522	Dug Well	Puduchataram	3.7	2.27	1.98	2.18

Sl No	District	Latitude	Longitude	Well Type	Location	May-24	Aug-24	Nov-24	Jan-25
531	Thanjavur	10.782495	79.210235	Dug Well	Pulavarnatham	0.75	0.61	0.75	1.1
532	Thanjavur	10.786057	78.980312	Dug Well	T Budalur	5.4	5.25	2.07	0.82
533	Thanjavur	10.795185	79.134607	Dug Well	Thanjavur	5.05	4.98	3.68	3.88
534	Thanjavur	10.734331	78.871465	Dug Well	Thiruvilapatti	4.85	5.55	4.83	1.83
535	Thanjavur	10.878216	79.035674	Dug Well	Vaduvakudi	2.82	1.99	1.79	1.92
536	Thanjavur	10.718444	79.062162	Dug Well	Vallam	5.43	4.63		
537	Theni	9.998710	77.622425	Dug Well	Andipatti2	4.05	4.4	2.29	2.43
538	Theni	10.017036	77.352064	Dug Well	Bodinaickanur dw	2.7	2.85	2.52	3.8
539	Theni	9.729200	77.277900	Dug Well	Cumbum	6.67	6.45	6.15	5.4
540	Theni	10.146248	77.642343	Dug Well	Devadanapatti	1.85	3.27		0.43
541	Theni	9.918912	77.522063	Dug Well	Gandamanur	3.23	5.25	3.38	4.12
542	Theni	9.677200	77.240300	Dug Well	Gudalur2	11.2	10.69	11.53	10.92
543	Theni	9.993973	77.429534	Dug Well	Kodangipatti	1.46	1.02	0.22	0.46
544	Theni	9.781557	77.514493	Dug Well	Myladumparai dw	4.92	5.1	5.05	4.65
545	Theni	10.131642	77.550784	Dug Well	Periyakulam	3.05	5.32	3.87	4.35

Sl No	District	Latitude	Longitude	Well Type	Location	May-24	Aug-24	Nov-24	Jan-25
546	Theni	10.038627	77.488073	Dug Well	Theni2	14.35	11.05	3.25	2.68
547	Theni	9.804800	77.328700	Dug Well	Uttamapalayam	2.55	2.78	2.96	3
548	Theni	10.109451	77.570110	Dug Well	Vadugapatti dw	5.99	5.7	7.25	5.73
549	Theni	9.964104	77.431515	Dug Well	Veerapandi	5.1	4	4.7	5.38
550	Thiruvannamalai	12.257185	78.657357	Dug Well	Anandavadi	8	4.16	6.04	3.09
551	Thiruvannamalai	12.672502	79.285888	Dug Well	Arani	3.81		2.95	3.1
552	Thiruvannamalai	12.338794	79.240621	Dug Well	Avalurpet-A (Villupuram dt)	4.2	2.1	1.35	
553	Thiruvannamalai	12.539836	79.152380	Dug Well	Bagmarpet	8.6	4.08	5.08	4.23
554	Thiruvannamalai	12.301610	78.791163	Dug Well	Chengam	7.16	6.88	5.76	5.06
555	Thiruvannamalai	12.461786	79.350581	Dug Well	Chetpet1	6.41	5.17	4.95	1.4
556	Thiruvannamalai	12.666011	79.540850	Dug Well	Cheyyar2	3.94	1.54	1.84	1.84
557	Thiruvannamalai	12.769721	79.412093	Dug Well	Kalavai(Vellore)	10.93		2.98	3.68
558	Thiruvannamalai	10.454982	79.097783	Dug Well	Kolppalur		1.3	1.9	1
559	Thiruvannamalai			Dug Well	Kolppalur	3.16			
560	Thiruvannamalai	12.591700	79.625000	Dug Well	Melmakotturoad	3.8	1.12	1.17	0.12

Sl No	District	Latitude	Longitude	Well Type	Location	May-24	Aug-24	Nov-24	Jan-25
561	Thiruvannamalai	12.502091	79.225466	Dug Well	Modiaylur	16.18	7.7	7.65	7.25
562	Thiruvannamalai	12.443974	79.056615	Dug Well	Netchatramalai	8.03	5.82	4.5	2.98
563	Thiruvannamalai	12.269113	78.943633	Dug Well	Pachal	8.25		1.92	1.12
564	Thiruvannamalai	12.658556	79.115149	Dug Well	Padaveedu	7.97	9.05	6.4	7.8
565	Thiruvannamalai	12.488547	79.124730	Dug Well	Polur	8.67	6.8	5.7	5.85
566	Thiruvannamalai	12.209689	78.888045	Dug Well	Sathanur	6.9	2.1	3.2	1.9
567	Thiruvannamalai	12.155587	78.943280	Dug Well	Thandarampattu		4.96	6.23	6.01
568	Thiruvannamalai	12.108541	78.835525	Dug Well	Thanipadi	6.22	4.65	4.65	2.45
569	Thiruvannamalai	12.819519	79.308771	Dug Well	Timiri1(Vellore dt)		7.22		
570	Thiruvannamalai	12.238492	79.072372	Dug Well	Tiruvannamalai1	6.67	4.7	1.7	3.15
571	Thiruvannamalai	12.503291	79.616244	Dug Well	Vandavasi2	4.56	3.09	3.47	1.72
572	Thiruvannamalai	12.509655	79.146966	Dug Well	Venmani	3.08	1.2	1.4	1.8
573	Tirunelveli	8.761329	77.643456	Dug Well	Abishekapatti	3.45	4.55	4.52	1.7
574	Tirunelveli	8.869926	77.486132	Dug Well	Alangulam1	13.4	12.99	12.03	2.03
575	Tirunelveli	8.784084	77.398607	Dug Well	Alwarkurichi	2.69	3.09	2.98	1.41

Sl No	District	Latitude	Longitude	Well Type	Location	May-24	Aug-24	Nov-24	Jan-25
576	Tirunelveli	8.706716	77.456345	Dug Well	Ambasamudram1	0.8	0.7	0.71	0.7
577	Tirunelveli	9.187641	77.403405	Dug Well	Chintamani	1.2	1.55	1.7	0.9
578	Tirunelveli	8.685800	77.725689	Dug Well	Govt.Eng College urban-1		3.35	3.66	1.21
579	Tirunelveli	8.760753	77.464253	Dug Well	Idaikkal	1.26	2.03	2.37	1.17
580	Tirunelveli	9.070152	77.346624	Dug Well	Kadayanallur1	5.59	8.15	10.9	4.9
581	Tirunelveli	8.511722	77.558597	Dug Well	Kalakkadu	3.51	3.24	3.58	2.85
582	Tirunelveli	8.315124	77.932185	Dug Well	Kuttam	1.45	2.7	3.16	3.1
583	Tirunelveli	8.726670	77.671900	Dug Well	Laldesa plaaivasal		0.22		
584	Tirunelveli	8.855772	77.653576	Dug Well	Manur1	0.35		0.44	0.64
585	Tirunelveli	8.738116	77.669437	Dug Well	Merjara Pallivasal urban-6	3.3	4.5	2.22	2
586	Tirunelveli	9.183412	77.447454	Dug Well	Mullikulam	6.22	7.07	7.8	4.58
587	Tirunelveli	9.241747	77.733383	Dug Well	Naduvapatty	2.88	4.8	10.13	6.48
588	Tirunelveli	8.469346	77.977041	Dug Well	Nangaimozhi	4.25	7.63	6.48	4.53
589	Tirunelveli	8.497153	77.646150	Dug Well	Nanguneri2	3.15	4.85	5.98	3.17

Sl No	District	Latitude	Longitude	Well Type	Location	May-24	Aug-24	Nov-24	Jan-25
590	Tirunelveli	8.728810	77.688960	Dug Well	Nelliappar temple,urban-5	2.83	2.77	2.49	1.87
591	Tirunelveli	8.691636	77.738693	Dug Well	Ngo A Colony dw	3.7	6.5	6.14	1.9
592	Tirunelveli	9.051773	77.611250	Dug Well	P.chatram	3.1	5.5	4.14	1.86
593	Tirunelveli	8.718328	77.733771	Dug Well	Palayamkottai	3.7	3.8	3.18	2.3
594	Tirunelveli	8.714307	77.364947	Dug Well	Papanasam1	4.16	3.69	3.57	2.97
595	Tirunelveli	8.599514	77.563342	Dug Well	Poothatan Kudieruppu dw	6.15	5.78	8.48	2.79
596	Tirunelveli	8.927181	77.354617	Dug Well	R.Pattinam	2.75	4.6	5.03	1.84
597	Tirunelveli	8.259504	77.685014	Dug Well	Radhapuram1	6.67	8.39	10.98	11.55
598	Tirunelveli	9.184866	77.535013	Dug Well	Sankarankoil2	1.6	4.37	2.6	1.72
599	Tirunelveli	8.975653	77.249607	Dug Well	Sencottai	4.95	4.02	2.9	2.61
600	Tirunelveli	9.352023	77.441715	Dug Well	Sivagiri				
601	Tirunelveli	8.699212	77.714598	Dug Well	Syed Beedi Company urban-2	1.45	1.55		0.93

Sl No	District	Latitude	Longitude	Well Type	Location	May-24	Aug-24	Nov-24	Jan-25
602	Tirunelveli	8.747818	77.699074	Dug Well	Tachchnallur		2.9	1.64	1.5
603	Tirunelveli	8.879302	77.345348	Dug Well	Thiraviyarnagar		3.66	7.5	0.79
604	Tirunelveli	8.286216	77.893237	Dug Well	Uvari	7.07	9.3	7.87	7.76
605	Tirunelveli	8.381734	77.609137	Dug Well	Valliyoor	6.55	7.75	8.67	4.93
606	Tirunelveli	8.995204	77.624439	Dug Well	Vannikonendal	3.84	6.9	8.73	4.59
607	Tirunelveli	9.245941	77.409011	Dug Well	Vasudevanallur2	4.44	6.1	7.7	4.28
608	Tiruppur	11.115613	77.385698	Dug Well	Kasipalayam (T)		6.4	4.48	6.3
609	Tiruppur	11.058165	77.387736	Dug Well	Kovilvazhi I	5.9	7	3.1	2.6
610	Tiruppur	11.059042	77.387850	Dug Well	Kovilvazhi IV	4.15	5.55	2.5	1.65
611	Tiruppur	11.085457	77.443820	Dug Well	Nachipalayam	6.93	4.91	5.57	5.8
612	Tiruppur	11.111764	77.334358	Dug Well	Odakadu	6.2	4.8	3.3	4.4
613	Tiruppur	11.119087	77.339940	Dug Well	P.N.Road	3.31	2.9	3.65	3.77
614	Tiruppur	11.124342	77.415700	Dug Well	Tiruppur Agraharam	11.14	9.6	5.45	7
615	Tiruppur	11.091900	77.347295	Dug Well	Tiruppur1		5.95	4.55	5.7
616	Tiruppur	11.088198	77.343097	Dug Well	Weekly Market	2.8	2.77	1.92	2.47

Sl No	District	Latitude	Longitude	Well Type	Location	May-24	Aug-24	Nov-24	Jan-25
617	Tiruvallur	13.206224	80.114942	Dug Well	Alamatti periurban	2.65	1.65	0.5	1.1
618	Tiruvallur	13.077811	80.025967	Dug Well	Andersonpet	2.4	1.35	0.5	2.85
619	Tiruvallur	13.110385	80.121203	Dug Well	Annur Shankarnagar periurban	4.95	8.65	7.35	3.45
620	Tiruvallur	13.086090	79.685097	Dug Well	Arakkonam(Vellore)	5.3	1.8	1.1	1.7
621	Tiruvallur	13.328742	80.076595	Dug Well	Arani(kasavanpettai) sw	3.7	3	0.5	0.9
622	Tiruvallur	13.260881	80.286169	Dug Well	Attipattu	1.17	0.7	0.85	1.05
623	Tiruvallur	13.120352	80.136387	Dug Well	Chozambedu periurban			3.35	0.35
624	Tiruvallur	13.464839	80.112088	Dug Well	Elavur sw	4	1.9	3.7	1.2
625	Tiruvallur	13.227621	80.325533	Dug Well	Ennur Talaikuppam periurban	3.17	2.3	2.2	2.1
626	Tiruvallur	13.415482	80.129959	Dug Well	Gummidipoondi	4.8	5.2	4.4	4.4

Sl No	District	Latitude	Longitude	Well Type	Location	May-24	Aug-24	Nov-24	Jan-25
627	Tiruvallur	13.379197	80.292356	Dug Well	Kadapakkam sw	2.7	2.6	2	1.5
628	Tiruvallur	13.135649	80.175982	Dug Well	Kallikuppam periurban	2.75	5	2.75	1.75
629	Tiruvallur	13.206447	79.754271	Dug Well	Kanakammachatrm	3.7	2.05	1.8	1
630	Tiruvallur	13.179066	8.064266	Dug Well	Kathavur periurban	5.2	4.2	2.2	3.2
631	Tiruvallur	13.145080	80.104235	Dug Well	Kovilpathagai periurban	4.14	1.7	0.3	0.3
632	Tiruvallur			Dug Well	Madambakkam Periurban		1.5	1.65	1.65
633	Tiruvallur	13.029202	80.079680	Dug Well	Mepperu periurban	2.5	1.45	1.8	0.75
634	Tiruvallur	13.066700	79.966700	Dug Well	Mettukandigai	3.95	1.65		1.45
635	Tiruvallur	13.271350	80.263302	Dug Well	Minjur dw	2.56	1.06	2.06	1.26
636	Tiruvallur	13.271350	80.278042	Dug Well	Nandiambakkam	1.15	2.18		
637	Tiruvallur	13.204546	80.175012	Dug Well	Padiyanallur	11.05	2.57	1.12	1.37

Sl No	District	Latitude	Longitude	Well Type	Location	May-24	Aug-24	Nov-24	Jan-25
638	Tiruvallur	13.316899	79.962554	Dug Well	Palavakkam (T)			0.15	0.15
639	Tiruvallur	13.029516	80.037297	Dug Well	Papanchatram periurban	2.2	1.5	1.6	1.15
640	Tiruvallur	13.119893	80.070201	Dug Well	Pattabiram periurban	11.86	9.85	7.65	1.35
641	Tiruvallur	13.151633	79.830533	Dug Well	Pattarperumpudr	1.58	1.58	1.68	0.78
642	Tiruvallur	13.308395	80.046440	Dug Well	Periyapalyam	4.9	2.5	3	2.8
643	Tiruvallur	13.322459	80.183650	Dug Well	Ponneri dw	5.21	5.01	3.93	3.61
644	Tiruvallur	13.157059	80.204681	Dug Well	Pulal New	5.07	3.77	1.97	3.47
645	Tiruvallur	13.416486	80.313736	Dug Well	Pulicat(Pazhaverkadu) sw		1.7	0.5	1
646	Tiruvallur			Dug Well	Rajakeezhpakkam Periurban		5.65	6	3.8
647	Tiruvallur	13.188503	80.188103	Dug Well	Redhills periurban	3.64	3.29	2.24	1.99
648	Tiruvallur	13.325747	80.297687	Dug Well	Sangaibedu sw	3.2	1.75		0.35

Sl No	District	Latitude	Longitude	Well Type	Location	May-24	Aug-24	Nov-24	Jan-25
649	Tiruvallur	13.231023	80.168019	Dug Well	Sholavaram periurban	4.3	3.45	0.7	0.9
650	Tiruvallur	13.058800	80.052501	Dug Well	Tirumazhisai	4.11	4.21	3.61	2.21
651	Tiruvallur			Dug Well	Tiruninravur periurban		1.22	0.82	0.92
652	Tiruvallur	13.402710	80.248769	Dug Well	Tirupalavanam sw	0.7	0.8	0.3	0.5
653	Tiruvallur	13.180914	79.612024	Dug Well	Tiruttani	4.17	0.95	1.05	0.75
654	Tiruvallur	13.131206	79.779483	Dug Well	Tiruvalangadu	5.13	1.78	2.38	1.28
655	Tiruvallur	13.135476	79.908900	Dug Well	Tiruvallur	6.2	4.6	3.1	2.9
656	Tiruvallur	13.331762	80.279093	Dug Well	Tiruvellavoyal sw	2.2	3.05	0.5	0.4
657	Tiruvallur	13.336239	79.908604	Dug Well	Uthukottai1		2.76	4.06	3.11
658	Tiruvallur	13.183536	80.089773	Dug Well	Veerapuram periurban	9.7	8.4	6.3	0.7
659	Tiruvallur	13.077565	80.110980	Dug Well	Veeraraghapuram periurban	3.25	2.35	1.25	1.05

Sl No	District	Latitude	Longitude	Well Type	Location	May-24	Aug-24	Nov-24	Jan-25
660	Tiruvallur	13.158082	80.102066	Dug Well	Vellanur periurban	3.9	2.95	0.9	
661	Tiruvallur	13.248412	80.016393	Dug Well	Vengal sw	4.9	2.8	1.7	0.8
662	Tiruvallur	13.309207	80.274900	Dug Well	Voyalur sw		3.4	1.15	1.35
663	Tiruvarur			Dug Well	Allankottai		3.49	0.17	0.48
664	Tiruvarur	10.683300	79.466700	Dug Well	Mannargudi	1.79	2.13	0.8	0.83
665	Tiruvarur	10.887500	79.600000	Dug Well	Nannilam	4.6	3.3		
666	Tiruvarur	10.745800	79.470800	Dug Well	Needamangalam	4.33	4.93	3	3.35
667	Tiruvarur	10.720800	79.641700	Dug Well	Pangal	3.03	3.52	1.28	1.56
668	Tiruvarur	10.960600	79.573300	Dug Well	Peralam	2.83	1.89	0.44	0.58
669	Tiruvarur	10.370800	79.591700	Dug Well	Thillaivilagam	2.1	2.51	1.64	1.8
670	Trichy	10.876900	78.797800	Dug Well	Aangarai	4.6	3.75	1.96	1.9
671	Trichy			Dug Well	Amur			3.32	2.54
672	Trichy	10.741700	78.583300	Dug Well	Chattrapatti Periyanayakachatram	7.52	9.99	16.45	14.32

Sl No	District	Latitude	Longitude	Well Type	Location	May-24	Aug-24	Nov-24	Jan-25
673	Trichy	10.457500	78.378300	Dug Well	Chinnagoudanpatti	11.45	10.57	9.74	6.12
674	Trichy	10.779200	78.688900	Dug Well	Kajamalai				
675	Trichy	11.072200	78.550000	Dug Well	Kannanurpalayam	13.75	10.26	9.41	2.41
676	Trichy	10.804700	78.743900	Dug Well	Kattur	0.8	0.7	0.44	0.25
677	Trichy	10.869200	78.690600	Dug Well	Kollidam Karai	5.7	4.12	5	4.96
678	Trichy	11.300800	78.497200	Dug Well	Koppampatti	18.1	12.56	8.05	5.53
679	Trichy	10.550000	78.300000	Dug Well	Kovilpatty	6.82		3.16	
680	Trichy	10.759700	78.682200	Dug Well	Lic Colony Kk Nagar	5.1	2.2		1.28
681	Trichy	10.614400	78.425300	Dug Well	Manaparai	5.04	0.46	0.04	0.9
682	Trichy	10.614700	78.425600	Dug Well	Manaparai II	6.45	2.2	1.3	1.24
683	Trichy	10.386400	78.362200	Dug Well	Manjampatti	14.2	12.7	5.74	16.82
684	Trichy	10.800300	78.696700	Dug Well	Mudaliarchatram	4.38	3.98	2.6	1.37
685	Trichy	10.958300	78.450000	Dug Well	Musiri2	3.7	2.04	1.33	0.83
686	Trichy	10.638100	78.446700	Dug Well	Muthupandiyanpatti	15.8	13.78	4.06	7.65

Sl No	District	Latitude	Longitude	Well Type	Location	May-24	Aug-24	Nov-24	Jan-25
687	Trichy	10.836700	78.699200	Dug Well	Oodathurai Odakarai	6.44	5.09	4.02	4.98
688	Trichy	11.210800	78.550000	Dug Well	Ookaeri	12.85	5.6	4.35	4.19
689	Trichy	10.986700	78.654200	Dug Well	Peramangalam	12.43		9.18	4.78
690	Trichy			Dug Well	Peruvalappur	16.22		13.77	9.26
691	Trichy	11.016700	78.637500	Dug Well	Pulivalam	5.38	4.7	2.93	1.43
692	Trichy	10.941700	78.912500	Dug Well	Pullambadi1	4.58	3.95	2.6	1.24
693	Trichy	10.814700	78.679400	Dug Well	Puttur-Thennur	4.05	4.1	2.85	2.8
694	Trichy	10.845800	78.748600	Dug Well	Samayapuram	4	3.62	2.85	2.44
695	Trichy	10.745000	78.711700	Dug Well	Sembattu	4.53	3.7	0.83	0.97
696	Trichy	10.901400	78.603900	Dug Well	Sirukambur	5.1	4.03	2.6	2.02
697	Trichy	10.855800	78.686700	Dug Well	Srirangam	3.56	2.52	2.38	2.6
698	Trichy	10.995800	78.530600	Dug Well	Thandalaipudur	2.43	1.66	1.18	0.76
699	Trichy			Dug Well	Thatchankurichi	6.64	7.03	5.48	1.2
700	Trichy	11.120800	78.454200	Dug Well	Thathayangarpet	18.3	14.24	13.15	10.3
701	Trichy	10.956900	78.667500	Dug Well	Thiruvallarai	7.66	5.63	5.98	5.18

Sl No	District	Latitude	Longitude	Well Type	Location	May-24	Aug-24	Nov-24	Jan-25
702	Trichy	10.852800	78.706400	Dug Well	Thiruvanai Koil	5.4	4.63		2.58
703	Trichy	10.991700	78.329200	Dug Well	Thottiyam	9.94	6.02	7.82	5.08
704	Trichy	11.150000	78.600000	Dug Well	Thuraiyur	10.3	10.42	7.84	3.42
705	Trichy	10.750000	78.825000	Dug Well	Thuvakkudi	4.24	5.13	2.2	0.32
706	Trichy			Dug Well	Thuvarankurichi	5.35	4.71		0.91
707	Trichy	10.791700	78.712500	Dug Well	Tiruchchirappalli1	4.15	3.8	2.17	1.79
708	Trichy	10.852800	78.706400	Dug Well	Tiruvanaikovil			3.12	
709	Trichy	10.890600	78.531700	Dug Well	Tiruvasi	4.7	2.32	1.28	1.2
710	Trichy	11.030600	78.432800	Dug Well	Tumbalam	10.86	9.18	6.43	4.86
711	Trichy	10.358300	78.372200	Dug Well	Tuvarankuruchi			0.9	
712	Trichy	11.262200	78.516700	Dug Well	Uppiliyapuram	9.71	7.47	5.29	4.85
713	Trichy	10.550000	78.300000	Dug Well	Vaiyampatty	5.53	4.03	1.55	1.8
714	Trichy	10.872800	77.764700	Dug Well	Valadi	5.48	6.28		
715	Trichy	10.912500	78.723300	Dug Well	Vengankudi	2.75	0.83	0.25	0.55
716	Tuticorin	8.736440	77.920191	Dug Well	Devachayalpuram	5.73	6	3.47	3.46

Sl No	District	Latitude	Longitude	Well Type	Location	May-24	Aug-24	Nov-24	Jan-25
717	Tuticorin	9.020729	78.050103	Dug Well	Eppodumvendram	2.62	3.95	3.73	
718	Tuticorin	9.143497	77.773648	Dug Well	Kallurani dw	3.75	5.58	6.56	2.64
719	Tuticorin	9.151462	77.701962	Dug Well	Kalugumalai	1.03	3.18	1.99	0.36
720	Tuticorin	9.171425	78.157116	Dug Well	Karisalkulam	4.6	4.68	4.69	3.19
721	Tuticorin	9.172561	77.871799	Dug Well	Kovilpatti	1.67	2.03	1.34	0.96
722	Tuticorin	8.400968	78.052762	Dug Well	Kulasekharaptnm	2.61	3.22	3.3	2.96
723	Tuticorin	8.931869	78.087477	Dug Well	Kurukkuchalai	4.25	5.35	5.7	4.43
724	Tuticorin	8.863437	77.894985	Dug Well	Maniyachi1	4.14	11.37	9.59	3.14
725	Tuticorin	8.993041	78.196054	Dug Well	Mettupanaiyur dw	5.2	6.9	6.6	5.14
726	Tuticorin	8.632339	78.070209	Dug Well	Mukkani dw	1.34	1.27	0.87	0.88
727	Tuticorin	8.899988	78.025560	Dug Well	Muppilipatti dw	1.83	2.58	1.9	0.66
728	Tuticorin	9.233100	78.138665	Dug Well	Nagalapuram	1.85	2.15	2.05	1.09
729	Tuticorin	9.232391	77.772870	Dug Well	Nakkalamuthanpatty	3.75	4.45	4.57	3.5
730	Tuticorin	8.564223	77.964259	Dug Well	Nazareth	3.3	6.95	7.58	1.99

Sl No	District	Latitude	Longitude	Well Type	Location	May-24	Aug-24	Nov-24	Jan-25
731	Tuticorin	8.638918	77.997698	Dug Well	Perunkulam	0.94	1.7	1.22	2.08
732	Tuticorin	8.665591	77.825889	Dug Well	Saidunganallur	4.15	4.4	4.53	2.4
733	Tuticorin	8.446622	77.912837	Dug Well	Sathankulam-n	5.06	7.8	9.6	6.3
734	Tuticorin	8.627612	77.906351	Dug Well	Srivaikundam1	3.33	3.45	3.47	2.72
735	Tuticorin	8.495354	78.121502	Dug Well	Tiruchendur-e	5.13	5.9	5.4	4.96
736	Tuticorin	8.494123	78.115925	Dug Well	Tiruchendur-w	1.62	1.95	2.05	0.83
737	Tuticorin	8.823393	78.127325	Dug Well	Tuticorin1	0.6	1.25	0.8	0.43
738	Tuticorin	8.435283	78.029858	Dug Well	Udangudi dw	5.15	6.32	6.85	6.44
739	Tuticorin	9.323041	78.084650	Dug Well	Vembur	1.58	2.1		3.1
740	Vellore	12.913457	79.085743	Dug Well	Abdullapuram dw	3.9	2.5	1.97	1.35
741	Vellore	12.624423	78.752901	Dug Well	Alangayam	5.65	5.3	4.31	2.99
742	Vellore	12.754243	78.697328	Dug Well	Alankuppam	4.85	4.74	4.1	2.88
743	Vellore	12.785258	78.706724	Dug Well	Ambur DW	5.31	4.64	4.81	4.41
744	Vellore	12.901855	79.322851	Dug Well	Arcot2	3.65	2.89		0.93
745	Vellore	13.014918	79.489135	Dug Well	Banavaram1	6.4	3.1		1.65

Sl No	District	Latitude	Longitude	Well Type	Location	May-24	Aug-24	Nov-24	Jan-25
746	Vellore	12.461019	78.623297	Dug Well	Bommikuppam dw	5.3	1.53	1.15	0.85
747	Vellore	12.635103	78.604110	Dug Well	Chinnakallupalli	5.3	2.4	1.35	0.98
748	Vellore	12.545911	78.576232	Dug Well	Indranagar	6.85	4.73	3.65	2.52
749	Vellore	12.601827	78.886490	Dug Well	Jamunamarattur (TV'Malai)	6.75	4.68	4	5.45
750	Vellore	12.483586	78.534249	Dug Well	Kasinayakanpatty	5.3	2.82	1.47	1.67
751	Vellore	12.959180	79.137059	Dug Well	Katpadi	5.43		2.4	2.35
752	Vellore	12.577415	78.812092	Dug Well	Kavalur	13	12.52	10.7	9.5
753	Vellore	12.852805	79.109612	Dug Well	Kesavapuram	4.7	7.44		1.85
754	Vellore	12.988594	79.302881	Dug Well	Lalpet	6.9	3.7	3.4	
755	Vellore	12.864230	78.709333	Dug Well	Machampattu	13.98	10.88	10.13	9.88
756	Vellore	12.493800	78.611300	Dug Well	Madavalam	9.4	7.8	7.67	6.25
757	Vellore	12.899297	79.047904	Dug Well	Minal Nagar		3.45	2.25	0.55
758	Vellore	12.944431	78.844165	Dug Well	Nellurpettai dw	4.83	5.56	4.43	3.65
759	Vellore	12.772439	78.878676	Dug Well	Odugathur	6.1	11.95	10.3	10.3

Sl No	District	Latitude	Longitude	Well Type	Location	May-24	Aug-24	Nov-24	Jan-25
760	Vellore	12.854482	78.862572	Dug Well	Palur dw	9.7	7.58	5.25	3.45
761	Vellore	12.456795	78.586678	Dug Well	Pasalikuttai dw	4.14	1.1	1.4	1.2
762	Vellore	12.658182	78.767213	Dug Well	Peddur dw	4.35	4.05	3.7	3.48
763	Vellore	12.379091	78.587845	Dug Well	Perambattu	12.87	9.22	6.9	5.15
764	Vellore	12.943054	78.723401	Dug Well	Pernampet	2.99	2.73		2.49
765	Vellore	12.930050	79.339223	Dug Well	Ranipet1	2.95	1.15	1.7	1.35
766	Vellore	12.718751	78.662037	Dug Well	Sangilikuppam	8.67	7.8	6.7	6.45
767	Vellore	12.957507	78.910381	Dug Well	Sennarayanapalle		3.34	3	2.66
768	Vellore	13.102771	79.429346	Dug Well	Sholingar1	3.82		0.78	
769	Vellore	12.862006	78.835025	Dug Well	Thottalam	7.6	6.7	6.25	6.1
770	Vellore	12.682460	78.625873	Dug Well	Vaniyambadi1	2.32	1.82	1.75	1.8
771	Vellore	12.651400	78.693953	Dug Well	Vellakottai	3.9	3.2	2.55	1.83
772	Vellore	12.948535	79.139434	Dug Well	Vellore(Melmonavur)	4.5	3	2.4	2
773	Vellore	12.957009	78.995489	Dug Well	Veppaneri	9.04	8.19		2.54
774	Villupuram	11.799549	78.946858	Dug Well	Alathur	4.8	5.04	3.84	3.2

Sl No	District	Latitude	Longitude	Well Type	Location	May-24	Aug-24	Nov-24	Jan-25
775	Villupuram	12.247333	79.339875	Dug Well	Allampundi	3.66	2.15	1.64	1.17
776	Villupuram	11.974245	79.225606	Dug Well	Arakandanallur	1.5	1.17	0.96	1.2
777	Villupuram	11.625717	79.191763	Dug Well	Asanur	4.81	4.54	3.34	1.5
778	Villupuram	11.637626	78.881673	Dug Well	Chinnasalem1	3.1	3.82	3.02	0.74
779	Villupuram	11.715497	78.880881	Dug Well	Eliyathur new	10.32	9.7	4.87	2.86
780	Villupuram	12.252027	79.425936	Dug Well	Gingee2	4.75	4.04	4.14	4.6
781	Villupuram	12.228373	79.570184	Dug Well	Gopalapuram dw	12.15	4.22	4.09	3.95
782	Villupuram	11.680574	78.919197	Dug Well	Indili dw	9.4	1.5	5.75	2.76
783	Villupuram	11.764420	78.867827	Dug Well	Kacharapalayam	6.6	6.38	4.63	3.4
784	Villupuram	11.738944	78.962089	Dug Well	Kallakurichi2	7.9	7.7	4.2	2.85
785	Villupuram	12.104037	79.746139	Dug Well	Kiliyanur	1.38	0.54	0.19	
786	Villupuram	12.175780	79.597264	Dug Well	Kodima dw	4.5	2.78	1.71	1.7
787	Villupuram	11.938300	78.886100	Dug Well	Mamandur		5.8		
788	Villupuram	11.957917	79.370937	Dug Well	Mambazhapattu	4.08	4.49	4.15	2.7
789	Villupuram	12.094376	79.892903	Dug Well	Marakkanam	5.47	5.26	5.3	0.85

Sl No	District	Latitude	Longitude	Well Type	Location	May-24	Aug-24	Nov-24	Jan-25
790	Villupuram	12.250180	79.570152	Dug Well	Melporadikuppam dw	4.77	1.55	1.21	1.87
791	Villupuram	11.978956	79.300852	Dug Well	Mogaiyur	3.99	2.88	2.7	1.63
792	Villupuram	12.134404	79.760189	Dug Well	Nallavurpudur dw	6.67	3.39	2	3.05
793	Villupuram	12.309574	79.793253	Dug Well	Ollakkur	3.25	3.47	1.6	
794	Villupuram	11.718608	79.178747	Dug Well	Pidagam	5.52	5.88	3.55	2.95
795	Villupuram	11.945800	79.137800	Dug Well	Rajampalayam dw	10.35	9.4	7.87	6.33
796	Villupuram	11.813098	79.094719	Dug Well	Rishivandiyam	6.12	6.4	6.25	1.66
797	Villupuram	11.998842	79.165948	Dug Well	Sadaikattuattipattu dw	9.9	8	7.35	0.85
798	Villupuram	12.251164	79.672536	Dug Well	Salavathi	2.3	2.24	2.74	1.5
799	Villupuram	11.886856	78.914750	Dug Well	Sankarapuram	4.3	3.85	2.08	2.85
800	Villupuram			Dug Well	Sheik hussain pet		6.2	3.33	
801	Villupuram			Dug Well	Sheik Hussain pet	6.13			
802	Villupuram	12.204745	79.843937	Dug Well	Siruvadi dw	4.42	2.9		2.47

Sl No	District	Latitude	Longitude	Well Type	Location	May-24	Aug-24	Nov-24	Jan-25
803	Villupuram	12.191978	79.626016	Dug Well	Thenpasar	4.27	1.98		1.8
804	Villupuram	11.991700	79.783300	Dug Well	Tiruchidrambalam	5.46	3.18	2.81	0.21
805	Villupuram	11.958300	79.216700	Dug Well	Tirukkoilur1	7.11	1.7	1.15	1.64
806	Villupuram	11.736103	79.084177	Dug Well	Tyagadurgam1	4.9	6.14	6.85	4.33
807	Villupuram	11.695484	78.934858	Dug Well	Ulagamkathan Thimmiya nagar	10.5	6.66	5.42	5
808	Villupuram	11.691313	79.299424	Dug Well	Ulundurpet2		4	4.12	0.8
809	Villupuram	11.862549	78.929355	Dug Well	Vadasemapalayam	5.7	5.03	3.93	2.92
810	Villupuram	11.721932	79.129115	Dug Well	Vazhavanthan Kuppam	3.92	5.3	4.91	2.65
811	Villupuram	11.704189	79.248172	Dug Well	Vellaiuyur dw	7.17	3.07	6.58	1.63
812	Villupuram	11.531853	78.123354	Dug Well	Veppur		1.65	1.9	2.1
813	Virudhunagar	9.513000	78.085260	Dug Well	Aruppukottai-w	3.3	3.45	2.84	2.56
814	Virudhunagar	9.742040	78.101770	Dug Well	Aviyur dw	3.24	2.58	2.66	2
815	Virudhunagar	9.508070	77.458540	Dug Well	Ayyanarkoil dw	3.57	3.98	3.46	4.78
816	Virudhunagar	9.385970	77.461290	Dug Well	Devadanam1	4.38	6.13	6.12	4.42

Sl No	District	Latitude	Longitude	Well Type	Location	May-24	Aug-24	Nov-24	Jan-25
817	Virudhunagar	9.630900	77.816740	Dug Well	Erichanatham	2.71	2.13	2.79	3.03
818	Virudhunagar	9.461690	78.167790	Dug Well	Kalloorani dw	4.65	5.04	5.16	3.55
819	Virudhunagar	9.400090	77.631560	Dug Well	Kilarajakumaran	7.3	5.4	7.02	6.48
820	Virudhunagar	9.615108	77.886688	Dug Well	Kundarapatty	3	2.5	2.6	1.9
821	Virudhunagar	9.554170	78.008300	Dug Well	Palavanattam	1.15	1.4	1.59	0.85
822	Virudhunagar	9.466430	77.563960	Dug Well	Rajapalayam1	2.55	3.24	1.96	2.22
823	Virudhunagar	9.459240	77.784530	Dug Well	Sivakasi2	2.15	2.35	6.59	4.53
824	Virudhunagar	9.501430	77.648990	Dug Well	Srivilliputhur1	2.2	3.5	2.55	1.62
825	Virudhunagar	9.513150	77.752220	Dug Well	Vadapatti	3.8	4.9	4.76	4.38
826	Virudhunagar	9.434660	77.752770	Dug Well	Vilampatti	1.75	3	4	3.05
827	Virudhunagar	9.601940	77.954300	Dug Well	Virudunagar	2.58	2.15	2.47	2.11
828	Virudhunagar	9.635520	77.633440	Dug Well	Watrap	2.9	3.25	3.36	2.11